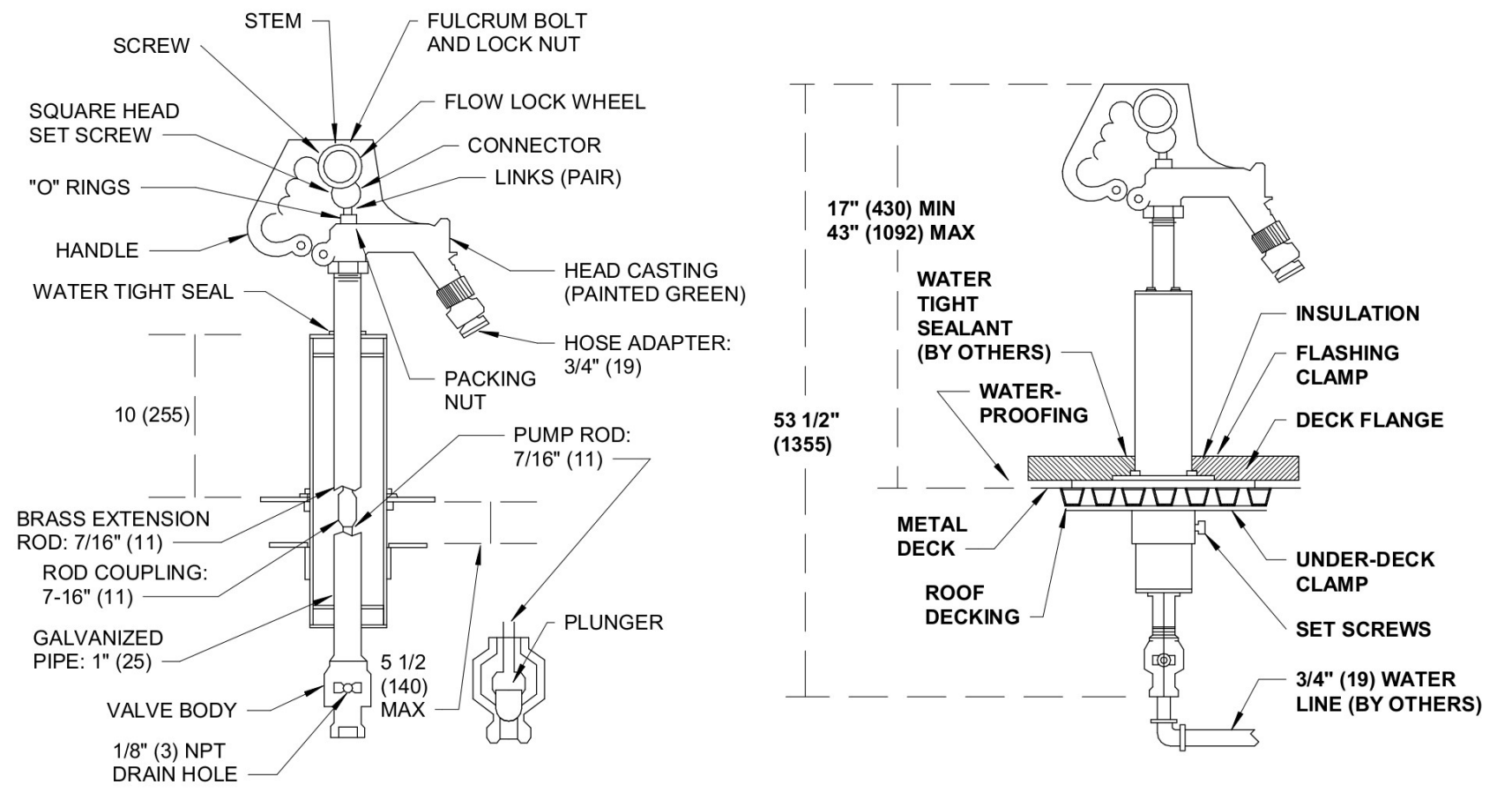
STEM
FULCRUM BOLT AND LOCK NUT
SCREW
FLOW LOCK WHEEL
SQUARE HEAD SET SCREW
CONNECTOR
LINKS (PAIR)
"O" RINGS
HANDLE
HEAD CASTING (PAINTED GREEN)
WATER TIGHT SEAL
HOSE ADAPTER: 3/4" (19)
PACKING NUT
10 (255)
PUMP ROD: 7/16" (11)
BRASS EXTENSION ROD: 7/16" (11)
ROD COUPLING: 7-16" (11)
GALVANIZED PIPE: 1" (25)
PLUNGER
5 1/2 (140) MAX
VALVE BODY
1/8" (3) NPT DRAIN HOLE
17" (430) MIN
43" (1092) MAX
WATER TIGHT SEALANT (BY OTHERS)
INSULATION
FLASHING CLAMP
WATER-PROOFING
DECK FLANGE
53 1/2" (1355)
METAL DECK
ROOF DECKING
UNDER-DECK CLAMP
SET SCREWS
3/4" (19) WATER LINE (BY OTHERS)

1 P-501 DETAIL OF ROOF HYDRANT
NTS

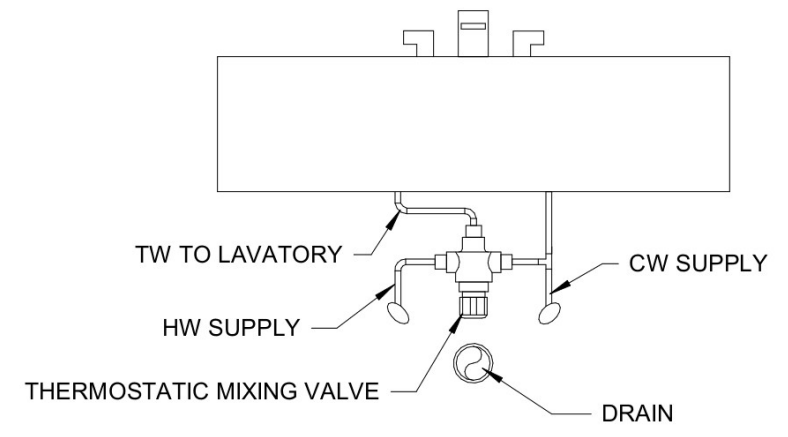
TW TO LAVATORY
CW SUPPLY
HW SUPPLY
THERMOSTATIC MIXING VALVE
DRAIN

4 P-501 DETAIL OF TMV BELOW LAVATORY
NOT TO SCALE

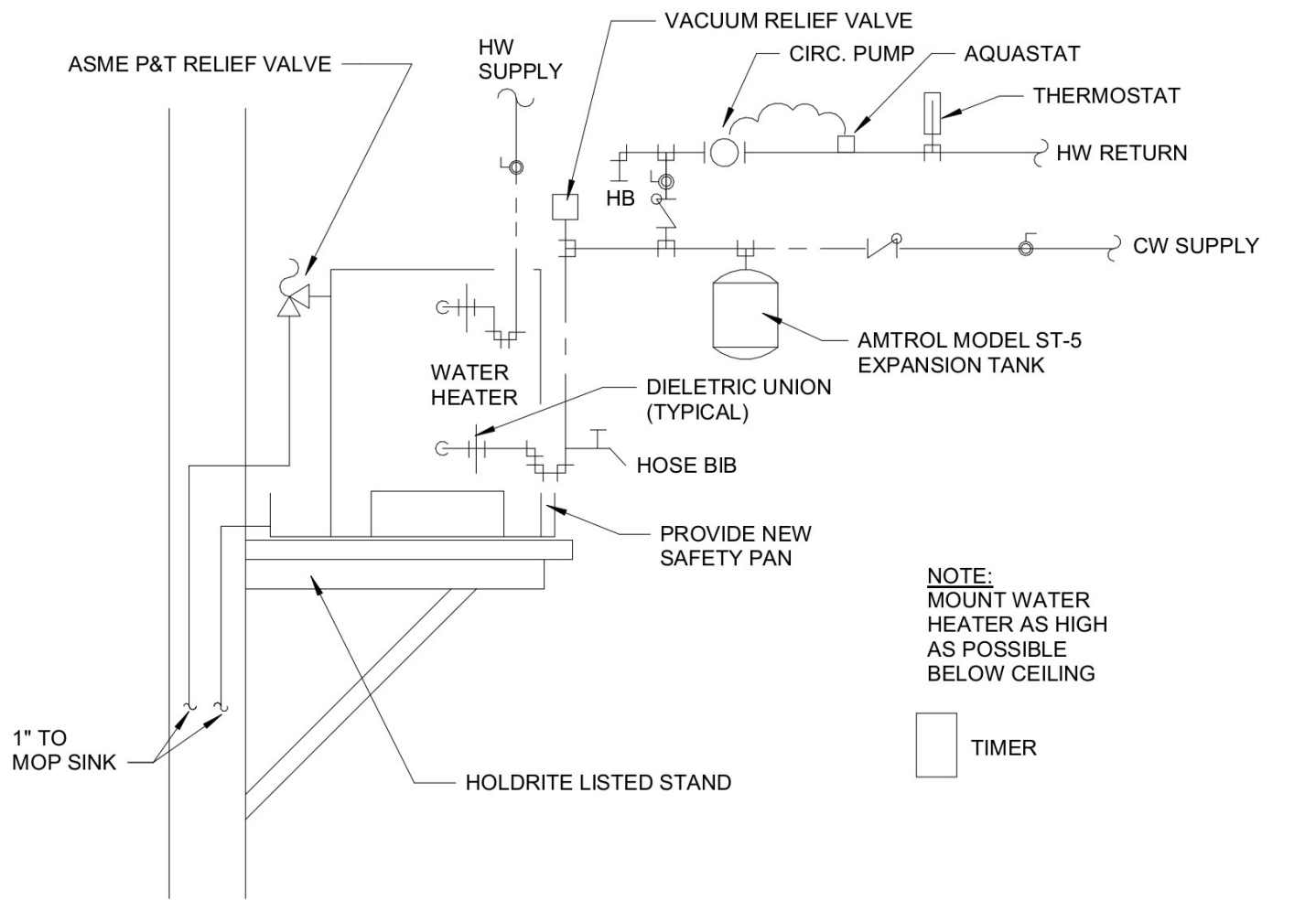
ASME P&T RELIEF VALVE
HW SUPPLY
VACUUM RELIEF VALVE
CIRC. PUMP
AQUASTAT
THERMOSTAT
HW RETURN
HB
CW SUPPLY
AMTROL MODEL ST-5 EXPANSION TANK
WATER HEATER
DIELETRIC UNION (TYPICAL)
HOSE BIB
PROVIDE NEW SAFETY PAN
1" TO MOP SINK
HOLDRITE LISTED STAND
TIMER

NOTE:
MOUNT WATER HEATER AS HIGH AS POSSIBLE BELOW CEILING

9 P-501 DETAIL OF PIPING AT WATER HEATER
NOT TO SCALE

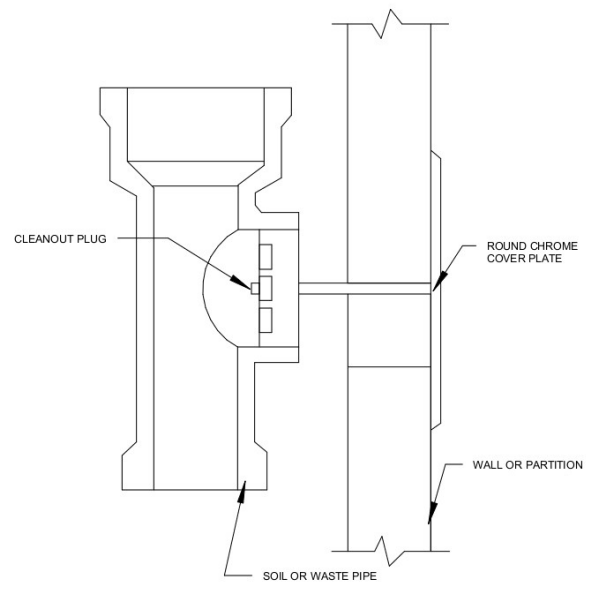
CLEANOUT PLUG
ROUND CHROME COVER PLATE
WALL OR PARTITION
SOIL OR WASTE PIPE

5 P-501 WALL CLEANOUT DETAIL
12" = 1'-0"

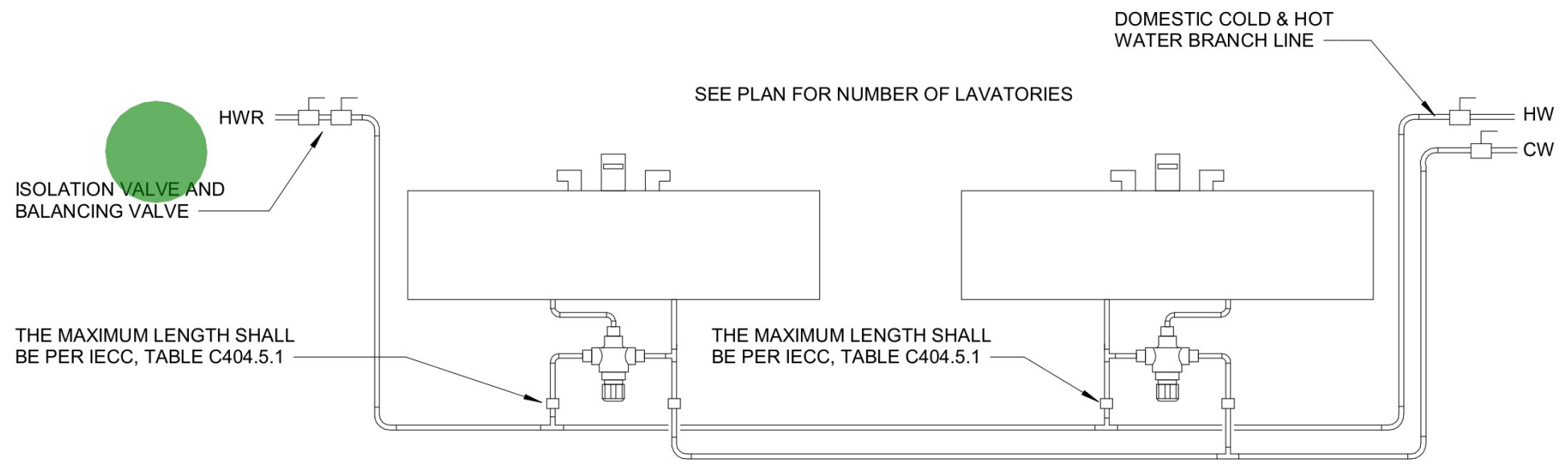
DOMESTIC COLD & HOT WATER BRANCH LINE
SEE PLAN FOR NUMBER OF LAVATORIES
HWR
HW
CW
ISOLATION VALVE AND BALANCING VALVE
THE MAXIMUM LENGTH SHALL BE PER IECC, TABLE C404.5.1
THE MAXIMUM LENGTH SHALL BE PER IECC, TABLE C404.5.1

2 P-501 PUBLIC LAVATORY SUPPLY DETAIL
NOT TO SCALE

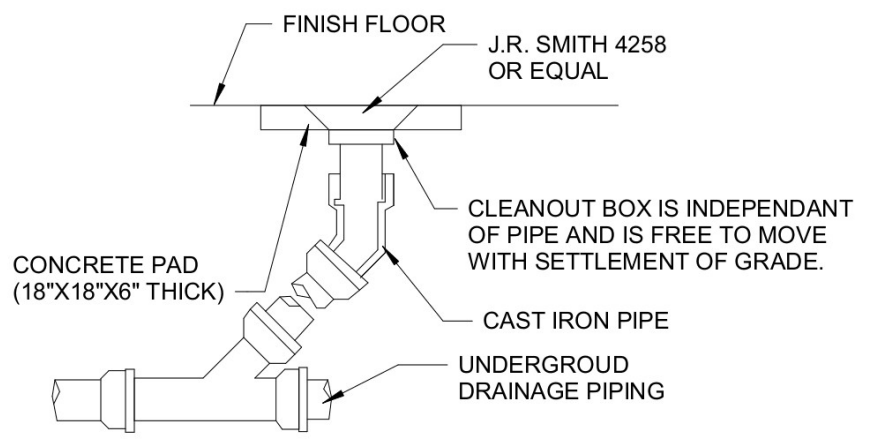
FINISH FLOOR
J.R. SMITH 4258 OR EQUAL
CLEANOUT BOX IS INDEPENDANT OF PIPE AND IS FREE TO MOVE WITH SETTLEMENT OF GRADE.
CONCRETE PAD (18"X18"X6" THICK)
CAST IRON PIPE
UNDERGROUND DRAINAGE PIPING

6 P-501 DETAIL OF CLEANOUT TO GRADE
NOT TO SCALE

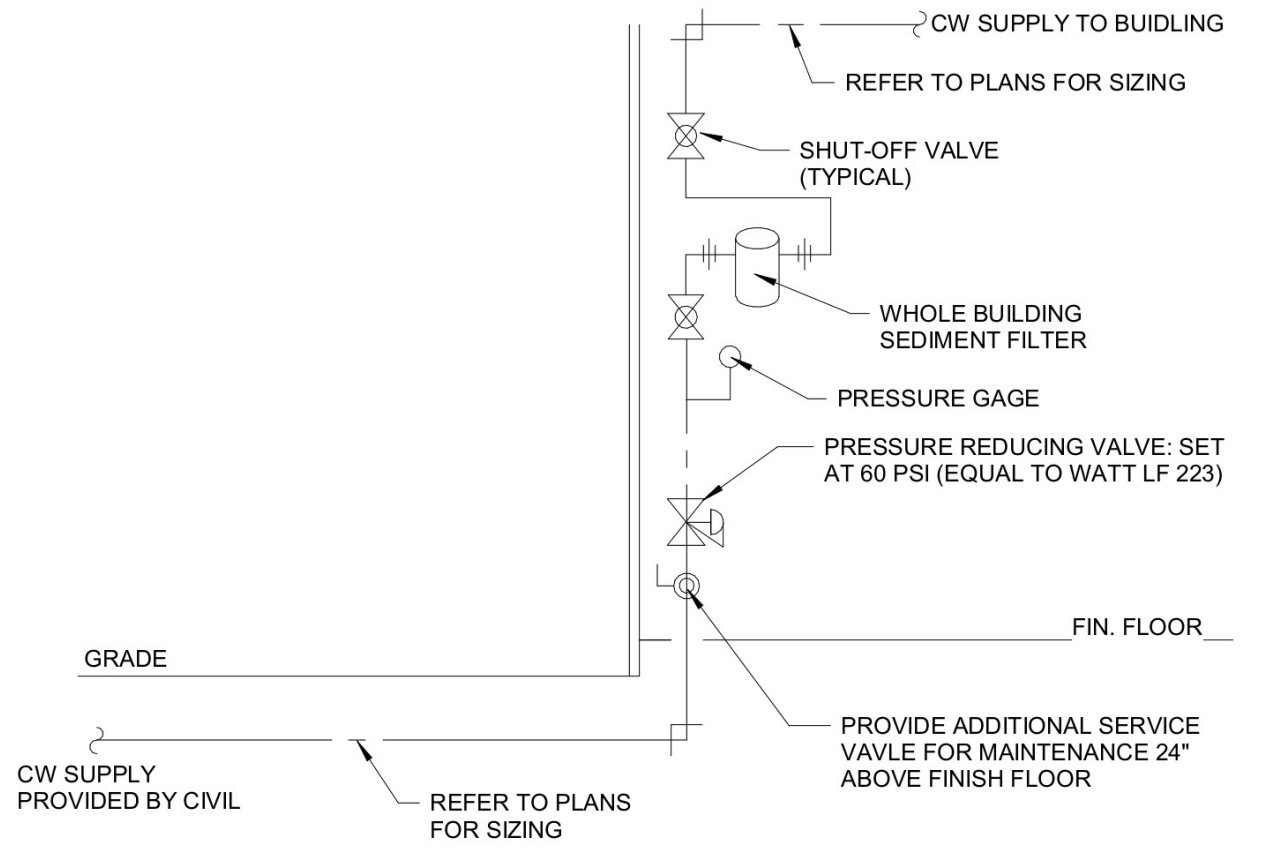
CW SUPPLY TO BUIDLING
REFER TO PLANS FOR SIZING
SHUT-OFF VALVE (TYPICAL)
WHOLE BUILDING SEDIMENT FILTER
PRESSURE GAGE
PRESSURE REDUCING VALVE: SET AT 60 PSI (EQUAL TO WATT LF 223)
FIN. FLOOR
GRADE
PROVIDE ADDITIONAL SERVICE VAVLE FOR MAINTENANCE 24" ABOVE FINISH FLOOR
CW SUPPLY PROVIDED BY CIVIL
REFER TO PLANS FOR SIZING

10 P-501 DETAIL FOR WATER ENTRY
12" = 1'-0"

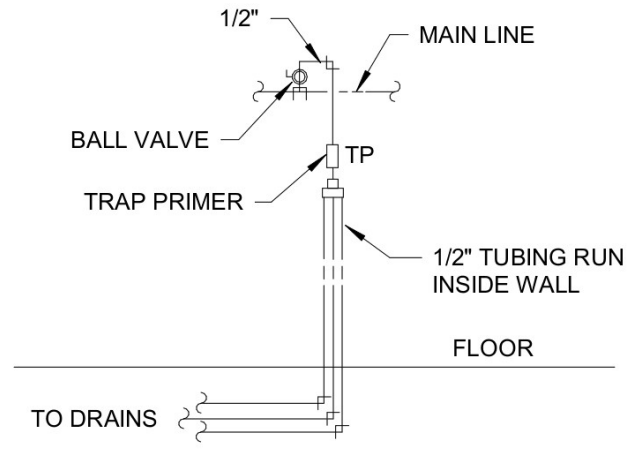
1/2"
MAIN LINE
BALL VALVE
TP
TRAP PRIMER
1/2" TUBING RUN INSIDE WALL
FLOOR
TO DRAINS

7 P-501 DETAIL OF PIPING AT TRAP PRIMER
NOT TO SCALE

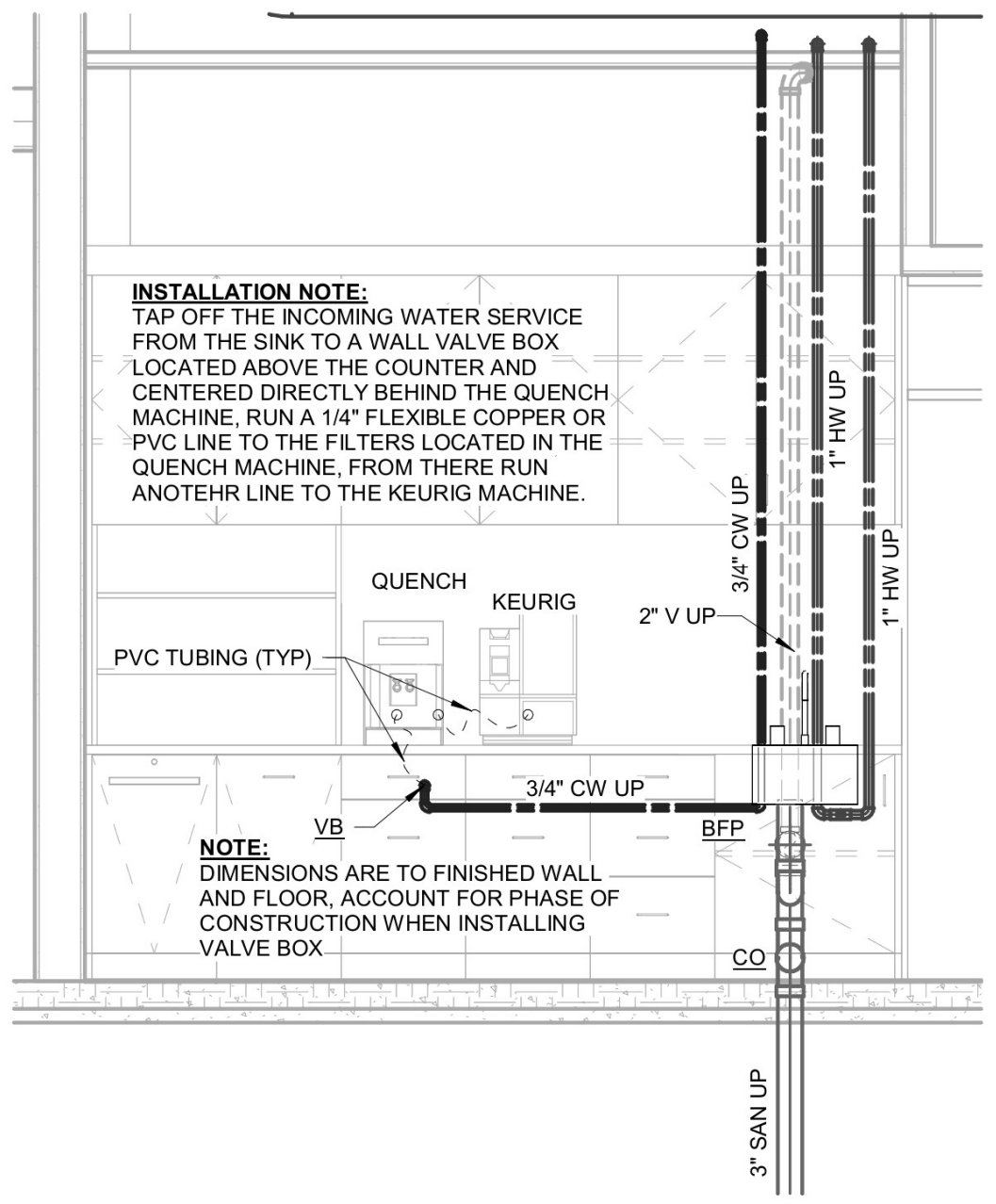
1" HW UP
3/4" CW UP
1" HW UP
QUENCH
KEURIG
2" V UP
PVC TUBING (TYP)
3/4" CW UP
VB
BFP
CO
3" SAN UP

INSTALLATION NOTE:
TAP OFF THE INCOMING WATER SERVICE FROM THE SINK TO A WALL VALVE BOX LOCATED ABOVE THE COUNTER AND CENTERED DIRECTLY BEHIND THE QUENCH MACHINE, RUN A 1/4" FLEXIBLE COPPER OR PVC LINE TO THE FILTERS LOCATED IN THE QUENCH MACHINE, FROM THERE RUN ANOTEHR LINE TO THE KEURIG MACHINE.

NOTE:
DIMENSIONS ARE TO FINISHED WALL AND FLOOR, ACCOUNT FOR PHASE OF CONSTRUCTION WHEN INSTALLING VALVE BOX

3 P-501 LIBRARY COUNTERTOP DRINKING EQUIPMENT ELEVATION
1/2" = 1'-0"

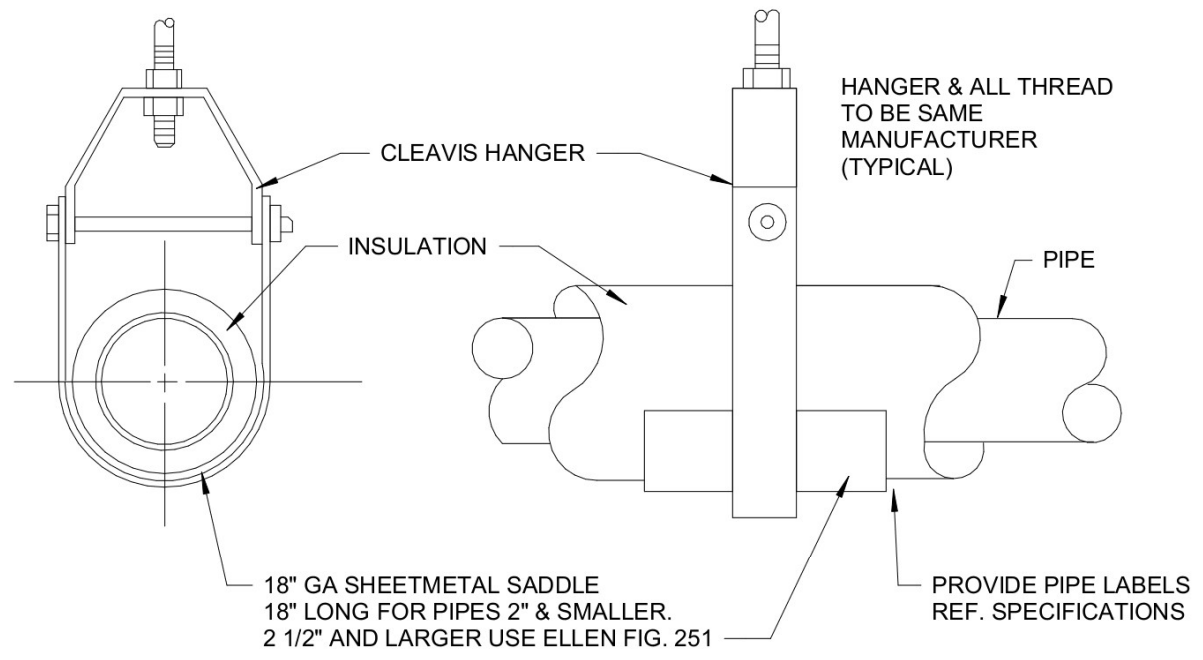
CLEAVIS HANGER
HANGER & ALL THREAD TO BE SAME MANUFACTURER (TYPICAL)
INSULATION
PIPE
18" GA SHEETMETAL SADDLE 18" LONG FOR PIPES 2" & SMALLER. 2 1/2" AND LARGER USE ELLEN FIG. 251
PROVIDE PIPE LABELS REF. SPECIFICATIONS

11 P-501 SUSPENDED PIPE SUPPORT
NOT TO SCALE

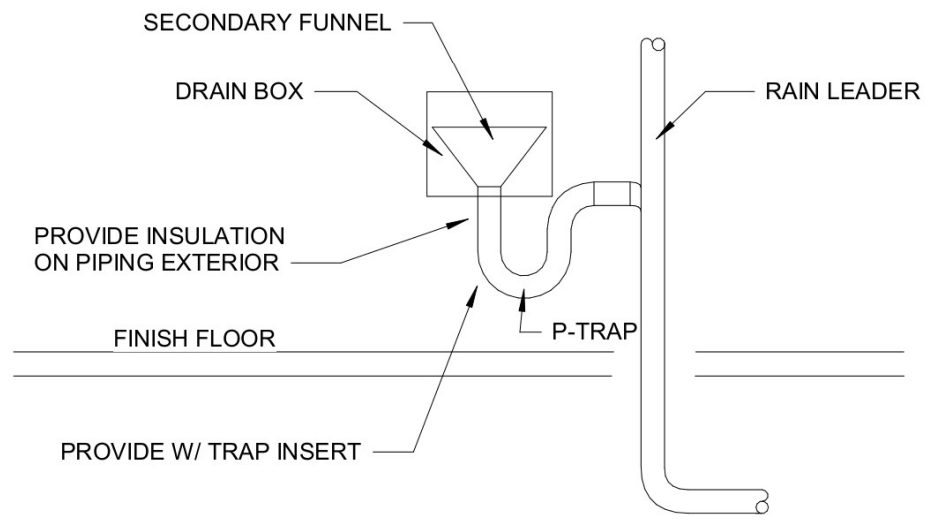
SECONDARY FUNNEL
DRAIN BOX
RAIN LEADER
PROVIDE INSULATION ON PIPING EXTERIOR
P-TRAP
FINISH FLOOR
PROVIDE W/ TRAP INSERT

8 P-501 CONDENSATE DRAIN TO RAIN LEADER DETAIL
NOT TO SCALE

4:55:19 PM

ISOLATION & BALANCING VALVE

1.0 EA

PRAXIS3

100 Peachtree St NW
Suite 1450
Atlanta, GA 30303

404-875-4500 tel
www.praxis3.com

GEORGIA REGISTERED PROFESSIONAL ENGINEER
No. 032221
GARRY M. JENKINS

Copyright (c) 2024 Praxis3, LLC

All reports, plans, specifications, computer files, field data, notes and other documents and instruments prepared by Praxis3 shall retain all common law, statutory and other reserved rights, including copyright thereto.

This drawing may not be reproduced in whole or in part without written permission of Praxis3. It is to be returned upon request. Scales as stated are valid on the original drawings.

Rev	Date	Comments
	07/02/2026	PERMIT SET

Client:
FIFTH THIRD BANK

Project Number: 26032
Project Name:
FIFTH THIRD BANK
WATSON
1,900 SF

2711 WATSON BOULEVARD
WARNER ROBBINS, GA 31093

Key Plan:

Sheet Title:
PLUMBING DETAILS

Sheet Number:
P-501

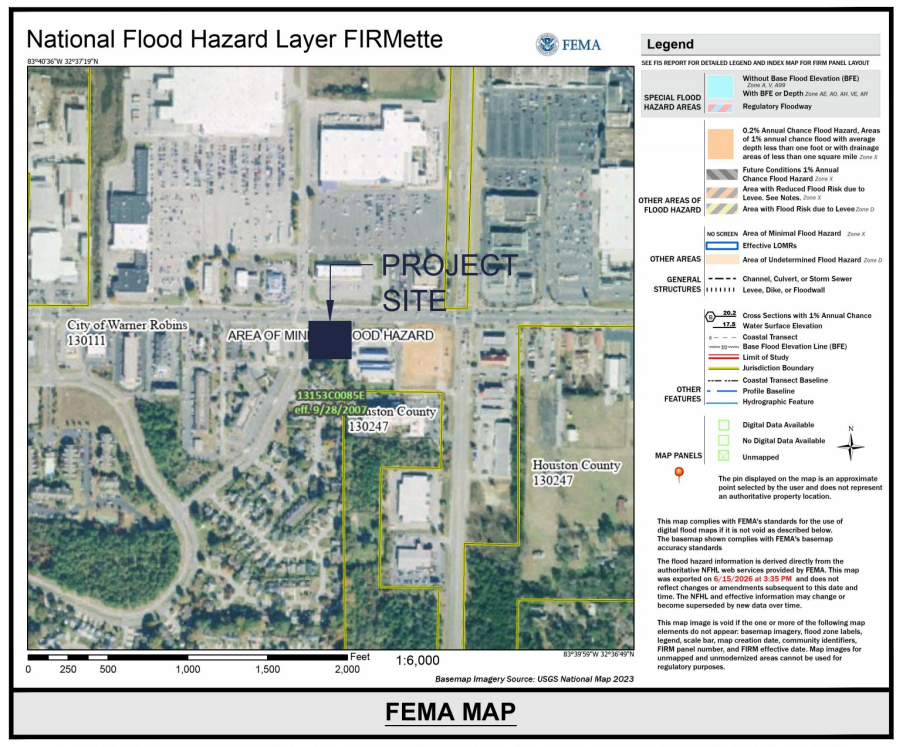
National Flood Hazard Layer FIRMette
FEMA
Legend
PROJECT SITE
City of Warner Robins 130111
AREA OF MINIMAL FLOOD HAZARD
Houston County 130247
1:6,000
Basemap Imagery Source: USGS National Map 2023

FEMA MAP

FLOOD PLAIN IS NOT PRESENT ON THIS SITE AS SHOWN ON THE FEMA FIRM MAP NUMBER 13153C0085E, DATED 09.28.2007

FIFTH THIRD BANK - WARNER ROBINS, GA

2711 WATSON BLVD
PARCEL ID: 0W0780-005000
WARNER ROBINS, HOUSTON COUNTY, GEORGIA

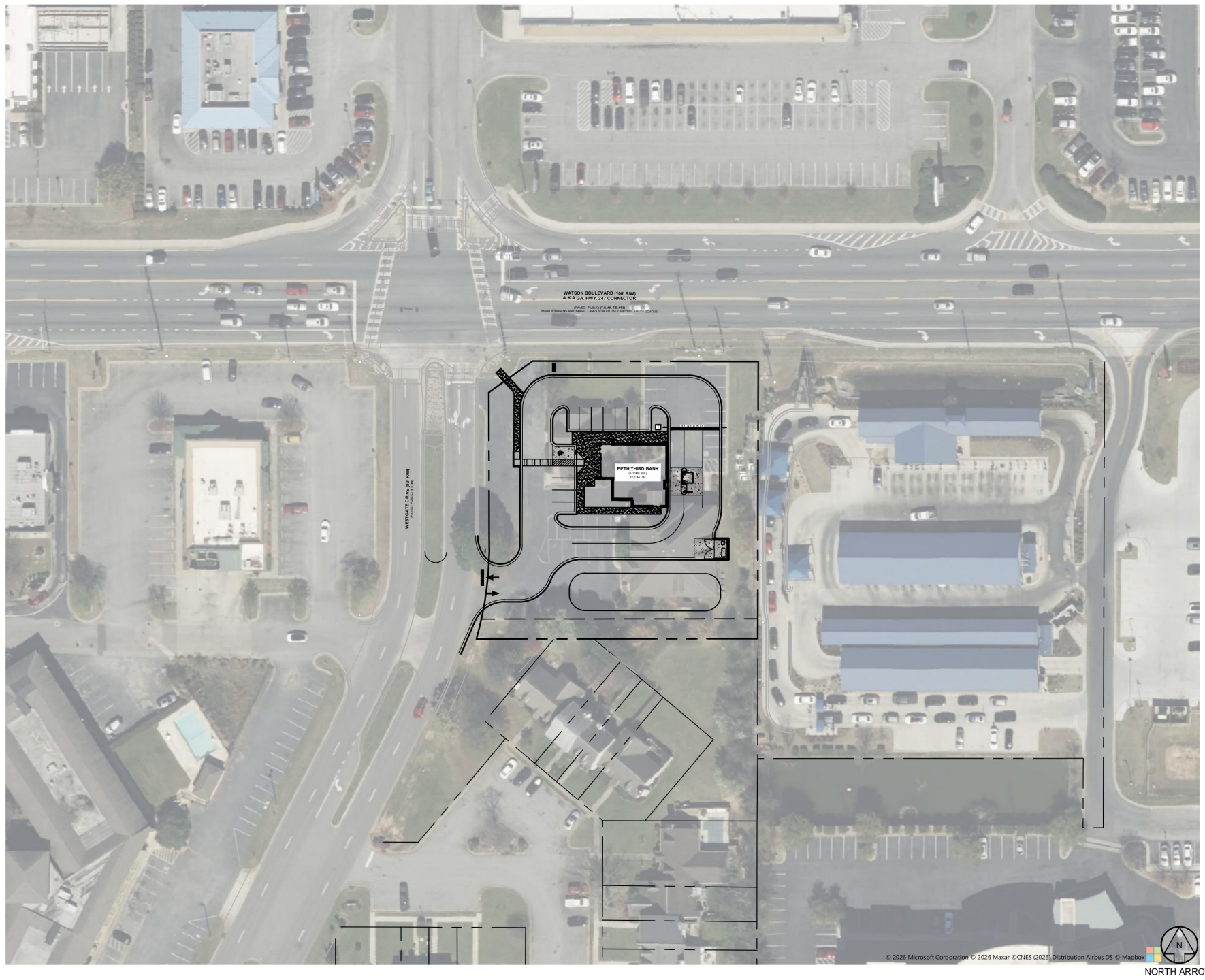

LOCATION MAP: 1" = 60'

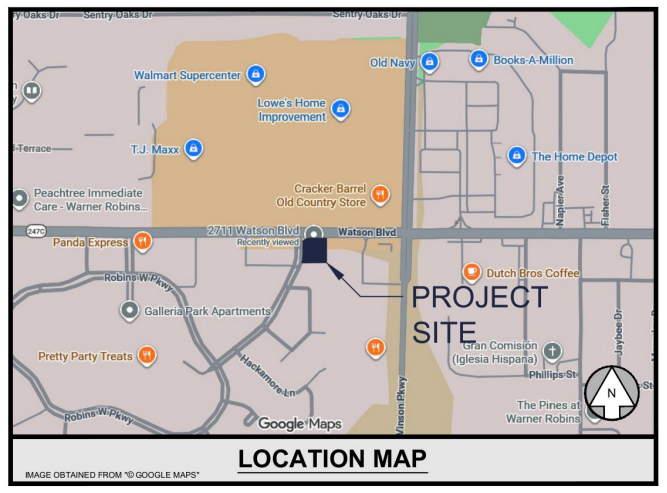

LOCATION MAP

IMAGE OBTAINED FROM "© GOOGLE MAPS"

PROJECT TEAM

DEVELOPER
FIFTH THIRD BANK
3344 PEACHTREE ROAD 10TH FLOOR
ATLANTA, GEORGIA 30326
DEXTER PATTERSON
678.953.1694

CIVIL ENGINEERING
GASKINS + LECRAW
3475 CORPORATE WAY
SUITE A
DULUTH, GA 30096
MICHAEL TOOTHAKER, PROJ. MGR.
678.546.8100

ARCHITECT
PRAXIS3
100 PEACHTREE STREET NW
SUITE 1450
ATLANTA, GEORGIA 30303
NICOLE WEBB
678.904.7452

SURVEYOR
GASKINS+LECRAW, A PAPE DAWSON COMPANY
24 JACKSON STREET
NEWNAN, GA 30265
770.253.5195
JASON A. HOPKINS

PROJECT CONTACTS

ELECTRIC
FLINT ENERGIES
98 CARL VINSON PKWY
WARNER ROBINS, GEORGIA 31088
478.988.3950

NATURAL GAS
ESG OPERATIONS
6400 PEAKE ROAD
MACON, GEORGIA 31210
478.951.2982

TELEPHONE
FLINT ENERGIES
478.988.3950

WATER & SEWER
WARNER ROBINS UTILITIES
MAINTENANCE DEPARTMENT
95 GLENN DRIVE
WARNER ROBINS, GEORGIA 31088
478.302.5438

PLANNING & ENGINEERING
CITY OF WARNER ROBINS
PLANNING & ENGINEERING DEPT.
700 WATSON BLVD.
WARNER ROBINS, GEORGIA 31093
DARIN CURTIS
dcurtis@wrga.gov

DISTURBED AREA

TOTAL SITE AREA = 0.96 ACRES
TOTAL DISTURBED AREA = 0.9 ACRES

24 HOUR CONTACT

DEXTER PATTERSON
678.953.1694
FIFTH THIRD BANK

AS-BUILT NOTE

CONTRACTOR SHALL PROVIDE THE NECESSARY SIGNED/SEALED AS-BUILT SURVEY(S) TO ENGINEER AS REQUIRED FOR FINAL APPROVAL BY THE LOCAL JURISDICTION AT LEAST 30 DAYS PRIOR TO PROJECT COMPLETION. AS-BUILT SURVEY(S) SHALL INCLUDE ALL RIM ELEVATIONS, INVERTS, PIPE SIZES & MATERIALS, AND PIPE SLOPES FOR ALL STORM AND SANITARY SEWERS. IN JURISDICTIONS WHERE AN AS-BUILT HYDROLOGY ANALYSIS OR STORMWATER "CERTIFICATION" IS REQUIRED BY THE ENGINEER OF RECORD, THE CONTRACTOR SHALL ALSO SUPPLY ALL NECESSARY DOCUMENTATION REQUIRED FOR THE ENGINEER TO DETERMINE UNDERGROUND POND(S), IF APPLICABLE, PROVIDE THE ADEQUATE STORAGE VOLUMES. SUCH DOCUMENTATION MAY INCLUDE, BUT SHALL NOT BE LIMITED TO, PHOTOGRAPHS OF SYSTEM INSTALLATION, COMPACTION REPORTS UNDER AND ABOVE THE SYSTEM, DELIVERY TICKETS, SHOP DRAWINGS, ELEVATIONS OF STONE BEDDING (TOP AND BOTTOM), AS WELL AS THE HORIZONTAL LIMITS OF STONE.

GENERAL NOTES

THE APPROVAL OF THESE PLANS AND THE ISSUANCE OF THIS LAND DISTURBANCE PERMIT DOES NOT IN ANY WAY SUGGEST THAT ALL OTHER REQUIREMENTS FOR THE LEGAL OR APPROPRIATE OPERATIONS FOR THIS ACTIVITY, WHICH MAY REQUIRE ADDITIONAL PERMITTING HAVE BEEN MET. THE ONUS IS ON THE OWNER/DEVELOPER/BUILDER TO DISCOVER WHAT ADDITIONAL PERMITTING OR APPROVALS MAY BE NECESSARY TO OPERATE FROM THIS POINT IN AN APPROPRIATE AND LEGAL MANNER. PLAN APPROVAL OR PERMIT ISSUANCE DOES NOT ABSOLVE THE APPLICANT FROM COMPLYING WITH ALL APPLICABLE LAWS, STANDARDS, OR OTHER PERMITS WHICH MAY BE REQUIRED FOR THIS PROJECT.

ATTENTION IS DRAWN TO THE FACT THAT THE SCALE OF THESE DRAWINGS MAY HAVE BEEN DISTORTED DURING THE REPRODUCTION PROCESS.

IF ANY CONFLICTS, DISCREPANCIES, OR ANY OTHER UNSATISFACTORY CONDITIONS ARE DISCOVERED, EITHER ON THE CONSTRUCTION DOCUMENTS OR FIELD CONDITIONS, THE CONTRACTOR MUST NOTIFY THE ENGINEER IMMEDIATELY AND SHALL NOT COMMENCE FURTHER OPERATION UNTIL THE CONFLICTS, DISCREPANCIES, OR OTHER UNSATISFACTORY CONDITIONS ARE RESOLVED.

SHEET INDEX

Sheet Number	Sheet Title				
C-0.0	COVER				
--	SURVEY				
C-0.1	GENERAL NOTES				
C-1.0	DEMOLITION PLAN				
C-2.0	ESPC - PHASE 1				
C-2.1	ESPC - PHASE 2				
C-2.2	ESPC - PHASE 3				
C-2.3	ESPC NOTES - 1				
C-2.4	ESPC NOTES - 2				
C-2.5	ESPC DETAILS - 1				
C-2.6	ESPC DETAILS - 2				
C-3.0	SITE PLAN				
C-4.0	GRADING PLAN				
C-4.1	STORM PROFILES				
C-4.2	INFILTRATION BASIN DETAIL				
C-5.0	UTILITY PLAN				
C-5.1	SANITARY PROFILES				
C-6.0	CONSTRUCTION DETAILS - 1				
C-6.1	CONSTRUCTION DETAILS - 2				
C-6.2	CONSTRUCTION DETAILS - 3				
C-6.3	CONSTRUCTION DETAILS - 4				
L-1.0	LANDSCAPE PLAN				
L-1.1	LANDSCAPE DETAILS				

SITE SUMMARY

SITE AREA	
SITE AREA:	0.96 ACRES (41,909 S.F.)
IMPERVIOUS AREA:	21,033 S.F. (50.2%)
PERVIOUS AREA:	20,876 S.F. (49.8%)
ZONING CLASSIFICATION	
JURISDICTION:	CITY OF WARNER ROBINS
ZONING:	C-2 (GENERAL COMMERCIAL DISTRICT)
ADJACENT ZONING:	C-2 / R-3
BUILDING SETBACKS	
FRONT:	40'
SIDE:	0'
REAR:	25'
BUILDING SUMMARY	
BUILDING AREA:	1,900 S.F.
BUILDING COVERAGE:	4.5%
PARKING SUMMARY	
PARKING REQ.:	1 SPACE / 300 S.F.
	7 SPACES
PARKING PROV.:	11 SPACES
STANDARD STALL DIMENSIONS:	9' x 18'
MIN. DRIVE WIDTH:	24'

PREPARED IN THE OFFICE OF:

GASKINS + LECRAW
a PAPE-DAWSON company

3475 CORPORATE WAY
SUITE A
DULUTH, GA 30096
PHONE - 678.546.8100
www.gaskinslecraw.com
PEF008127

REVISIONS:

REV. #	DATE	DRAWN BY:	CHECKED BY:
--	--	--	--

CLIENT
PRAXIS3
100 PEACHTREE STREET NW, SUITE 1450, ATLANTA, GEORGIA 30303

PROJECT
FIFTH THIRD BANK - WARNER ROBINS, GA
2711 WATSON BLVD
PARCEL ID: 0W0780-005000
WARNER ROBINS, HOUSTON COUNTY, GEORGIA

SEAL:
No. PE036681
TIMOTHY KYLE SHARPE
7/9/2026

CALL BEFORE YOU DIG
811
Know what's below. Call before you dig.

SCALE & NORTH ARROW:

DESIGN INFO:

DRAWN BY:	JOA
DESIGNED BY:	MAT
REVIEWED BY:	TKS
JOB #:	75670007
DATE:	JULY 9, 2026

COVER
C-0.0

Drawing name: C:\Users\cklentz\Gaskins+LeCraw Dropbox\Shared Folders\Engineering\75670007 - Praxis3 - Fifth Third - Warner Robins_GA\CADD\CONSTR\75670007 - 00 - COVER.dwg COVER Jul 09, 2026 11:03am by: cklentz

This document, together with the concepts and designs presented herein, as an instrument of service, is intended only for the specific purpose and client for which it was prepared. Reuse of and improper reliance on this document without written authorization and adaptation by Gaskins + LeCraw, a Pape-Dawson Company shall be without liability to Gaskins + LeCraw, a Pape-Dawson Company, Copyright Gaskins + LeCraw, a Pape-Dawson Company, 2026

GENERAL NOTES

ALL WORK AND MATERIALS SHALL COMPLY WITH ALL STATE, CITY AND COUNTY REGULATIONS AND CODES AND O.S.H.A. STANDARDS.

CONTRACTOR SHALL REFER TO ARCHITECTURAL PLANS FOR PRECISE BUILDING DIMENSIONS, BUILDING UTILITY ENTRANCE LOCATIONS, EXACT LOCATIONS AND DIMENSIONS OF ENTRIES, SIDEWALKS, DOWNSPOUTS, AND BOLLARDS IN BUILDING SIDEWALKS.

UNLESS SHOWN OTHERWISE ON THE PLANS, CONTRACTOR SHALL APPLY 4" OF TOP SOIL TO ALL DISTURBED AREAS OF THE SITE, PLANT GRASS SEED OR SOD, APPLY STRAW, AND WATER. IT IS THE RESPONSIBILITY OF THE CONTRACTOR TO ESTABLISH A HEALTHY STAND OF GRASS ON ALL SEEDED OR SODDED AREAS. IF A HEALTHY STAND OF GRASS CAN NOT BE ESTABLISHED BY THE TIME THE BUILDING BECOMES OCCUPIED, THEN SOD SHALL BE INSTALLED AND WATERED UNTIL GRASS IS ESTABLISHED.

ALL ISLANDS WITH CURB & GUTTER SHALL BE LANDSCAPED. THOSE ISLANDS ARE TO HAVE CURB & GUTTER AS SHOWN ON THE CONSTRUCTION DRAWINGS.

ALL DIMENSIONS AND RADII ARE REFERENCED TO THE FACE OF CURB UNLESS OTHERWISE NOTED. ALL BUILDING DIMENSIONS ARE REFERENCED TO THE OUTSIDE FACE OF THE STRUCTURE UNLESS OTHERWISE NOTED.

CONTRACTOR SHALL BE RESPONSIBLE FOR ALL RELOCATIONS, INCLUDING BUT NOT LIMITED TO, ALL UTILITIES, STORM DRAINAGE, SIGNS, ETC. AS REQUIRED. ALL WORK SHALL BE IN ACCORDANCE WITH GOVERNING AUTHORITIES SPECIFICATIONS AND SHALL BE APPROVED BY SUCH. ALL COST SHALL BE INCLUDED IN BID. AREAS TO BE DISTURBED SHALL BE IMPROVED PER THESE PLANS OR RESTORED TO THEIR ORIGINAL OR BETTER CONDITION.

ACCESSIBLE SIGNS WITH A "VAN" MARKING SHALL HAVE ADDITIONAL SIGN MOUNTED BELOW THE SYMBOL OF ACCESSIBILITY SIGN DENOTING VAN ACCESSIBILITY. ALL ACCESSIBLE SIGNS SHALL MEET THE CURRENT MINIMUM ADA AND LOCAL STANDARDS.

REFER TO THE DETAIL SHEETS FOR DETAILS OF ON-SITE SIGNAGE, STRIPING, AND PAVEMENT MARKING. REFER TO SITE PLAN FOR ADDITIONAL DIMENSIONAL INFORMATION.

ALL HEIGHTS AND SETBACKS SHALL MEET THE MINIMUM STANDARDS SET FORTH IN THE LOCAL CODE.

THE CONTRACTOR SHALL EMPLOY ALL NECESSARY BARRICADES, SIGNS, FENCES, FLASHING LIGHTS, TRAFFIC MEN, ETC. FOR MAINTENANCE AND PROTECTION OF TRAFFIC AS REQUIRED.

THE CONTRACTOR SHALL PROTECT ALL MONUMENTS, IRON PINS, AND PROPERTY CORNERS DURING CONSTRUCTION.

CONTRACTOR AGREES TO REPAIR ANY DAMAGE TO THE PUBLIC RIGHT-OF-WAY IN ACCORDANCE WITH THE STANDARDS OF THE GOVERNING DOT.

THE CONTRACTOR SHALL IMMEDIATELY REPORT TO THE OWNER ANY DISCREPANCIES FOUND BETWEEN THE ACTUAL FIELD CONDITIONS AND THE CONSTRUCTION DOCUMENTS AND SHALL WAIT FOR INSTRUCTION PRIOR TO PROCEEDING.

TRAFFIC CONTROL NOTES

REFER TO MANUAL ON UNIFORM TRAFFIC CONTROL DEVICES (LATEST EDITION) FOR DETAILS OF STANDARD TRAFFIC CONTROL SIGNS AND STANDARDS.

DEMOLITION NOTES

THE CONTRACTOR SHALL FIELD VERIFY AND LOCATE ALL EXISTING UTILITIES ON SITE PRIOR TO ANY DEMOLITION.

THE CONTRACTOR SHALL PERFORM DEMOLITION ACTIVITIES AS NOTED AND SHOWN ON THESE PLANS.

IT WILL BE THE CONTRACTOR'S RESPONSIBILITY TO OBTAIN ANY PERMITS AND PAY FEES REQUIRED FOR DEMOLITION AND HAUL-OFF FROM THE APPROPRIATE AUTHORITIES. THESE FEES ARE TO BE INCLUDED WITH THE BID.

THE CONTRACTOR SHALL PREPARE ALL DOCUMENTS AND ACQUIRE APPROPRIATE PERMITS AS REQUIRED PRIOR TO THE COMMENCEMENT OF DEMOLITION.

THE DEMOLITION PLAN IS INTENDED TO DEPICT GENERAL DEMOLITION AND UTILITY WORK. IT IS NOT INTENDED TO IDENTIFY EACH ELEMENT OF DEMOLITION OR RELOCATION. CONTRACTOR SHALL COORDINATE WITH THE OWNER AND APPROPRIATE UTILITY COMPANY PRIOR TO WORK.

IN ACCORDANCE WITH THE DEMOLITION PLAN, CONTRACTOR TO COMPLETELY DEMOLISH AND DISPOSE OF OFFSITE IN A LAWFUL MANNER EXISTING BUILDINGS, INCLUDING FOUNDATIONS AND ALL APPURTENANCES LOCATED ON AND AROUND THE PROPERTY INCLUDING BUT NOT LIMITED TO BOLLARDS, GAS METERS, AIR CONDITIONING UNITS, SIGNS, CURBS, SIDEWALKS, ELECTRIC METERS, FENCING, ETC.

REMOVE AND/OR PLUG EXISTING UTILITIES SUCH AS SANITARY SEWER, WATER, GAS, ELECTRIC, AND TELEPHONE AS SHOWN. THE CONTRACTOR IS RESPONSIBLE FOR CONTACTING EACH UTILITY COMPANY TO COORDINATE REMOVAL OF ALL UTILITIES AND FOR DETERMINING HORIZONTAL AND VERTICAL LOCATIONS OF UTILITIES PRIOR TO COMMENCING WORK.

THE CONTRACTOR SHALL CUT AND PLUG, OR ARRANGE FOR THE APPROPRIATE UTILITY COMPANY TO CUT AND PLUG, ALL SERVICE PIPING AT THE STREET LINE OR MAIN, AS REQUIRED, OR AS OTHERWISE NOTED. ALL SERVICES MAY NOT BE SHOWN ON THIS PLAN. THE CONTRACTOR SHALL INVESTIGATE THE SITE PRIOR TO BIDDING TO DETERMINE THE EXTENT OF SERVICE PIPING TO BE REMOVED, CUT OR PLUGGED.

THE CONTRACTOR SHALL ARRANGE FOR RESETTING OF CURB BOXES, VALVE BOXES AND REMOVAL AND/OR RELOCATION OF OVERHEAD UTILITIES AND POLES WITH THE APPROPRIATE UTILITY COMPANY.

INSTALL ALL EROSION AND SEDIMENT CONTROL DEVICES AND TREE PROTECTION PRIOR TO BEGINNING DEMOLITION WORK.

THE CONTRACTOR IS RESPONSIBLE FOR THE PROTECTION OF ALL UTILITIES TO REMAIN IN PLACE.

THE CONTRACTOR SHALL TAKE ALL PRECAUTIONS TO AVOID UNNECESSARY DAMAGE TO EXISTING ROAD SURFACE.

SAWCUT AT INTERFACE OF PAVEMENT OR CURB TO REMAIN. SAWCUT EXISTING PAVEMENT AT THE R/W.

ALL EXISTING ITEMS TO REMAIN WHICH ARE DAMAGED DURING CONSTRUCTION SHALL BE RESTORED TO ITS ORIGINAL CONDITION AT THE SOLE EXPENSE OF THE CONTRACTOR.

THE CONTRACTOR SHALL MAINTAIN ALL UTILITY SERVICES TO THE ADJOINING PROPERTIES DURING THE DEMOLITION PROCESS.

SHOULD ANY UNCHARTED OR INCORRECTLY CHARTED EXISTING PIPING OR OTHER UTILITY BE UNCOVERED DURING EXCAVATION, CONSULT THE ENGINEER IMMEDIATELY FOR DIRECTION BEFORE PROCEEDING FURTHER WITH WORK IN THIS AREA.

ASBESTOS OR HAZARDOUS MATERIAL, IF FOUND ON SITE, SHALL BE REMOVED BY A LICENSED HAZARDOUS MATERIAL CONTRACTOR AND DISPOSED OF PROPERLY .

AS-BUILT NOTE

CONTRACTOR SHALL PROVIDE THE NECESSARY SIGNED/SEALED AS-BUILT SURVEY(S) TO ENGINEER AS REQUIRED FOR FINAL APPROVAL BY THE LOCAL JURISDICTION AT LEAST 30 DAYS PRIOR TO PROJECT COMPLETION. AS-BUILT SURVEY(S) SHALL INCLUDE ALL RIM ELEVATIONS, INVERTS, PIPE SIZES & MATERIALS, AND PIPE SLOPES FOR ALL STORM AND SANITARY SEWERS. IN JURISDICTIONS WHERE AN AS-BUILT HYDROLOGY ANALYSIS OR STORMWATER “CERTIFICATION” IS REQUIRED BY THE ENGINEER OF RECORD, THE CONTRACTOR SHALL ALSO SUPPLY ALL NECESSARY DOCUMENTATION REQUIRED FOR THE ENGINEER TO DETERMINE UNDERGROUND POND(S), IF APPLICABLE, PROVIDE THE ADEQUATE STORAGE VOLUMES. SUCH DOCUMENTATION MAY INCLUDE, BUT SHALL NOT BE LIMITED TO, PHOTOGRAPHS OF SYSTEM INSTALLATION, COMPACTION REPORTS UNDER AND ABOVE THE SYSTEM, DELIVERY TICKETS, SHOP DRAWINGS, ELEVATIONS OF STONE BEDDING (TOP AND BOTTOM), AS WELL AS THE HORIZONTAL LIMITS OF STONE.

EROSION CONTROL NOTES

CONTRACTOR SHALL IMPLEMENT BEST MANAGEMENT PRACTICES AS REQUIRED BY THESE DRAWINGS. ADDITIONAL BEST MANAGEMENT PRACTICES SHALL BE IMPLEMENTED AS DICTATED BY CONDITIONS AT NO ADDITIONAL COST TO OWNER THROUGHOUT ALL PHASES OF CONSTRUCTION.

BEST MANAGEMENT PRACTICES (BMP'S) AND CONTROLS SHALL CONFORM TO FEDERAL, STATE, OR LOCAL REQUIREMENTS, AS APPLICABLE. CONTRACTOR SHALL IMPLEMENT ADDITIONAL CONTROLS AS DIRECTED BY PERMITTING AGENCY OR OWNER.

CONTRACTOR SHALL MINIMIZE CLEARING TO THE MAXIMUM EXTENT PRACTICAL.

ALL WASH WATER (CONCRETE TRUCKS, VEHICLE CLEANING, EQUIPMENT CLEANING, ETC.) SHALL BE CONTAINED AND PROPERLY TREATED OR DISPOSED.

SUFFICIENT OIL AND GREASE ABSORBING MATERIALS AND FLOTATION BOOMS SHALL BE MAINTAINED ON SITE OR READILY AVAILABLE TO CONTAIN AND CLEAN-UP FUEL OR CHEMICAL SPILLS AND LEAKS.

DUST ON THE SITE SHALL BE CONTROLLED. THE USE OF MOTOR OILS AND OTHER PETROLEUM BASED OR TOXIC LIQUIDS FOR DUST SUPPRESSION OPERATIONS IS PROHIBITED.

RUBBISH, TRASH, GARBAGE, LITTER, OR OTHER SUCH MATERIALS SHALL BE DEPOSITED INTO SEALED CONTAINERS. MATERIALS SHALL BE PREVENTED FROM LEAVING THE PREMISES THROUGH THE ACTION OF WIND OR STORMWATER DISCHARGE INTO DRAINAGE DITCHES OR JURISDICTIONAL WATERS.

ALL STORM WATER POLLUTION PREVENTION MEASURES PRESENTED ON THE EROSION AND SEDIMENT CONTROL PLANS SHALL BE INITIATED AS SOON AS PRACTICABLE.

DISTURBED PORTIONS OF THE SITE WHERE CONSTRUCTION ACTIVITY HAS PERMANENTLY STOPPED SHALL BE PERMANENTLY SEEDED. THESE AREAS SHALL BE SEEDED NO LATER THAN 14 DAYS AFTER THE LAST CONSTRUCTION ACTIVITY OCCURRING IN THESE AREAS. REFER TO THE EROSION CONTROL PLANS AND/OR LANDSCAPE PLAN.

IF THE ACTION OF VEHICLES TRAVELING OVER THE GRAVEL CONSTRUCTION ENTRANCES IS NOT SUFFICIENT TO REMOVE DIRT OR MUD, THEN THE TIRES MUST BE WASHED BEFORE THE VEHICLES ENTER A PUBLIC ROAD. IF WASHING IS USED, PROVISIONS MUST BE MADE TO INTERCEPT THE WASH WATER AND TRAP THE SEDIMENT BEFORE IT IS CARRIED OFF THE SITE.

ALL MATERIALS SPILLED, DROPPED, WASHED, OR TRACKED FROM VEHICLES ONTO ROADWAYS OR INTO STORM DRAINS MUST BE REMOVED IMMEDIATELY. SEDIMENT SHALL BE REMOVED FROM THE ROADS BY SHOVELING OR SWEEPING AND TRANSPORTED TO A SEDIMENT CONTROL DISPOSAL AREA. STREET WASHING SHALL BE ALLOWED ONLY AFTER SEDIMENT IS REMOVED IN THIS MANNER.

CONTRACTORS OR SUBCONTRACTORS WILL BE RESPONSIBLE FOR REMOVING SEDIMENT FROM THE EROSION CONTROL BASINS AND ANY SEDIMENT THAT MAY HAVE COLLECTED IN THE STORM SEWER DRAINAGE SYSTEMS IN CONJUNCTION WITH THE STABILIZATION OF THE SITE.

SLOPES SHALL BE LEFT IN A ROUGHENED CONDITION DURING THE GRADING PHASE TO REDUCE RUNOFF VELOCITIES AND EROSION.

ALL CONSTRUCTION SHALL BE STABILIZED AT THE END OF EACH WORKING DAY. THIS INCLUDES BACKFILLING OF TRENCHES FOR UTILITY CONSTRUCTION AND PLACEMENT OF GRAVEL OR BITUMINOUS PAVING FOR ROAD CONSTRUCTION.

ALL EROSION CONTROL MEASURES SHALL BE CONSTRUCTED IN ACCORDANCE WITH THE STATE EROSION AND SEDIMENT CONTROL REGULATIONS, U.S. DEPARTMENT OF AGRICULTURE, AND U.S. SOIL CONSERVATION SERVICE REGULATIONS.

THE CONTRACTOR SHALL DILIGENTLY AND CONTINUOUSLY MAINTAIN ALL EROSION CONTROL DEVICES AND STRUCTURES TO MINIMIZE EROSION. THE CONTRACTOR SHALL MAINTAIN CLOSE CONTACT WITH THE INSPECTOR SO THAT PERIODIC INSPECTIONS CAN BE PERFORMED AT APPROPRIATE STAGES OF CONSTRUCTION.

STABILIZATION IS THE BEST FORM OF EROSION CONTROL. ALL DISTURBED AREAS WHICH ARE NOT OTHERWISE STABILIZED SHALL BE TOP SOILED AND SEEDED, TEMPORARILY OR PERMANENTLY IN ACCORDANCE WITH THE STATE REGULATIONS. TOPSOILING, PERMANENT SEEDING AND GRASS ESTABLISHMENT IS REQUIRED PRIOR TO PROJECT COMPLETION AND ACCEPTANCE.

ALL TEMPORARY EROSION AND SEDIMENT CONTROL MEASURES SHALL BE REMOVED AFTER THE TEMPORARY MEASURES ARE NO LONGER NEEDED. TRAPPED SEDIMENT AND THE DISTURBED SOIL AREAS RESULTING FROM THE DISPOSITION OF TEMPORARY MEASURES SHALL BE PERMANENTLY STABILIZED TO PREVENT FURTHER EROSION AND SEDIMENTATION.

WHEN A CRUSHED STONE CONSTRUCTION ENTRANCE HAS BEEN COVERED WITH SOIL OR HAS BEEN PUSHED INTO THE SOIL BY CONSTRUCTION TRAFFIC, IT SHALL BE REPLACED, AT NO ADDITIONAL COST TO THE OWNER, WITH A DEPTH OF STONE EQUAL TO THAT OF THE ORIGINAL APPLICATION.

ALL DRAINAGE INLETS SHALL BE PROTECTED FROM SILTATION. INEFFECTIVE PROTECTION DEVICES SHALL BE IMMEDIATELY REPLACED AND THE INLET CLEANED. FLUSHING IS NOT AN ACCEPTABLE METHOD OF CLEANING.

SEDIMENT BASINS AND TRAPS, PERIMETER DIKES, SEDIMENT BARRIERS AND OTHER MEASURES INTENDED TO TRAP SEDIMENT SHALL BE CONSTRUCTED AS A FIRST STEP IN ANY LAND-DISTURBING ACTIVITY AND SHALL BE MADE FUNCTIONAL BEFORE UPSLOPE LAND DISTURBANCE TAKES PLACE.

STABILIZATION MEASURES SHALL BE APPLIED TO STRUCTURES SUCH AS DAMS, DIKES AND DIVERSIONS IMMEDIATELY AFTER INSTALLATION.

LIMITS OF GRADING SHOWN ON THE PLAN ARE MAXIMUM LIMITS FOR EROSION CONTROL PURPOSES ONLY. SURVEYOR TO DETERMINE ACTUAL LIMIT.

ALL MEASURES STATED ON THE EROSION AND SEDIMENT CONTROL PLANS, SHALL BE MAINTAINED IN FULLY FUNCTIONAL CONDITION UNTIL NO LONGER REQUIRED FOR A COMPLETED PHASE OF WORK OR FINAL STABILIZATION OF THE SITE. ALL EROSION AND SEDIMENTATION CONTROL MEASURES SHALL BE CHECKED BY A QUALIFIED PERSON AT LEAST ONCE EVERY SEVEN CALENDAR DAYS AND WITHIN 24 HOURS OF THE END OF A 0.5" RAINFALL EVENT, AND CLEANED AND REPAIRED IN ACCORDANCE WITH THE FOLLOWING:

> CONTRACTOR SHALL IMPLEMENT BEST MANAGEMENT PRACTICES AS REQUIRED BY THE CONSTRUCTION DRAWINGS. ADDITIONAL BEST MANAGEMENT PRACTICES SHALL BE IMPLEMENTED AS DICTATED BY CONDITIONS AT NO ADDITIONAL COST OF OWNER THROUGHOUT ALL PHASES OF CONSTRUCTION.
>
> INLET PROTECTION DEVICES AND BARRIERS SHALL BE REPAIRED OR REPLACED IF THEY SHOW SIGNS OF UNDERMINING, OR DETERIORATION.
>
> ALL SEEDED AREAS SHALL BE CHECKED REGULARLY TO SEE THAT A GOOD STAND IS MAINTAINED. AREAS SHOULD BE FERTILIZED, WATERED, AND RESEEDED AS NEEDED.
>
> SILT FENCES SHALL BE REPAIRED TO THEIR ORIGINAL CONDITIONS IF DAMAGED. SEDIMENT SHALL BE REMOVED FROM THE SILT FENCES WHEN IT REACHES ONE-HALF THE HEIGHT OF THE SILT FENCE.
>
> THE CONSTRUCTION ENTRANCES SHALL BE MAINTAINED IN A CONDITION WHICH WILL PREVENT TRACKING OR FLOW OF MUD ONTO PUBLIC RIGHTS-OF-WAY. THIS MAY REQUIRE PERIODIC TOP DRESSING OF THE CONSTRUCTION ENTRANCES AS CONDITIONS DEMAND.
>
> OUTLET STRUCTURES IN THE SEDIMENTATION BASINS SHALL BE MAINTAINED IN OPERATIONAL CONDITIONS AT ALL TIMES. SEDIMENT SHALL BE REMOVED FROM SEDIMENT BASINS OR TRAPS WHEN THE DESIGN CAPACITY HAS BEEN REDUCED BY 50%.

GRADING NOTES

THE CONTRACTOR IS SPECIFICALLY CAUTIONED THAT THE LOCATION AND/OR ELEVATION OF EXISTING UTILITIES AS SHOWN ON THESE PLANS IS BASED ON RECORDS OF THE VARIOUS UTILITY COMPANIES, AND WHERE POSSIBLE, MEASUREMENTS TAKEN IN THE FIELD. THE INFORMATION IS NOT TO BE RELIED ON AS BEING EXACT OR COMPLETE. THE CONTRACTOR MUST CALL THE APPROPRIATE UTILITY COMPANIES AT LEAST 72 HOURS BEFORE ANY EXCAVATION TO REQUEST EXACT FIELD LOCATION OF UTILITIES. IT SHALL BE THE RESPONSIBILITY OF THE CONTRACTOR TO RELOCATE ALL EXISTING UTILITIES WHICH CONFLICT WITH THE PROPOSED IMPROVEMENTS SHOWN ON THE PLANS.

ALL CUT OR FILL SLOPES SHALL BE 2:1 OR FLATTER UNLESS OTHERWISE NOTED.

EXISTING AND PROPOSED GRADE CONTOUR INTERVALS SHOWN AT 1 FOOT

CONTRACTOR SHALL ADJUST AND/OR CUT EXISTING PAVEMENT AS NECESSARY TO ASSURE A SMOOTH FIT AND CONTINUOUS GRADE.

CONTRACTOR SHALL ASSURE POSITIVE DRAINAGE AWAY FROM BUILDINGS FOR ALL NATURAL AND PAVED AREAS.

TOPOGRAPHIC INFORMATION TAKEN FROM A TOPOGRAPHIC SURVEY BY GASKINS+LECRAW, A PAPE DAWSON COMPANY.

ALL UNSURFACED AREAS DISTURBED BY GRADING OPERATION SHALL RECEIVE 4 INCHES OF TOPSOIL. CONTRACTOR SHALL APPLY STABILIZATION FABRIC TO ALL SLOPES 3H:1V OR STEEPER. CONTRACTOR SHALL GRASS AND MAINTAIN DISTURBED AREAS UNTIL A HEALTHY STAND OF GRASS IS OBTAINED.

CONSTRUCTION SHALL COMPLY WITH ALL APPLICABLE GOVERNING CODES AND BE CONSTRUCTED TO SAME.

ALL WORK AND MATERIALS SHALL COMPLY WITH ALL STATE AND LOCAL REGULATIONS AND CODES AND O.S.H.A. STANDARDS.

ALL PROPOSED CONTOURS AND SPOT ELEVATIONS REFLECT FINISHED GRADES.

ALL ELEVATIONS ARE IN REFERENCE TO THE BENCHMARK, AND THIS MUST BE VERIFIED BY THE GENERAL CONTRACTOR PRIOR TO GROUND BREAKING.

THE CONTRACTOR SHALL IMMEDIATELY REPORT TO OWNER ANY DISCREPANCIES FOUND BETWEEN ACTUAL FIELD CONDITIONS AND CONSTRUCTION DOCUMENTS AND SHALL WAIT FOR INSTRUCTION PRIOR TO PROCEEDING.

THE CONTRACTOR SHALL BE RESPONSIBLE FOR LOCATING AND PROTECTING EXISTING UTILITIES, AND SHALL REPAIR ALL DAMAGE TO EXISTING UTILITIES THAT OCCUR DURING CONSTRUCTION.

CONTRACTOR SHALL BLEND NEW EARTHWORK SMOOTHLY TO TRANSITION BACK TO EXISTING GRADE.

ALL SITE PREPARATION AND UNSUITABLE SOIL REMOVAL, AS WELL AS THE PLACEMENT OF FILL MATERIALS SHALL BE IN ACCORDANCE WITH THE RECOMMENDATIONS CONTAINED IN THE GEOTECHNICAL REPORT (BY OTHERS).

LIMITS OF CLEARING SHOWN ON GRADING PLAN ARE BASED UPON THE APPROXIMATE CUT AND FILL SLOPE LIMITS, OR OTHER GRADING REQUIREMENTS.

THE PROPOSED CONTOURS SHOWN IN DRIVES AND PARKING LOTS AND SIDEWALKS ARE FINISHED ELEVATIONS INCLUDING PAVEMENT. REFER TO PAVEMENT CROSS SECTION DATA TO ESTABLISH CORRECT SUBBASE OR AGGREGATE BASE COURSE ELEVATIONS.

CONTRACTOR SHALL INSURE POSITIVE DRAINAGE SO THAT RUNOFF WILL DRAIN BY GRAVITY FLOW ACROSS NEW PAVEMENT AREAS TO NEW OR EXISTING DRAINAGE INLETS OR SHEET OVERLAND.

ANY GRADING BEYOND THE LIMITS OF CONSTRUCTION AS SHOWN ON THE GRADING PLAN IS PROHIBITED.

THE CONTRACTOR IS RESPONSIBLE FOR THE DESIGN AND IMPLEMENTATION OF ALL SHEETING, SHORING, BRACING AND SPECIAL EXCAVATION MEASURES REQUIRED TO MEET OSHA, FEDERAL, STATE AND LOCAL REGULATIONS PURSUANT TO THE INSTALLATION OF THE WORK INDICATED ON THESE DRAWINGS. THE DESIGN ENGINEER ACCEPTS NO RESPONSIBILITY FOR THE DESIGN(S) TO INSTALL SAID ITEMS.

THE CONTRACTOR SHALL INCLUDE IN THE BID ANY DEWATERING AND MOISTURE CONDITIONING NECESSARY TO CONSTRUCT THE PROJECT AS SHOWN ON THE PLANS.

ALL FOUNDATION EXCAVATION SHALL BE INSPECTED BY A QUALIFIED GEOTECHNIAL REPRESENTATIVE TO DETERMINE WHETHER UNSUITABLE MATERIAL MUST BE REMOVED. ALL UNDESIRABLE MATTER SHALL BE REMOVED, BACKFILLED AND COMPACTED AS REQUIRED BY THE GEOTECHNICAL REPRESENTATIVE.

GRADES, ELEVATIONS AND LOCATIONS SHOWN ARE APPROXIMATE. AS DIRECTED BY THE ENGINEER, THEY MAY BE ADJUSTED TO ACCOMMODATE UNFORESEEN CONDITIONS. STATIONS, OFFSETS AND ELEVATIONS REFER TO THE CENTER OF DROP INLETS, MANHOLES AND JUNCTION BOXES, AND THE MIDPOINT OF THE LIP FOR CATCH BASINS.

CONTRACTOR TO ENSURE THAT ALL ADA ROUTES, SIDEWALKS, PATHS, ETC. HAVE A LONGITUDINAL SLOPE OF LESS THAN 5% AND A CROSS SLOPE OF LESS THAN 2%. CONTRACTOR SHALL NOTIFY ENGINEER IMMEDIATELY, AND PRIOR TO POURING OF CONCRETE, IF ANY ADA ROUTES EXCEED THE CRITERIA LISTED ABOVE.

DRAINAGE NOTES

CONTRACTOR TO CONFIRM STRUCTURE ELEVATIONS SHOWN AND PROVIDE SHOP DRAWINGS TO OWNER & ENGINEER FOR REVIEW PRIOR TO ORDERING OF OR INSTALLATION OF STRUCTURES.

PRECAST STRUCTURES MAY BE USED AT CONTRACTORS OPTION.

STORM PIPE SHALL BE AS FOLLOWS UNLESS OTHERWISE NOTED:
- TYPE 1: RCP, CLASS III PER ASTM C-76, WITH FLEXIBLE PLASTIC BITUMEN GASKETS AT JOINTS.
- TYPE 2: SPIRAL RIB METAL PIPE TYPE 1R: ALUMINIZED COATED AS SPECIFIED ON CONSTRUCTION DRAWINGS. ONLY PERMITTED WHEN SPECIFICALLY INDICATED ON CONSTRUCTION DRAWINGS. PIPE ENDS SHALL BE RE-CORRUGATED AND INSTALLED WITH SEMI-CORRUGATED HUGGER-TYPE BANDS AND "O" RING GASKETS IN ACCORDANCE WITH PIPE MANUFACTURER'S INSTALLATION REQUIREMENTS. SPIRAL RIB METAL PIPE MUST COMPLY WITH ASTM A 760 TYPE 1R. ACCEPTABLE MANUFACTURER: CONTECH, INC." ULTRA FLO OR ULTRA FLO II", CALDWELL CULVERT CO. "SMOOTH RIB", OR APPROVED EQUAL.
- TYPE 3: HIGH DENSITY POLYETHYLENE, ADS N-12 ST IB PIPE (PER AASHTO M294), OR APPROVED EQUAL, SHALL HAVE A SMOOTH INTERIOR AND ANNULAR EXTERIOR CORRUGATIONS. 4- THROUGH 60-INCH SHALL MEET AASHTO M294. PIPE SHALL BE JOINED USING A BELL & SPIGOT JOINT MEETING AASHTO M294. THE JOINT SHALL BE SOIL-TIGHT AND GASKETS, WHEN APPLICABLE, SHALL MEET THE REQUIREMENTS OF ASTM F477. FITTINGS SHALL CONFORM TO ASTM F 2306. MATERIAL FOR PIPE PRODUCTION SHALL BE AN ENGINEERED COMPOUND OF VIRGIN AND RECYCLED HIGH DENSITY POLYETHYLENE CONFORMING WITH THE MINIMUM REQUIREMENTS OF CELL CLASSIFICATION 424420C (ESCR TEST CONDITION B) FOR 4- THROUGH 10-INCH (100 TO 250 MM) DIAMETERS, AND 435420C (ESCR TEST CONDITION B) FOR 12- THROUGH 60-INCH DIAMETERS, AS DEFINED AND DESCRIBED IN THE LATEST VERSION OF ASTM D3350, EXCEPT THAT CARBON BLACK CONTENT SHOULD NOT EXCEED 4%. INSTALLATION SHALL BE IN ACCORDANCE WITH ASTM D2321 OR PER MANUFACTURER'S RECOMMENDATION.

EXISTING DRAINAGE STRUCTURES TO BE INSPECTED AND REPAIRED AS NEEDED, AND EXISTING PIPES TO BE CLEANED OUT TO REMOVE ALL SILT AND DEBRIS.

IF ANY EXISTING STRUCTURES TO REMAIN ARE DAMAGED DURING CONSTRUCTION IT SHALL BE THE CONTRACTORS RESPONSIBILITY TO REPAIR AND/OR REPLACE THE EXISTING STRUCTURE AS NECESSARY TO RETURN IT TO EXISTING CONDITIONS OR BETTER.

ALL STORM PIPE ENTERING STRUCTURES SHALL BE GROUTED TO ASSURE CONNECTION AT STRUCTURE IS WATERTIGHT.

ALL STORM SEWER MANHOLES IN PAVED AREAS SHALL BE FLUSH WITH PAVEMENT, AND SHALL HAVE TRAFFIC BEARING RING & COVERS. MANHOLES IN UNPAVED AREAS SHALL BE 6" ABOVE FINISH GRADE. LIDS SHALL BE LABELED "STORM SEWER".

ALL STORM STRUCTURES SHALL HAVE A SMOOTH UNIFORM POURED MORTAR INVERT FROM INVERT IN TO INVERT OUT.

ALL STORM DRAINAGE WITHIN THE PUBLIC RIGHT-OF-WAY SHALL BE CLASS III REINFORCED CONCRETE PIPE, UNLESS OTHERWISE SHOWN.

A MINIMUM GRADE OF 0.50% SHALL BE MAINTAINED ON ALL PIPES.

ALL PIPE LENGTHS AND SLOPES ARE APPROXIMATE.

ALL PIPES SHALL BE LAID ON STRAIGHT ALIGNMENTS AND EVEN GRADES USING A PIPE LASER OR OTHER ACCURATE METHOD.

SUBSURFACE DRAINAGE FACILITIES MAY RE REQUIRED IN THE STREET RIGHT-OF-WAY IF DEEMED NECESSARY BY THE INSPECTOR.

UNDERGROUND UTILITY LINES SHALL BE INSTALLED IN ACCORDANCE WITH THE FOLLOWING STANDARDS IN ADDITION TO OTHER APPLICABLE CRITERIA:
- A. NO MORE THAN 500 LF OF TRENCH MAY BE OPENED AT ONE TIME.
- B. EXCAVATED MATERIAL SHALL BE PLACED ON THE UPHILL SIDE OF TRENCHES.
- C. EFFLUENT FROM DEWATERING OPERATIONS SHALL BE FILTERED OR PASSED THROUGH AN APPROVED SEDIMENT TRAPPING DEVICE, OR BOTH, AND DISCHARGED IN A MANNER THAT DOES NOT ADVERSELY AFFECT FLOWING STREAMS OR OFF-SITE PROPERTY.
- D. MATERIAL USED FOR BACK-FILLING TRENCHES SHALL BE PROPERLY COMPACTED IN ORDER TO MINIMIZE EROSION AND PROMOTE STABILIZATION.
- E. DESTABILIZATION SHALL BE ACCOMPLISHED IN ACCORDANCE WITH THE EROSION AND SEDIMENT CONTROL REGULATIONS.
- F. APPLICABLE SAFETY REGULATIONS SHALL BE COMPLIED WITH.

THIS PLAN DETAILS PIPES UP TO 5FT FROM THE BUILDING FACE. REFER TO ARCHITECTURAL DRAWINGS FOR BUILDING CONNECTIONS. CONTRACTOR SHALL SUPPLY AND INSTALL PIPE ADAPTERS AS NECESSARY.

STRUCTURE TOP ELEVATIONS SHOWN HERE ARE APPROXIMATE. CONTRACTOR SHALL ADJUST AS NECESSARY.

UTILITY NOTES

ALL FILL MATERIAL IS TO BE IN PLACE, AND COMPACTED BEFORE INSTALLATION OF PROPOSED UTILITIES.

CONTRACTOR SHALL NOTIFY THE UTILITY AUTHORITIES INSPECTORS 72-HOURS BEFORE CONNECTING TO ANY EXISTING LINE.

SANITARY SEWER PIPE, AS SHOWN ON PLANS, SHALL BE AS FOLLOWS:
- PVC PER ASTM D 3034
- DUCTILE IRON PIPE PER AWWA C150
- PIPE RUNS BETWEEN MANHOLES TO BE THE SAME CLASS.

WATER LINES, AS SHOWN ON PLANS, SHALL BE AS FOLLOWS:
- PVC C-900 PER ASTM D 2241, CLASS 200 UNDER PUBLIC ROADS, OTHERWISE CLASS 150
- DUCTILE IRON PIPE PER AWWA C150
- EITHER COPPER TUBE TYPE "L" (SOFT) PER ANSI 816.22
- PVC, 200 P.S.I. PER ASTM D1784 AND D2241.

MINIMUM TRENCH WIDTH SHALL BE 2 FEET.

ALL WATER JOINTS ARE TO BE MECHANICAL JOINTS WITH THRUST BLOCKING AS CALLED OUT IN THE SPECIFICATIONS.

ALL UTILITIES SHOULD BE KEPT TEN (10') APART (PARALLEL) OR WHEN CROSSING 18" VERTICAL CLEARANCE (OUTSIDE EDGE OF PIPE TO OUTSIDE EDGE OF PIPE).

CONTRACTOR SHALL MAINTAIN A MINIMUM OF 3'-0" COVER ON ALL WATERLINES UNLESS OTHERWISE SPECIFIED BY UTILITY PROVIDER.

IN THE EVENT OF A VERTICAL CONFLICT BETWEEN WATERLINES, SANITARY LINES, STORM LINES AND GAS LINES (EXISTING AND PROPOSED), THE SANITARY LINE SHALL BE DUCTILE IRON PIPE WITH MECHANICAL JOINTS AT LEAST 10 FEET ON BOTH SIDES OF CROSSING, THE WATERLINE SHALL HAVE MECHANICAL JOINTS WITH APPROPRIATE THRUST BLOCKING AS REQUIRED TO PROVIDE A MINIMUM OF 18" CLEARANCE. MEETING REQUIREMENTS OF ANSI A21.10 OR ANSI 21.11 (AWWA C-151) (CLASS 50).

LINES UNDERGROUND SHALL BE INSTALLED, INSPECTED AND APPROVED BEFORE BACKFILLING.

TOPS OF EXISTING MANHOLES SHALL BE RAISED AS NECESSARY TO BE FLUSH WITH PROPOSED PAVEMENT ELEVATIONS, AND TO BE ONE FOOT ABOVE FINISHED GROUND ELEVATIONS IN UNPAVED AREAS WITH WATER TIGHT LIDS.

ALL CONCRETE FOR ENCASEMENTS SHALL HAVE A MINIMUM 28 DAY COMPRESSION STRENGTH AT 3,000 P.S.I.

DRAWINGS DO NOT PURPORT TO SHOW ALL EXISTING UTILITIES.

EXISTING UTILITIES SHALL BE VERIFIED IN FIELD PRIOR TO INSTALLATION OF ANY NEW LINES.

REFER TO INTERIOR PLUMBING DRAWINGS FOR TIE-IN OF ALL UTILITIES.

CONTRACTOR IS RESPONSIBLE FOR COMPLYING TO THE SPECIFICATIONS OF THE LOCAL JURISDICTION WITH REGARDS TO MATERIALS AND INSTALLATION OF THE WATER AND SEWER LINES.

THE CONTRACTOR IS SPECIFICALLY CAUTIONED THAT THE LOCATION AND/OR ELEVATION OF EXISTING UTILITIES AS SHOWN ON THESE PLANS WAS PROVIDED BY THE LAND SURVEYOR AND IS BASED ON RECORDS OF THE VARIOUS UTILITY COMPANIES AND, WHERE POSSIBLE, MEASUREMENTS TAKEN IN THE FIELD. THE INFORMATION IS NOT TO BE RELIED ON AS BEING EXACT OR COMPLETE. THE CONTRACTOR MUST CALL THE APPROPRIATE UTILITY COMPANIES AT LEAST 72 HOURS BEFORE ANY EXCAVATION TO REQUEST EXACT FIELD LOCATION OF UTILITIES. IT SHALL BE THE RESPONSIBILITY OF THE CONTRACTOR TO RELOCATE ALL EXISTING UTILITIES WHICH CONFLICT WITH THE PROPOSED IMPROVEMENTS SHOWN ON THE PLANS.

CONTRACTOR SHALL COORDINATE WITH ALL UTILITY COMPANIES FOR INSTALLATION REQUIREMENTS AND SPECIFICATIONS.

IT SHALL BE THE RESPONSIBILITY OF THE CONTRACTOR TO RELOCATE ALL EXISTING UTILITIES WHICH CONFLICT WITH THE PROPOSED IMPROVEMENTS SHOWN ON THE PLANS.

ALL EXISTING AND PROPOSED UTILITY MAIN LENGTHS SHOWN ARE APPROXIMATE.

ALL EXISTING UTILITIES PROPOSED TO BE RELOCATED ON THESE PLANS SHALL BE PLACED UNDERGROUND, UNLESS OTHERWISE NOTED.

CONTRACTOR TO REFERENCE MEP PLANS FOR ALL GREASE TRAP SIZING, DETAILS, CLEANOUTS, SAMPLE WELLS, AND VENT PIPING. GREASE TRAPS SHOWN ON CIVIL DRAWINGS ARE FOR REFERENCE ONLY.

PREPARED IN THE OFFICE OF:

GASKINS
+LECRAW
a PAPE-DAWSON company
© 2026 GASKINS + LECRAW
3475 CORPORATE WAY
SUITE A
DULUTH, GA 30096
PHONE - 678.546.8100
www.gaskinslecraw.com
PEF008127

REVISIONS:

REV. #	DATE	DRAWN BY	CHECKED BY

CLIENT
PRAXIS3
100 PEACHTREE STREET NW, SUITE 1450, ATLANTA, GEORGIA 30303

PROJECT
FIFTH THIRD BANK - WARNER ROBINS, GA
2711 WATSON BLVD
PARCEL ID: 0W0780-005000
WARNER ROBINS, HOUSTON COUNTY, GEORGIA

SEAL:

No. PE036681
TIMOTHY KYLE SHARPE
7/9/2026

CALL BEFORE YOU DIG

811
Know what's below.
Call before you dig.

SCALE & NORTH ARROW:

DESIGN INFO:

DRAWN BY:	JOA
DESIGNED BY:	MAT
REVIEWED BY:	TKS
JOB #:	75670007
DATE:	JULY 9, 2026

GENERAL NOTES

C-0.1

Drawing name: C:\Users\cklentz\Gaskins+LeCraw Dropbox\Shared Folders\Engineering\75670007 - Praxis3 - Fifth Third - Warner Robins_GA\CADD\CONSTR\75670007 - 01 - GEN NOTES.dwg GENERAL NOTES Jul 09, 2026 10:49am by: cklentz

This document, together with the concepts and designs presented herein, as an instrument of service, is intended only for the specific purpose and client for which it was prepared. Reuse of and improper reliance on this document without written authorization and adaptation by Gaskins + LeCraw, a Pape-Dawson Company shall be without liability to Gaskins + LeCraw, a Pape-Dawson Company, Copyright Gaskins + LeCraw, a Pape-Dawson Company, 2026

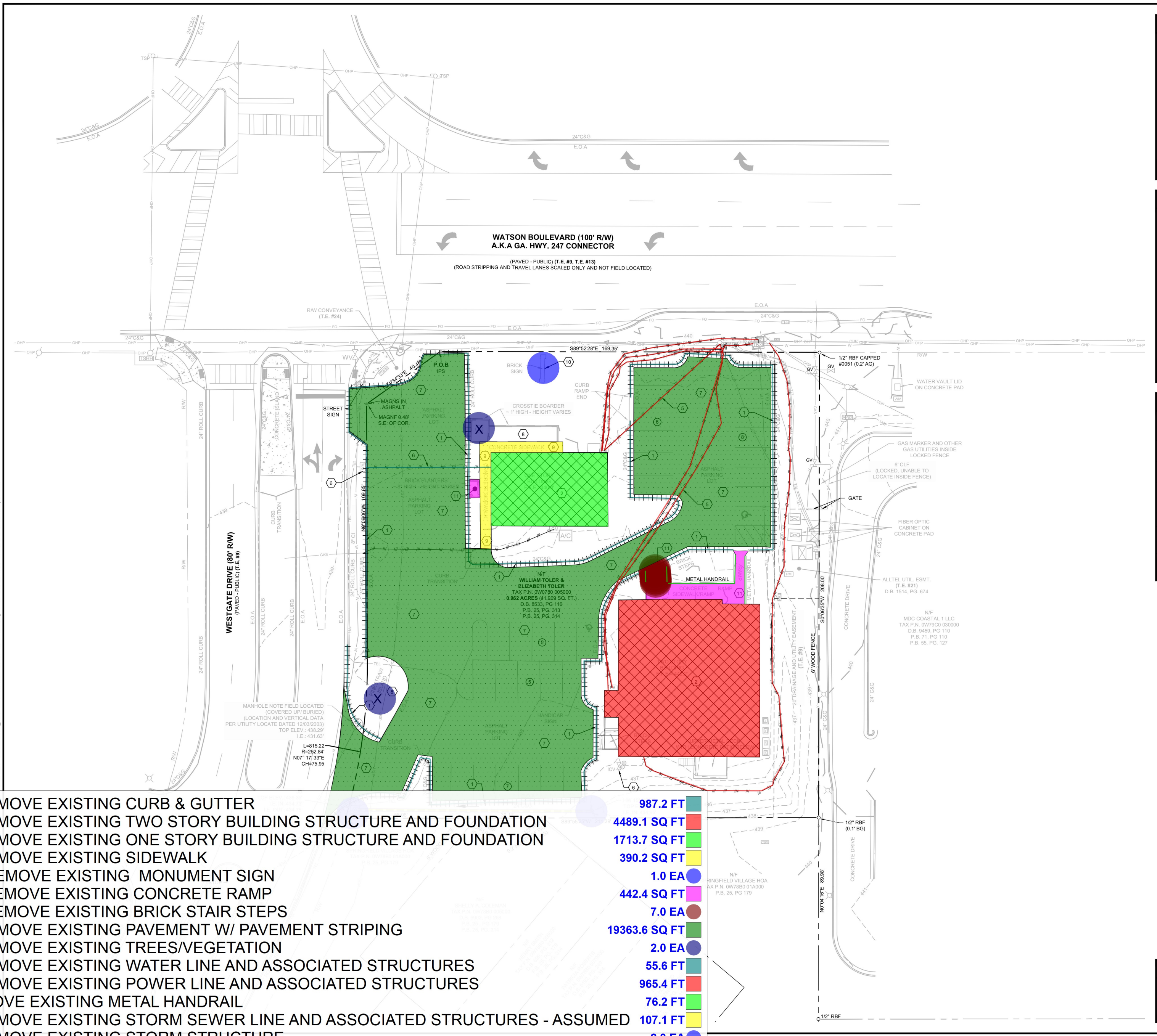
WATSON BOULEVARD (100' R/W)
A.K.A GA. HWY. 247 CONNECTOR
(PAVED - PUBLIC) (T.E. #9, T.E. #13)
(ROAD STRIPPING AND TRAVEL LANES SCALED ONLY AND NOT FIELD LOCATED)
WESTGATE DRIVE (80' R/W)
(PAVED - PUBLIC) (T.E. #9)
R/W CONVEYANCE
(T.E. #24)
S89°52'28"E 169.35'
P.O.B
IPS
BRICK SIGN
CURB RAMP END
CROSSTIE BOARDER
~ 1' HIGH - HEIGHT VARIES
STREET SIGN
MAGNS IN ASHPALT
MAGNF 0.48' S.E. OF COR.
ASPHALT PARKING LOT
BRICK PLANTERS
~8' HIGH - HEIGHT VARIES
CONCRETE SIDEWALK
ONE STORY BUILDING
A/C
N0°09'06"W 109.85'
CURB TRANSITION
N/F
WILLIAM TOLER &
ELIZABETH TOLER
TAX P.N. 0W0780 005000
0.962 ACRES (41,909 SQ. FT.)
D.B. 8533, PG 116
P.B. 25, PG. 313
P.B. 25, PG. 314
BRICK STEPS
METAL HANDRAIL
CONCRETE SIDEWALK/RAMP
RAMP
TWO STORY BUILDING
1/2" RBF CAPPED
#0051 (0.2' AG)
WATER VAULT LID
ON CONCRETE PAD
GAS MARKER AND OTHER
GAS UTILITIES INSIDE
LOCKED FENCE
6' CLF
(LOCKED, UNABLE TO
LOCATE INSIDE FENCE)
GATE
FIBER OPTIC
CABINET ON
CONCRETE PAD
ALLTEL UTIL. ESMT.
(T.E. #21)
D.B. 1514, PG. 674
N/F
MDC COASTAL 1 LLC
TAX P.N. 0W79C0 030000
D.B. 9459, PG 110
P.B. 71, PG 110
P.B. 55, PG. 127
S0°06'35"W 208.00'
6' WOOD FENCE
20' DRAINAGE AND UTILITY EASEMENT
(T.E. #9)
CONCRETE DRIVE
MANHOLE NOTE FIELD LOCATED
(COVERED UP/ BURIED)
(LOCATION AND VERTICAL DATA
PER UTILITY LOCATE DATED 12/03/2003)
TOP ELEV.: 438.29'
I.E.: 431.63'
L=815.22'
R=252.84'
N07° 17' 33"E
CH=75.95
1/2" RBF
(0.1' BG)
N0°04'16"E 89.98'
N/F
SPRINGFIELD VILLAGE HOA
TAX P.N. 0W78B0 01A000
P.B. 25, PG 179
1/2" RBF

1: REMOVE EXISTING CURB & GUTTER	987.2 FT 🟩
2: REMOVE EXISTING TWO STORY BUILDING STRUCTURE AND FOUNDATION	4489.1 SQ FT 🟥
2: REMOVE EXISTING ONE STORY BUILDING STRUCTURE AND FOUNDATION	1713.7 SQ FT 🟩
9: REMOVE EXISTING SIDEWALK	390.2 SQ FT 🟨
10: REMOVE EXISTING MONUMENT SIGN	1.0 EA ●
11: REMOVE EXISTING CONCRETE RAMP	442.4 SQ FT 🟪
11: REMOVE EXISTING BRICK STAIR STEPS	7.0 EA ●
7: REMOVE EXISTING PAVEMENT W/ PAVEMENT STRIPING	19363.6 SQ FT 🟩
8: REMOVE EXISTING TREES/VEGETATION	2.0 EA ●
6: REMOVE EXISTING WATER LINE AND ASSOCIATED STRUCTURES	55.6 FT 🟩
5: REMOVE EXISTING POWER LINE AND ASSOCIATED STRUCTURES	965.4 FT 🟥
REMOVE EXISTING METAL HANDRAIL	76.2 FT 🟩
4: REMOVE EXISTING STORM SEWER LINE AND ASSOCIATED STRUCTURES - ASSUMED	107.1 FT 🟨
4: REMOVE EXISTING STORM STRUCTURE	2.0 EA ●

GENERAL DEMOLITION NOTES

1) CONTRACTOR TO ENSURE ALL APPROPRIATE EROSION CONTROL MEASURES, INCLUDING TREE PROTECTION FENCING, ARE IN PLACE PRIOR TO ANY DEMOLITION ACTIVITY TAKING PLACE.

2) CONTRACTOR TO ABIDE BY ALL APPLICABLE FEDERAL, STATE, AND LOCAL LAWS CONCERNING THE REMOVAL, DEMOLITION, AND/OR DISPOSAL OF POSSIBLE HARMFUL MATERIALS INCLUDING LEAD PAINT, ASBESTOS, ETC. DURING ALL PHASES OF CONSTRUCTION.

3) CONTRACTOR TO SAW CUT EXISTING PAVEMENT FULL DEPTH AT EDGE OF DEMOLITION LIMITS.

4) ALL ITEMS NOTED FOR REMOVAL/DEMOLITION SHALL BE REMOVED FROM THE SITE OR DISPOSED OF IN A LEGAL MANNER.

5) BOUNDARY & TOPOGRAPHIC SURVEY BY GASKINS+LECRAW, A PAPE DAWSON COMPANY, DATED 05.08.2026. BENCHMARK IS NOTED ON SURVEY.

6) FLOOD PLAIN IS NOT PRESENT ON THIS SITE AS SHOWN ON THE FEMA FIRM MAP NUMBER 13153C0085E, DATED 09.28.2007.

7) VERTICAL DEPTH OF ALL DRY AND PRESSURIZED UTILITIES IS UNKNOWN. CONTRACTOR TO NOTIFY OWNER AND ENGINEER IMMEDIATELY IF ANY CONFLICTS ARE FOUND.

LEGEND

▨	DEMOLISH EXISTING STRUCTURES
▒	DEMOLISH EXISTING PAVEMENT
—/—	DEMOLISH EXISTING UTILITIES
┼┼┼┼	DEMOLISH EXISTING CURB/GUTTER
X	DEMOLISH EXISTING TREE

KEY NOTES

1	REMOVE EXISTING CURB & GUTTER
2	REMOVE EXISTING BUILDING/STRUCTURE AND FOUNDATION
3	REMOVE EXISTING SANITARY SEWER LINE AND ASSOCIATED STRUCTURES, CONTRACTOR TO COORDINATE WITH APPROPRIATE UTILITY COMPANY AS NECESSARY
4	REMOVE EXISTING STORM SEWER LINE AND ASSOCIATED STRUCTURES, CONTRACTOR TO COORDINATE WITH APPROPRIATE UTILITY COMPANY AS NECESSARY
5	REMOVE EXISTING POWER LINE AND ASSOCIATED STRUCTURES, CONTRACTOR TO COORDINATE WITH APPROPRIATE UTILITY COMPANY AS NECESSARY
6	REMOVE EXISTING WATER LINE AND ASSOCIATED STRUCTURES, CONTRACTOR TO COORDINATE WITH APPROPRIATE UTILITY COMPANY AS NECESSARY
7	EXISTING PAVEMENT TO BE REMOVED
8	EXISTING TREE/VEGETATION TO BE REMOVED
9	REMOVE EXISTING SIDEWALK
10	REMOVE EXISTING MONUMENT SIGN
11	REMOVE EXISTING CONCRETE RAMP AND STAIRS

CAUTION

THE UTILITES SHOWN ARE SHOWN FOR THE CONTRACTORS CONVENIENCE ONLY. THERE MAY BE OTHER UTILITIES NOT SHOWN ON THESE PLANS. THE ENGINEER ASSUMES NO RESPONSIBILITY FOR THE LOCATIONS OF UNDERGROUND UTILITIES, AND IT SHALL BE THE CONTRACTORS RESPONSIBILITY TO VERIFY THE LOCATIONS OF ALL UTILITIES SHOWN AS WELL AS THOSE NOT SHOWN WITHIN THE CONSTRUCTION LIMITS. ALL DAMAGE MADE TO EXISTING UTILITIES BY THE CONTRACTOR SHALL BE THE RESPONSIBILITY OF THE CONTRACTOR.

PREPARED IN THE OFFICE OF:

GASKINS
+LECRAW
a PAPE–DAWSON company
© 2026 GASKINS + LECRAW
3475 CORPORATE WAY
SUITE A
DULUTH, GA 30096
PHONE - 678.546.8100
www.gaskinslecraw.com
PEF008127

REVISIONS:

REV. #	DATE	DRAWN BY:	CHECKED BY:
--	-	-	-

CLIENT

PRAXIS3

100 PEACHTREE STREET NW, SUITE 1450, ATLANTA, GEORGIA 30303

PROJECT

FIFTH THIRD BANK - WARNER ROBINS, GA

2711 WATSON BLVD
PARCEL ID: 0W0780-005000
WARNER ROBINS, HOUSTON COUNTY, GEORGIA

SEAL:

No. PE036681
TIMOTHY KYLE SHARPE
7/9/2026

CALL BEFORE YOU DIG

811
Know what's below.
Call before you dig.

SCALE & NORTH ARROW:

N
NORTH ARROW
0' 10' 20' 40'
SCALE: 1" = 20'

DESIGN INFO:

DRAWN BY:	JOA
DESIGNED BY:	MAT
REVIEWED BY:	TKS
JOB #:	75670007
DATE:	JULY 9, 2026

DEMOLITION PLAN

C-1.0

- Fifth Third - Warner Robins_GA\CADD\CONSTR\75670007 - 02 - DEMO.dwg DEMOLITION PLAN Jul 09, 2026 10:48am by: cklentz

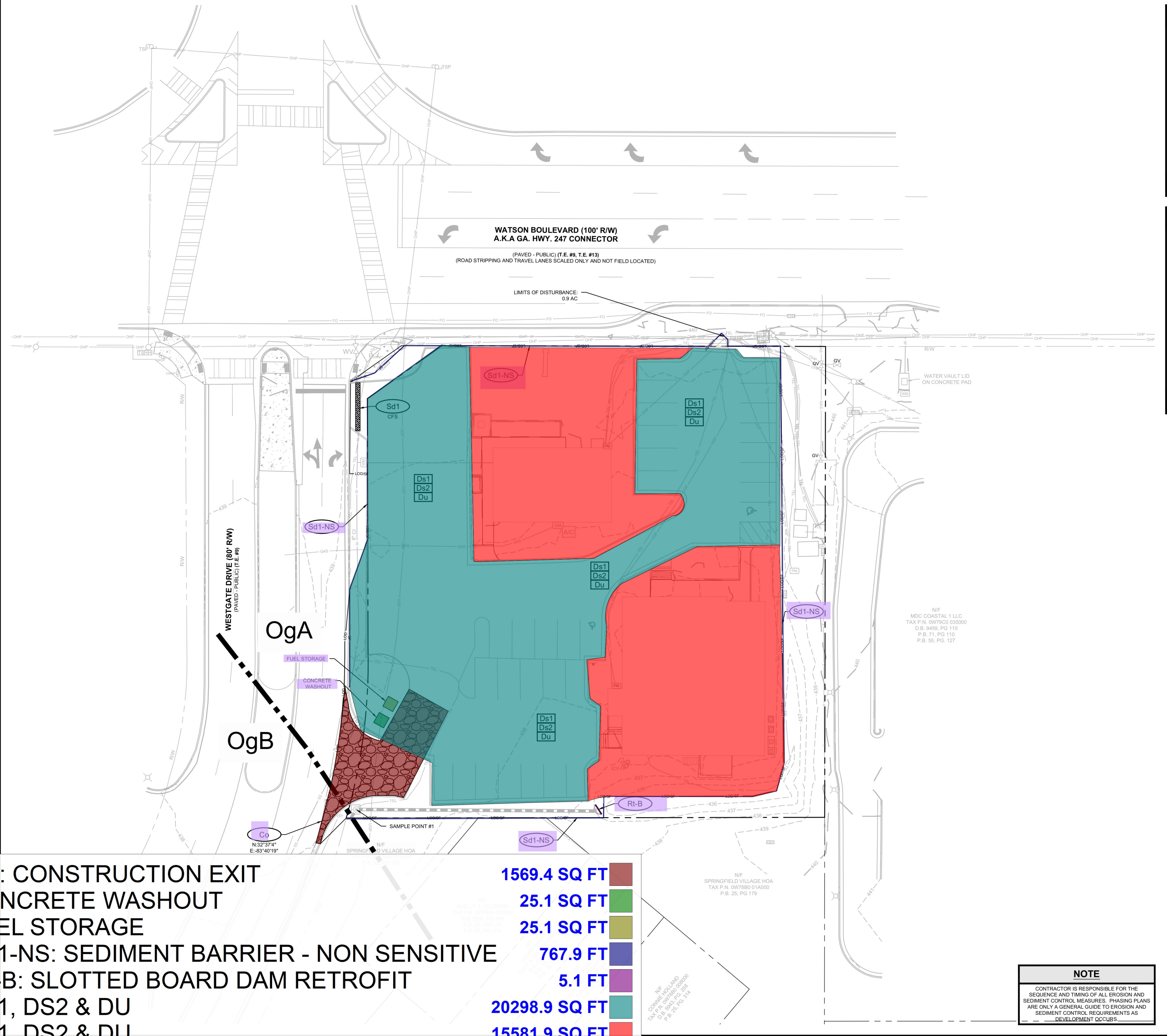

CO: CONSTRUCTION EXIT	1569.4 SQ FT	🟫
CONCRETE WASHOUT	25.1 SQ FT	🟩
FUEL STORAGE	25.1 SQ FT	🟨
SD1-NS: SEDIMENT BARRIER - NON SENSITIVE	767.9 FT	🟦
RT-B: SLOTTED BOARD DAM RETROFIT	5.1 FT	🟪
DS1, DS2 & DU	20298.9 SQ FT	🟩
DS1, DS2 & DU	15581.9 SQ FT	🟥

3 6 GENERAL EROSION CONTROL NOTES

1.) ALL BEST MANAGEMENT PRACTICES ARE TO BE IN ACCORDANCE WITH THE MANUAL FOR EROSION AND SEDIMENT CONTROL IN GEORGIA, PUBLISHED BY THE GEORGIA SOIL AND WATER CONSERVATION COMMISSION EROSION AND SEDIMENT CONTROL STANDARDS.
2.) BOUNDARY & TOPOGRAPHIC SURVEY BY GASKINS+LECRAW, A PAPE DAWSON COMPANY, DATED 05.08.2026. BENCHMARK IS NOTED ON SURVEY.
3.) SOIL TYPES FOR ENTIRE DISTURBED AREA IS OGA PER NRCS WEB SOIL SURVEY
4.) THE ESCAPE OF SEDIMENT FROM THE SITE SHALL BE PREVENTED BY THE INSTALLATION OF EROSION AND SEDIMENTATION CONTROL MEASURES AND PRACTICES SHALL BE INSTALLED PRIOR TO LAND DISTURBING ACTIVITIES.
5.) EROSION AND SEDIMENTATION CONTROL MEASURES AND PRACTICES SHALL BE MAINTAINED AT ALL TIMES. IF FULL IMPLEMENTATION OF THE APPROVED PLAN DOES NOT PROVIDE FOR EFFECTIVE EROSION CONTROL, ADDITIONAL EROSION AND SEDIMENT CONTROL MEASURES SHALL BE IMPLEMENTED TO CONTROL OR TREAT THE SEDIMENT SOURCE. ADDITIONAL EROSION AND SEDIMENTATION CONTROL MEASURES AND PRACTICES SHALL BE INSTALLED IF DEEMED NECESSARY BY ON-SITE INSPECTION.
6.) SEDIMENT STORAGE MAINTENANCE INDICATORS MUST BE INSTALLED IN SEDIMENT STORAGE STRUCTURES, AS REQUIRED, INDICATING THE 1/3 FULL VOLUME.
7.) MAINTENANCE OF ALL SOIL EROSION AND SEDIMENTATION CONTROL MEASURES AND PRACTICES, WHETHER TEMPORARY OR PERMANENT, SHALL BE AT ALL TIMES THE RESPONSIBILITY OF THE PROPERTY OWNER.
8.) WASHOUT OF CONCRETE DRUM AT CONSTRUCTION SITE IS PROHIBITED AND NOT ALLOWED IN WASH AREAS.

TOTAL SITE AREA = 0.96 ACRES
TOTAL DISTURBED AREA = 0.9 ACRES
PHASE 1 DISTURBED AREA = 0.9 ACRES

12 13 14 CERTIFICATION STATEMENT

I CERTIFY THAT THE PERMITTEE'S EROSION, SEDIMENTATION AND POLLUTION CONTROL PLAN PROVIDES FOR AN APPROPRIATE AND COMPREHENSIVE SYSTEM OF BEST MANAGEMENT PRACTICES REQUIRED BY THE GEORGIA WATER QUALITY CONTROL ACT AND THE DOCUMENT "MANUAL FOR EROSION AND SEDIMENT CONTROL IN GEORGIA" PUBLISHED BY THE GEORGIA SOIL AND WATER CONSERVATION COMMISSION AS OF JANUARY 1 OF THE YEAR IN WHICH LAND-DISTURBING ACTIVITY WAS PERMITTED, PROVIDES FOR THE SAMPLING OF THE RECEIVING WATER(S) OR THE SAMPLING OF STORM WATER OUTFALLS AND THAT THE DESIGNED SYSTEM OF BEST MANAGEMENT PRACTICES AND SAMPLING METHODS IS EXPECTED TO MEET THE REQUIREMENTS CONTAINED IN THE GENERAL NPDES PERMIT NO. GAR 100001."

I CERTIFY UNDER PENALTY OF THE LAW THAT THIS PLAN WAS PREPARED AFTER A SITE VISIT TO THE LOCATIONS DESCRIBED HEREIN BY MYSELF OR MY AUTHORIZED AGENT, UNDER MY SUPERVISION."

UPON THE INSTALLATION OF THE PHASE 1 EROSION CONTROL MEASURES, I WILL VISIT THE SITE TO PERFORM THE INSPECTION CERTIFICATION WITHIN 7 DAYS, ONCE NOTIFIED BY THE CONTRACTOR AND CERTIFY THE INSTALLATION OF PHASE 1 BMPS.

KS ________ 7/9/26
GEORGIA LICENSED PROFESSIONAL (SIGN) DATE

TIMOTHY KYLE SHARPE
GEORGIA LICENSED PROFESSIONAL (PRINT)

036681
GEORGIA PE#

0000065749
GEORGIA EROSION CONTROL LEVEL 2 CERTIFICATION 3

24 HOUR CONTACT

DEXTER PATTERSON
678.953.1694
FIFTH THIRD BANK
DEXTER.PATTERSON@53.COM

PRIMARY PERMITTEE

FIFTH THIRD BANK
3344 PEACHTREE ROAD 10TH FLOOR
ATLANTA, GEORGIA 30326
678.953.1694
CONTACT:
DEXTER PATTERSON

47 SOIL SERIES

OgA: ORANGEBURG LOAMY FINE SAND, 0-2% SLOPES
OgB: ORANGEBURG LOAMY FINE SAND, 2-5% SLOPES

2

GSWCC GEORGIA SOIL AND WATER CONSERVATION COMMISSION

KYLE SHARPE
Level II Certified Design Professional
CERTIFICATION NUMBER 0000065749
ISSUED: 02.17.2024 EXPIRES: 02.17.2027

NOTE

CONTRACTOR IS RESPONSIBLE FOR THE SEQUENCE AND TIMING OF ALL EROSION AND SEDIMENT CONTROL MEASURES. PHASING PLANS ARE ONLY A GENERAL GUIDE TO EROSION AND SEDIMENT CONTROL REQUIREMENTS AS DEVELOPMENT OCCURS.

EROSION CONTROL LEGEND

CODE	PRACTICE	MAP SYMBOL	CODE	PRACTICE	MAP SYMBOL
Ds1	DISTURBED AREA STABILIZATION (WITH MULCHING ONLY)	Ds1	Co	CONSTRUCTION EXIT	Co
Ds2	DISTURBED AREA STABILIZATION (WITH TEMPORARY SEEDING)	Ds2	Sd1-NS	SEDIMENT BARRIER (NON-SENSITIVE)	Sd1-NS
Du	DUST CONTROL ON DISTURBED AREAS	Du	Rt-B	SLOTTED BOARD DAM RETROFIT	Rt-B
	LIMITS OF CONSTRUCTION	LOD			

PREPARED IN THE OFFICE OF:

GASKINS
+LECRAW
a PAPE-DAWSON company

3475 CORPORATE WAY
SUITE A
DULUTH, GA 30096
PHONE - 678.546.8100
www.gaskinslecraw.com
PEF008127

8 REVISIONS:

REV. #	DATE	DRAWN BY:	CHECKED BY:
-	-	-	-

CLIENT
PRAXIS3
100 PEACHTREE STREET NW, SUITE 1450, ATLANTA, GEORGIA 30303

PROJECT
FIFTH THIRD BANK - WARNER ROBINS, GA
2711 WATSON BLVD
PARCEL ID: 0W0780-005000
WARNER ROBINS, HOUSTON COUNTY, GEORGIA

SEAL:
No. PE036681
TIMOTHY KYLE SHARPE
7/9/2026

CALL BEFORE YOU DIG
811
Know what's below.
Call before you dig.

SCALE & NORTH ARROW:
37
N
NORTH ARROW
0' 10' 20' 40'
SCALE: 1" = 20'

DESIGN INFO:

DRAWN BY:	JOA
DESIGNED BY:	MAT
REVIEWED BY:	TKS
JOB #:	75670007
DATE:	JULY 9, 2026

8

ESPC - PHASE 1

C-2.0

This document, together with the concepts and designs presented herein, as an instrument of service, is intended only for the specific purpose and client for which it was prepared. Reuse of and improper reliance on this document without written authorization and adaptation by Gaskins + LeCraw, a Pape-Dawson Company shall be without liability to Gaskins + LeCraw, a Pape-Dawson Company, Copyright Gaskins + LeCraw, a Pape-Dawson Company, 2026

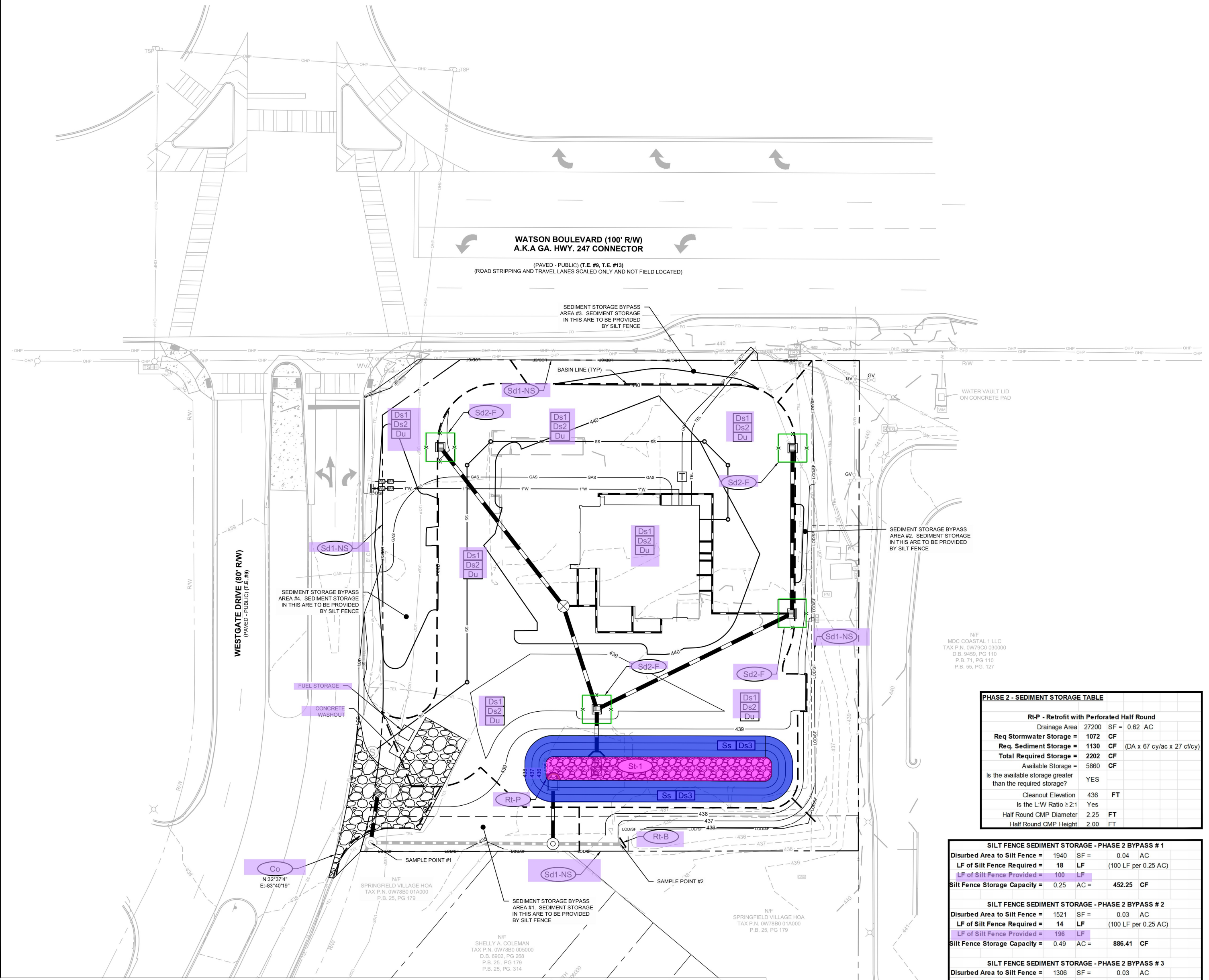
WATSON BOULEVARD (100' R/W)
A.K.A GA. HWY. 247 CONNECTOR
(PAVED - PUBLIC) (T.E. #9, T.E. #13)
(ROAD STRIPPING AND TRAVEL LANES SCALED ONLY AND NOT FIELD LOCATED)
WESTGATE DRIVE (80' R/W)
(PAVED - PUBLIC) (T.E. #9)
SEDIMENT STORAGE BYPASS AREA #3. SEDIMENT STORAGE IN THIS ARE TO BE PROVIDED BY SILT FENCE
SEDIMENT STORAGE BYPASS AREA #2. SEDIMENT STORAGE IN THIS ARE TO BE PROVIDED BY SILT FENCE
SEDIMENT STORAGE BYPASS AREA #4. SEDIMENT STORAGE IN THIS ARE TO BE PROVIDED BY SILT FENCE
SEDIMENT STORAGE BYPASS AREA #1. SEDIMENT STORAGE IN THIS ARE TO BE PROVIDED BY SILT FENCE
BASIN LINE (TYP)
WATER VAULT LID ON CONCRETE PAD
FUEL STORAGE
CONCRETE WASHOUT
SAMPLE POINT #1
SAMPLE POINT #2
Co
N:32°37'4"
E:-83°40'19"
Sd1-NS
Sd2-F
Ds1
Ds2
Du
Ss
Ds3
St-1
Rt-P
Rt-B
440
439
438
437
436
N/F
MDC COASTAL 1 LLC
TAX P.N. 0W79C0 030000
D.B. 9459, PG 110
P.B. 71, PG 110
P.B. 55, PG. 127
N/F
SPRINGFIELD VILLAGE HOA
TAX P.N. 0W78B0 01A000
P.B. 25, PG 179
N/F
SHELLY A. COLEMAN
TAX P.N. 0W78B0 005000
D.B. 6902, PG 268
P.B. 25 , PG 179
P.B. 25, PG. 314

SD2-F: TRMPORARY INLETE SEDIMENT TRAP(FILTER FABRI…	193.7 FT	🟩
RT-P: PERFORATED HALF-ROUND PIPE RETROFIT	7.5 FT	🟨
SS, DS3: AREA	2114.0 SQ FT	🟦
ST-1:	962.4 SQ FT	🟪

GENERAL EROSION CONTROL NOTES

3 6

1.) ALL BEST MANAGEMENT PRACTICES ARE TO BE IN ACCORDANCE WITH THE MANUAL FOR EROSION AND SEDIMENT CONTROL IN GEORGIA, PUBLISHED BY THE GEORGIA SOIL AND WATER CONSERVATION COMMISSION EROSION AND SEDIMENT CONTROL STANDARDS.
2.) BOUNDARY & TOPOGRAPHIC SURVEY BY GASKINS+LECRAW, A PAPE DAWSON COMPANY, DATED 05.08.2026. BENCHMARK IS NOTED ON SURVEY.
3.) SOIL TYPES FOR ENTIRE DISTURBED AREA IS OGA PER NRCS WEB SOIL SURVEY
4.) THE ESCAPE OF SEDIMENT FROM THE SITE SHALL BE PREVENTED BY THE INSTALLATION OF EROSION AND SEDIMENTATION CONTROL MEASURES AND PRACTICES SHALL BE INSTALLED PRIOR TO LAND DISTURBING ACTIVITIES.
5.) EROSION AND SEDIMENTATION CONTROL MEASURES AND PRACTICES SHALL BE MAINTAINED AT ALL TIMES. IF FULL IMPLEMENTATION OF THE APPROVED PLAN DOES NOT PROVIDE FOR EFFECTIVE EROSION CONTROL, ADDITIONAL EROSION AND SEDIMENT CONTROL MEASURES SHALL BE IMPLEMENTED TO CONTROL OR TREAT THE SEDIMENT SOURCE. ADDITIONAL EROSION AND SEDIMENTATION CONTROL MEASURES AND PRACTICES SHALL BE INSTALLED IF DEEMED NECESSARY BY ON-SITE INSPECTION.
6.) SEDIMENT STORAGE MAINTENANCE INDICATORS MUST BE INSTALLED IN SEDIMENT STORAGE STRUCTURES, AS REQUIRED, INDICATING THE 1/3 FULL VOLUME.
7.) MAINTENANCE OF ALL SOIL EROSION AND SEDIMENTATION CONTROL MEASURES AND PRACTICES, WHETHER TEMPORARY OR PERMANENT, SHALL BE AT ALL TIMES THE RESPONSIBILITY OF THE PROPERTY OWNER.
8.) WASHOUT OF CONCRETE DRUM AT CONSTRUCTION SITE IS PROHIBITED AND NOT ALLOWED IN WASH AREAS.

TOTAL SITE AREA = 0.96 ACRES
TOTAL DISTURBED AREA = 0.9 ACRES
PHASE 2 DISTURBED AREA = 1.0 ACRES

CERTIFICATION STATEMENT

12 13 14

I CERTIFY THAT THE PERMITTEE'S EROSION, SEDIMENTATION AND POLLUTION CONTROL PLAN PROVIDES FOR AN APPROPRIATE AND COMPREHENSIVE SYSTEM OF BEST MANAGEMENT PRACTICES REQUIRED BY THE GEORGIA WATER QUALITY CONTROL ACT AND THE DOCUMENT "MANUAL FOR EROSION AND SEDIMENT CONTROL IN GEORGIA" PUBLISHED BY THE GEORGIA SOIL AND WATER CONSERVATION COMMISSION AS OF JANUARY 1 OF THE YEAR IN WHICH LAND-DISTURBING ACTIVITY WAS PERMITTED, PROVIDES FOR THE SAMPLING OF THE RECEIVING WATER(S) OR THE SAMPLING OF STORM WATER OUTFALLS AND THAT THE DESIGNED SYSTEM OF BEST MANAGEMENT PRACTICES AND SAMPLING METHODS IS EXPECTED TO MEET THE REQUIREMENTS CONTAINED IN THE GENERAL NPDES PERMIT NO. GAR 100001."

I CERTIFY UNDER PENALTY OF THE LAW THAT THIS PLAN WAS PREPARED AFTER A SITE VISIT TO THE LOCATIONS DESCRIBED HEREIN BY MYSELF OR MY AUTHORIZED AGENT, UNDER MY SUPERVISION."

UPON THE INSTALLATION OF THE PHASE 1 EROSION CONTROL MEASURES, I WILL VISIT THE SITE TO PERFORM THE INSPECTION CERTIFICATION WITHIN 7 DAYS, ONCE NOTIFIED BY THE CONTRACTOR AND CERTIFY THE INSTALLATION OF PHASE 1 BMPS.

KS 7/9/26
GEORGIA LICENSED PROFESSIONAL (SIGN) DATE

TIMOTHY KYLE SHARPE
GEORGIA LICENSED PROFESSIONAL (PRINT)

036681
GEORGIA PE#

0000065749
GEORGIA EROSION CONTROL LEVEL 2 CERTIFICATION 3

24 HOUR CONTACT

DEXTER PATTERSON
678.953.1694
FIFTH THIRD BANK
DEXTER.PATTERSON@53.COM

PRIMARY PERMITTEE

FIFTH THIRD BANK
3344 PEACHTREE ROAD 10TH FLOOR
ATLANTA, GEORGIA 30326
678.953.1694
CONTACT:
DEXTER PATTERSON

2

GSWCC GEORGIA SOIL AND WATER CONSERVATION COMMISSION

KYLE SHARPE
Level II Certified Design Professional
CERTIFICATION NUMBER 0000065749
ISSUED: 02.17.2024 EXPIRES: 02.17.2027

NOTE

CONTRACTOR IS RESPONSIBLE FOR THE SEQUENCE AND TIMING OF ALL EROSION AND SEDIMENT CONTROL MEASURES. PHASING PLANS ARE ONLY A GENERAL GUIDE TO EROSION AND SEDIMENT CONTROL REQUIREMENTS AS DEVELOPMENT OCCURS.

PHASE 2 - SEDIMENT STORAGE TABLE

Rt-P - Retrofit with Perforated Half Round				
Drainage Area	27200	SF =	0.62	AC
Req Stormwater Storage =	**1072**	**CF**		
Req. Sediment Storage =	**1130**	**CF**	(DA x 67 cy/ac x 27 cf/cy)	
Total Required Storage =	**2202**	**CF**		
Available Storage =	5860	**CF**		
Is the available storage greater than the required storage?	YES			
Cleanout Elevation	436	**FT**		
Is the L:W Ratio ≥ 2:1	Yes			
Half Round CMP Diameter	2.25	**FT**		
Half Round CMP Height	2.00	FT		

SILT FENCE SEDIMENT STORAGE - PHASE 2 BYPASS # 1

Disurbed Area to Silt Fence =	1940	SF =	0.04	AC
LF of Silt Fence Required =	**18**	**LF**	(100 LF per 0.25 AC)	
LF of Silt Fence Provided =	100	LF		
Silt Fence Storage Capacity =	0.25	AC =	**452.25**	**CF**

SILT FENCE SEDIMENT STORAGE - PHASE 2 BYPASS # 2

Disurbed Area to Silt Fence =	1521	SF =	0.03	AC
LF of Silt Fence Required =	**14**	**LF**	(100 LF per 0.25 AC)	
LF of Silt Fence Provided =	196	LF		
Silt Fence Storage Capacity =	0.49	AC =	**886.41**	**CF**

SILT FENCE SEDIMENT STORAGE - PHASE 2 BYPASS # 3

Disurbed Area to Silt Fence =	1306	SF =	0.03	AC
LF of Silt Fence Required =	**12**	**LF**	(100 LF per 0.25 AC)	
LF of Silt Fence Provided =	134	LF		
Silt Fence Storage Capacity =	0.335	AC =	**606.015**	**CF**

SILT FENCE SEDIMENT STORAGE - PHASE 2 BYPASS # 4

Disurbed Area to Silt Fence =	4633	SF =	0.11	AC
LF of Silt Fence Required =	**43**	**LF**	(100 LF per 0.25 AC)	
LF of Silt Fence Provided =	210	LF		
Silt Fence Storage Capacity =	0.525	AC =	**949.725**	**CF**

EROSION CONTROL LEGEND

CODE	PRACTICE	MAP SYMBOL	CODE	PRACTICE	MAP SYMBOL
Ds1	DISTURBED AREA STABILIZATION (WITH MULCHING ONLY)	Ds1	Co	CONSTRUCTION EXIT	Co
Ds2	DISTURBED AREA STABILIZATION (WITH TEMPORARY SEEDING)	Ds2	Sd1-NS	SEDIMENT BARRIER (NON-SENSITIVE)	Sd1-NS
Du	DUST CONTROL ON DISTURBED AREAS	Du	Rt-B	SLOTTED BOARD DAM RETROFIT	Rt-B
Ds3	DISTURBED AREA STABILIZATION (WITH PERMANENT VEGETATION)	Ds3	St	STORM DRAIN OUTLET PROTECTION	St
Ss	SLOPE STABILIZATION	Ss	Rt-P	PERFORATED HALF-ROUND PIPE RETROFIT	Rt-P
Sd2-F	TEMPORARY INLET SEDIMENT TRAP (FILTER FABRIC W/ SUPPORTING FRAME)			LIMITS OF CONSTRUCTION	LOD

PREPARED IN THE OFFICE OF:

GASKINS +LECRAW
a PAPE–DAWSON company

3475 CORPORATE WAY
SUITE A
DULUTH, GA 30096
PHONE - 678.546.8100
www.gaskinslecraw.com
PEF008127

8 REVISIONS:

REV. #	DATE	DRAWN BY:	CHECKED BY:
--	--	--	--

CLIENT
PRAXIS3
100 PEACHTREE STREET NW, SUITE 1450, ATLANTA, GEORGIA 30303

PROJECT
FIFTH THIRD BANK - WARNER ROBINS, GA
2711 WATSON BLVD
PARCEL ID: 0W0780-005000
WARNER ROBINS, HOUSTON COUNTY, GEORGIA

SEAL:
GEORGIA REGISTERED PROFESSIONAL ENGINEER No. PE036681 TIMOTHY KYLE SHARPE
7/9/2026

CALL BEFORE YOU DIG

811 Know what's below. Call before you dig.

SCALE & NORTH ARROW:

37

N
NORTH ARROW
0'
10'
20'
40'
SCALE: 1" = 20'

DESIGN INFO:

DRAWN BY:	JOA
DESIGNED BY:	MAT
REVIEWED BY:	TKS
JOB #:	75670007
DATE:	JULY 9, 2026

8

ESPC - PHASE 2

C-2.1

…LeCraw Dropbox\Shared Folders\Engineering\75670007 - Praxis3 - Fifth Third - Warner Robins_GA\CADD\CONSTR\75670007 - 03 - ESPC.dwg ESPC PLAN - PHASE 2 Jul 09, 2026 10:50am by: cklentz

This document, together with the concepts and designs presented herein, as an instrument of service, is intended only for the specific purpose and client for which it was prepared. Reuse of and improper reliance on this document without written authorization and adaptation by Gaskins + LeCraw, a Pape-Dawson Company, shall be without liability to Gaskins + LeCraw, a Pape-Dawson Company, Copyright Gaskins + LeCraw, a Pape-Dawson Company, 2026 ntz\Gaskins+LeCraw Dropbox\Shared Folders\Engineering\75670007 - Praxis3 - Fifth Third - Warner Robins_GA\CADD\CONSTR\75670007 - 03 - ESPC.dwg   ESPC PLAN - PHASE 3   Jul 09, 2026 10:50am   by: cklentz

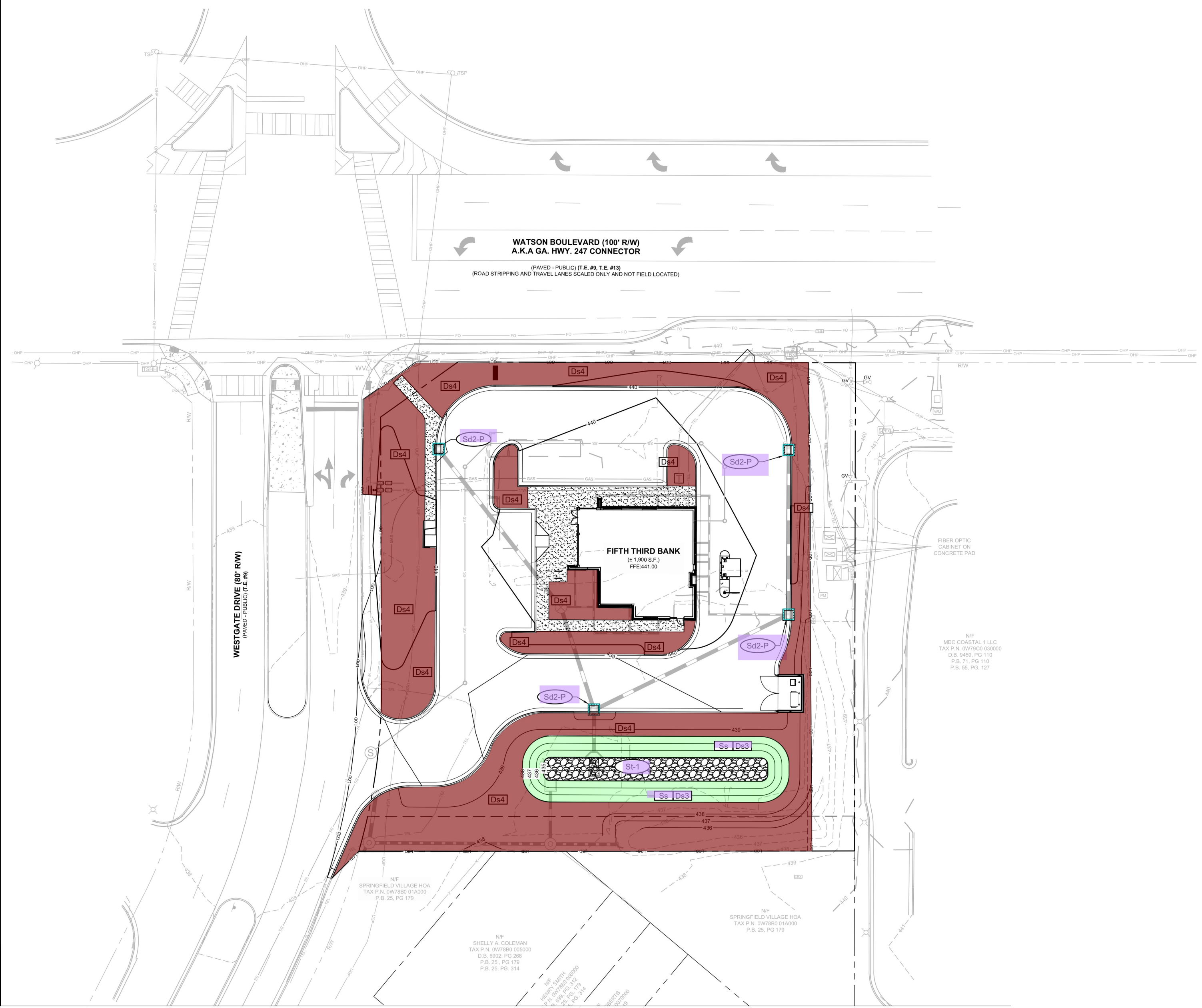
WATSON BOULEVARD (100' R/W)
A.K.A GA. HWY. 247 CONNECTOR
(PAVED - PUBLIC) (T.E. #9, T.E. #13)
(ROAD STRIPPING AND TRAVEL LANES SCALED ONLY AND NOT FIELD LOCATED)
WESTGATE DRIVE (80' R/W)
(PAVED - PUBLIC) (T.E. #9)
FIFTH THIRD BANK
(± 1,900 S.F.)
FFE:441.00
Ds4
Ds4
Ds4
Ds4
Ds4
Ds4
Ds4
Ds4
Ds4
Ds4
Ds4
Ds4
Ds4
Sd2-P
Sd2-P
Sd2-P
Sd2-P
St-1
Ss
Ds3
Ss
Ds3
438
437
436
440
439
GV
GV
R/W
LOD
FIBER OPTIC
CABINET ON
CONCRETE PAD
N/F
MDC COASTAL 1 LLC
TAX P.N. 0W79C0 030000
D.B. 9459, PG 110
P.B. 71, PG 110
P.B. 55, PG. 127
N/F
SPRINGFIELD VILLAGE HOA
TAX P.N. 0W78B0 01A000
P.B. 25, PG 179
N/F
SHELLY A. COLEMAN
TAX P.N. 0W78B0 005000
D.B. 6902, PG 268
P.B. 25 , PG 179
P.B. 25, PG. 314
N/F
HENRY SMITH
TAX P.N. 0W78B0 006000
D.B. 699, PG. 312
P.B. 25, PG. 179
P.B. 25, PG. 314
N/F
SPRINGFIELD VILLAGE HOA
TAX P.N. 0W78B0 01A000
P.B. 25, PG 179

TEMPORARY INLET SEDIMENT TRAP (CURB INLET PROTEC... **74.5 FT** 🟦

DS4 **14393.7 SQ FT** 🟥

GENERAL EROSION CONTROL NOTES

3 6

1.) ALL BEST MANAGEMENT PRACTICES ARE TO BE IN ACCORDANCE WITH THE MANUAL FOR EROSION AND SEDIMENT CONTROL IN GEORGIA, PUBLISHED BY THE GEORGIA SOIL AND WATER CONSERVATION COMMISSION EROSION AND SEDIMENT CONTROL STANDARDS.
2.) BOUNDARY & TOPOGRAPHIC SURVEY BY GASKINS+LECRAW, A PAPE DAWSON COMPANY, DATED 05.08.2026. BENCHMARK IS NOTED ON SURVEY.
3.) SOIL TYPES FOR ENTIRE DISTURBED AREA IS OGA PER NRCS WEB SOIL SURVEY
4.) THE ESCAPE OF SEDIMENT FROM THE SITE SHALL BE PREVENTED BY THE INSTALLATION OF EROSION AND SEDIMENTATION CONTROL MEASURES AND PRACTICES SHALL BE INSTALLED PRIOR TO LAND DISTURBING ACTIVITIES.
5.) EROSION AND SEDIMENTATION CONTROL MEASURES AND PRACTICES SHALL BE MAINTAINED AT ALL TIMES. IF FULL IMPLEMENTATION OF THE APPROVED PLAN DOES NOT PROVIDE FOR EFFECTIVE EROSION CONTROL, ADDITIONAL EROSION AND SEDIMENT CONTROL MEASURES SHALL BE IMPLEMENTED TO CONTROL OR TREAT THE SEDIMENT SOURCE. ADDITIONAL EROSION AND SEDIMENTATION CONTROL MEASURES AND PRACTICES SHALL BE INSTALLED IF DEEMED NECESSARY BY ON-SITE INSPECTION.
6.) SEDIMENT STORAGE MAINTENANCE INDICATORS MUST BE INSTALLED IN SEDIMENT STORAGE STRUCTURES, AS REQUIRED, INDICATING THE 1/3 FULL VOLUME.
7.) MAINTENANCE OF ALL SOIL EROSION AND SEDIMENTATION CONTROL MEASURES AND PRACTICES, WHETHER TEMPORARY OR PERMANENT, SHALL BE AT ALL TIMES THE RESPONSIBILITY OF THE PROPERTY OWNER.
8.) WASHOUT OF CONCRETE DRUM AT CONSTRUCTION SITE IS PROHIBITED AND NOT ALLOWED IN WASH AREAS.

TOTAL SITE AREA = 0.96 ACRES
TOTAL DISTURBED AREA = 0.9 ACRES
PHASE 3 DISTURBED AREA = 1.0 ACRES

CERTIFICATION STATEMENT

12 13 14

I CERTIFY THAT THE PERMITTEE'S EROSION, SEDIMENTATION AND POLLUTION CONTROL PLAN PROVIDES FOR AN APPROPRIATE AND COMPREHENSIVE SYSTEM OF BEST MANAGEMENT PRACTICES REQUIRED BY THE GEORGIA WATER QUALITY CONTROL ACT AND THE DOCUMENT "MANUAL FOR EROSION AND SEDIMENT CONTROL IN GEORGIA" PUBLISHED BY THE GEORGIA SOIL AND WATER CONSERVATION COMMISSION AS OF JANUARY 1 OF THE YEAR IN WHICH LAND-DISTURBING ACTIVITY WAS PERMITTED, PROVIDES FOR THE SAMPLING OF THE RECEIVING WATER(S) OR THE SAMPLING OF STORM WATER OUTFALLS AND THAT THE DESIGNED SYSTEM OF BEST MANAGEMENT PRACTICES AND SAMPLING METHODS IS EXPECTED TO MEET THE REQUIREMENTS CONTAINED IN THE GENERAL NPDES PERMIT NO. GAR 100001."

I CERTIFY UNDER PENALTY OF THE LAW THAT THIS PLAN WAS PREPARED AFTER A SITE VISIT TO THE LOCATIONS DESCRIBED HEREIN BY MYSELF OR MY AUTHORIZED AGENT, UNDER MY SUPERVISION."

UPON THE INSTALLATION OF THE PHASE 1 EROSION CONTROL MEASURES, I WILL VISIT THE SITE TO PERFORM THE INSPECTION CERTIFICATION WITHIN 7 DAYS, ONCE NOTIFIED BY THE CONTRACTOR AND CERTIFY THE INSTALLATION OF PHASE 1 BMPS.

KS 7/9/26
GEORGIA LICENSED PROFESSIONAL (SIGN) DATE

TIMOTHY KYLE SHARPE
GEORGIA LICENSED PROFESSIONAL (PRINT)

036681
GEORGIA PE#

0000065749
GEORGIA EROSION CONTROL LEVEL 2 CERTIFICATION 3

24 HOUR CONTACT

DEXTER PATTERSON
678.953.1694
FIFTH THIRD BANK
DEXTER.PATTERSON@53.COM

PRIMARY PERMITTEE

FIFTH THIRD BANK
3344 PEACHTREE ROAD 10TH FLOOR
ATLANTA, GEORGIA 30326
678.953.1694
CONTACT:
DEXTER PATTERSON

2

GSWCC
GEORGIA SOIL AND WATER CONSERVATION COMMISSION

KYLE SHARPE
Level II Certified Design Professional
CERTIFICATION NUMBER 0000065749
ISSUED: 02.17.2024 EXPIRES: 02.17.2027

FINAL STABILIZATION NOTE

CONTRACTOR TO COORDINATE FINAL STABILIZATION MEASURES WITH LANDSCAPE PLAN FOR LANDSCAPE COVERAGE, PLANTINGS, ETC.

CONTRACTOR SHALL BE RESPONSIBLE FOR REMOVAL OF ANY SEDIMENT ACCUMULATION IN THE UNDERGROUND STORMWATER POND, CONVEYANCE PIPES, OR STRUCTURES AFTER FINAL STABILIZATION HAS BEEN ACHIEVED

NOTE

CONTRACTOR IS RESPONSIBLE FOR THE SEQUENCE AND TIMING OF ALL EROSION AND SEDIMENT CONTROL MEASURES. PHASING PLANS ARE ONLY A GENERAL GUIDE TO EROSION AND SEDIMENT CONTROL REQUIREMENTS AS DEVELOPMENT OCCURS.

EROSION CONTROL LEGEND

CODE	PRACTICE	MAP SYMBOL	CODE	PRACTICE	MAP SYMBOL
Ds3	DISTURBED AREA STABILIZATION (WITH PERMANENT VEGETATION)	Ds3	Sd2-P	TEMPORARY INLET SEDIMENT TRAP (CURB INLET PROTECTION)	▨
Ds4	DISTURBED AREA STABILIZATION (WITH SODDING)	Ds4	St	STORM DRAIN OUTLET PROTECTION	St
Ss	SLOPE STABILIZATION	Ss		LIMITS OF CONSTRUCTION	LOD

PREPARED IN THE OFFICE OF:

GASKINS
+LECRAW
a PAPE-DAWSON company

3475 CORPORATE WAY
SUITE A
DULUTH, GA 30096
PHONE - 678.546.8100
www.gaskinslecraw.com
PEF008127

8 REVISIONS:

REV. #	DATE	DRAWN BY:	CHECKED BY:
--	--	--	--

CLIENT
PRAXIS3
100 PEACHTREE STREET NW, SUITE 1450, ATLANTA, GEORGIA 30303

PROJECT
FIFTH THIRD BANK - WARNER ROBINS, GA
2711 WATSON BLVD
PARCEL ID: 0W0780-005000
WARNER ROBINS, HOUSTON COUNTY, GEORGIA

SEAL:
No. PE036681
TIMOTHY KYLE SHARPE
7/9/2026

CALL BEFORE YOU DIG
811
Know what's below. Call before you dig.

SCALE & NORTH ARROW:
37
N
NORTH ARROW
0' 10' 20' 40'
SCALE: 1" = 20'

DESIGN INFO:

DRAWN BY:	JOA
DESIGNED BY:	MAT
REVIEWED BY:	TKS
JOB #:	75670007
DATE:	JULY 9, 2026

8

ESPC - PHASE 3

C-2.2

This document, together with the concepts and designs presented herein, as an instrument of service, is intended only for the specific purpose and client for which it was prepared. Reuse of and improper reliance on this document without written authorization and adaptation by Gaskins + LeCraw, a Pape-Dawson Company shall be without liability to Gaskins + LeCraw, a Pape-Dawson Company. Copyright Gaskins + LeCraw a Pape-Dawson Company, 2026

PERMIT COVERAGE

THIS PLAN HAS BEEN PREPARED TO MEET THE REQUIREMENTS UNDER THE STATE OF GEORGIA, DEPARTMENT OF NATURAL RESOURCES, ENVIRONMENTAL PROTECTION DIVISION (EPD), GENERAL PERMIT NO. GAR 100001 FOR AUTHORIZATION TO DISCHARGE UNDER THE NATIONAL POLLUTANT DISCHARGE ELIMINATION SYSTEM (NPDES), STORM WATER DISCHARGES ASSOCIATED WITH CONSTRUCTION ACTIVITY FOR STAND ALONE PROJECTS

GENERAL ES&PC NOTES & STATEMENTS

50 → 1. THE ES&PC PLAN INCLUDES, AS A MINIMUM, BEST MANAGEMENT PRACTICES, INCLUDING SOUND CONSERVATION AND ENGINEERING PRACTICES TO PREVENT AND MINIMIZE EROSION AND RESULTANT SEDIMENTATION, WHICH ARE CONSISTENT WITH, AND NO LESS STRINGENT THAN, THOSE PRACTICES CONTAINED IN THE "MANUAL FOR EROSION AND SEDIMENT CONTROL IN GEORGIA" (LATEST EDITION).

42 → 2. ALL ON-SITE WETLANDS AND BUFFERED STATE WATERS LOCATED ON OR WITHIN 200 FEET OF THE PROJECT SITE HAVE BEEN DELINEATED.

44 → 3. THE HYDROLOGY STUDY FOR THIS SITE IS PROVIDED IN A SEPARATE DOCUMENT FROM THIS PLAN. STUDY TITLED "HYDROLOGY STUDY" AND SUBMITTED ON JULY 9, 2026 BY GASKINS + LECRAW.

15 → 41 → 4. NON-EXEMPT ACTIVITIES SHALL NOT BE CONDUCTED WITHIN THE 25 OR 50 FOOT UNDISTURBED STREAM BUFFERS AS MEASURED FROM THE POINT OF WRESTED VEGETATION OR WITHIN 25 FEET OF THE COASTAL MARSHLAND BUFFER AS MEASURED FROM THE JURISDICTIONAL DETERMINATION LINE WITHOUT FIRST ACQUIRING THE NECESSARY VARIANCES AND PERMITS. ALL AREAS OF IMPACT ARE NOTED AND DELINEATED WITHIN PLANS.

17 → **5. AMENDMENTS/REVISIONS TO THE ES&PC PLAN WHICH HAVE A SIGNIFICANT EFFECT ON BMPS WITH A HYDRAULIC COMPONENT MUST BE CERTIFIED BY THE DESIGN PROFESSIONAL**

19 → **6. THE ESCAPE OF SEDIMENT FROM THE SITE SHALL BE PREVENTED BY THE INSTALLATION OF EROSION AND SEDIMENT CONTROL MEASURES AND PRACTICES PRIOR TO LAND DISTURBING ACTIVITIES.**

20 → **7. EROSION CONTROL MEASURES WILL BE MAINTAINED AT ALL TIMES. IF FULL IMPLEMENTATION OF THE APPROVED PLAN DOES NOT PROVIDE FOR EFFECTIVE EROSION CONTROL, ADDITIONAL EROSION AND SEDIMENT CONTROL MEASURES SHALL BE IMPLEMENTED TO CONTROL OR TREAT THE SEDIMENT SOURCE.**

21 → **8. ANY DISTURBED AREA LEFT EXPOSED FOR A PERIOD GREATER THAN 14 DAYS SHALL BE STABILIZED WITH MULCH OR TEMPORARY SEEDING.**

39 → **9. THE USE OF ALTERNATIVE BMPS WHOSE PERFORMANCE HAS BEEN DOCUMENTED TO BE EQUIVALENT OR SUPERIOR TO CONVENTIONAL BMPS AS CERTIFIED BY A DESIGN PROFESSIONAL MAY BE ALLOWED (UNLESS DISAPPROVED BY EPD OR THE GEORGIA SOIL AND WATER CONSERVATION COMMISSION). PLEASE REFER TO THE ALTERNATIVE BMP GUIDANCE DOCUMENT FOUND AT WWW.GASWCC.ORG.**

40 → **10. BMPS HAVING DEMONSTRATED SUCCESS IN THE FIELD AT LEAST THREE TIMES UNDER THE ALTERNATIVE BMP PROCESS AND HAVING BEEN BENCH TESTED MAY BE PLACED ON AN EQUIVALENT BMP LIST (PLEASE REFER TO APPENDIX A-2 OF THE "MANUAL FOR EROSION & SEDIMENT CONTROL IN GEORGIA" 2016 EDITION.**

3 → **11. LIMITS OF DISTURBANCE SHALL BE NO GREATER THAN 50 ACRES AT ANY ONE TIME WITHOUT PRIOR WRITTEN AUTHORIZATION FROM THE EPD DISTRICT OFFICE. IF EPD APPROVES THE REQUEST TO DISTURB 50 ACRES OR MORE AT ANY ONE TIME, THE PLAN MUST INCLUDE AT LEAST 4 OF THE BMPS LISTED IN APPENDIX 1 OF THE EROSION, SEDIMENTATION AND POLLUTION CONTROL PLAN CHECKLIST.**

18 → **12. WASTE MATERIAL SHALL NOT BE DISCHARGED TO WATERS OF THE STATE, EXCEPT AS AUTHORIZED BY A SECTION 404 PERMIT**

36 → LAND DISTURBANCE CONSTRUCTION ACTIVITY SEQUENCE

THE FOLLOWING SEQUENCES ARE TO BE IMPLEMENTED IN THE ORDER SHOWN, UNLESS INCLEMENT WEATHER, SITE CONDITIONS, REVISIONS, PRE-CONSTRUCTION CONFERENCE, ETC., DICTATES A DEVIATION FROM THIS SCHEDULE. IF A DEVIATION IS UNDERTAKEN OR ANTICIPATED, THE ENGINEER SHALL BE NOTIFIED AND THE CHANGE OF SEQUENCE SHALL BE RECORDED IN THE DAILY LOG

PHASE 1 - CLEARING & GRUBBING PLAN

1. OBTAIN AND POST COPY OF LAND DISTURBANCE PERMIT ON SITE.
2. SET UP A PRE-CONSTRUCTION CONFERENCE AT THE SITE WITH THE OWNER'S REPRESENTATIVE, CONTRACTOR, PROJECT DESIGN TEAM, AND COUNTY/CITY INSPECTOR TO REVIEW THE EROSION CONTROL AND SITE WORK CONSTRUCTION DOCUMENTS REQUIREMENTS.
3. SET UP A DAILY INSPECTION LOG FOR THE BMP INSPECTIONS TO BE KEPT IN THE CONSTRUCTION TRAILER.
4. CONSTRUCT THE CONSTRUCTION ENTRANCES/EXITS AT THE PROPOSED LOCATION AS SHOWN ON THE PLANS.
5. DELINEATE BUFFERS AND TREE PROTECTION LIMITS WITH TREE PROTECTION FENCING AS SHOWN ON PLANS.
6. FLAG AND STAKE PROPERTY LINES AND PROPERTY CORNERS, AS NECESSARY.
7. INSTALL ALL SILT FENCE AS SHOWN ON PHASE-I EROSION CONTROL PLAN (ECP).
8. CLEAR AND GRUB ROUTES TO AREAS FOR TEMPORARY AND PERMANENT STRUCTURAL BEST MANAGEMENT PRACTICES (BMP).
9. INSTALL ROCK FILTER DAMS IN NATURAL SWALES, AS SHOWN ON THE PLANS, WITH MINIMAL DISTURBANCE TO THE ADJACENT AREA.
10. CONSTRUCT ALL OTHER STRUCTURAL BMP'S SHOWN ON THE PHASE-1 ECP.
11. CONTRACTOR SHALL COMPLETE CLEARING AND GRUBBING FOR REMAINING AREAS OF CONSTRUCTION. ALL CLEARED MATERIAL TO BE HAULED OFF SITE OR STOCKPILED FOR CHIPPING OR TUB GRINDING, OR BURNING, IF PERMITTED.

PHASE 2 - GRADING AND TEMPORARY VEGETATION PLAN

1. APPLY TEMPORARY VEGETATION (Ds1/Ds2) IN ACCORDANCE WITH PLANS AND NOTES IN THESE DOCUMENTS FOR CLEARED AREAS.
2. CONSTRUCT ALL STRUCTURAL BMP'S SHOWN ON THE PHASE-II ECP WHERE COMPLETION OF ROUGH GRADING IS NOT NECESSARY FOR INSTALLATION (I.E. AT TOE OF SLOPES, OTHER AREAS NOT TO BE AFFECTED BY ROUGH GRADING.)
3. COMMENCE WITH ROUGH GRADING ON SITE. INSTALL STRUCTURAL AND VEGETATIVE BMP'S AS SHOWN ON PLANS AND IN ACCORDANCE WITH NOTES AS ROUGH GRADING FOR EACH AREA IS COMPLETED.
4. INSTALL PERMANENT DETENTION POND(S), IF APPLICABLE, AS SHOWN.
5. CONSTRUCT TEMPORARY AND PERMANENT DRAINAGE STRUCTURES AS NECESSARY FOR PROPER SITE DRAINAGE AND CONVEYANCE TO THE PROPER BEST MANAGEMENT PRACTICES SHOWN ON THE PHASE-II ECP. INSTALL ALL OUTLET PROTECTION BMP'S CONCURRENT WITH DRAINAGE OUTFALLS.
6. INSTALL INLET PROTECTION (Sd2) AT ALL INLET STRUCTURES. USE SD2-F OR SD2-Bg AS SHOWN ON DETAILS.
7. AS SLOPES ARE BEING CONSTRUCTED, SPREAD FERTILIZER AND GRASS SEED ALONG WITH RECOMMENDED MULCHING AS SOON AS FINAL GRADE IS ACHIEVED TO HELP STABILIZE THESE SLOPES.
8. CONSTRUCT DIVERSION DIKES(Di) WITH DOWN DRAINS (Dn1) AS NEEDED AND AS SHOWN ON THE PHASE II ECP. CONSTRUCT FILTER RINGS (Fr) AROUND EACH TEMPORARY DOWN DRAIN INLET.
9. SPREAD MATTING AND BLANKETS AND APPLY PERMANENT GRASSING TO ALL FINISHED SLOPES. COMMENCE FINAL GRADING OF ALL ROADS, PARKING LOTS AND BUILDING PADS.

PHASE 3 - STORMWATER MANAGEMENT & PERMANENT VEGETATION PLAN

1. INSTALL ALL SANITARY SEWER LINES AND REMAINING STORM DRAINS WITH OUTLET PROTECTION (St), LEVEL SPREADERS (Lv), AND/OR OTHER NECESSARY CHANNEL STABILIZATION AS REQUIRED AT HEADWALLS.
2. INSTALL INLET PROTECTION (Sd2) AT ALL INLET STRUCTURES. SD2-P MAY BE INSTALLED ON INLET STRUCTURES WITH STRUCTURE TOPS IN PLACE.
3. SMOOTH GRADES AND PERMANENTLY VEGETATE DISTURBED AREAS AT COMPLETION OF PIPE CONSTRUCTION.
4. INSTALL AGGREGATE BASE FOR ALL ROADWAYS.
5. INSTALL CURB & GUTTER FOR ROADS AND PARKING LOTS.
6. AFTER A CURING TIME OF NO LESS THAN SEVEN DAYS, CURBS SHALL BE BACKFILLED AND SHOULDERS SHALL BE SMOOTH GRADED AND TEMPORARILY VEGETATED OR MULCHED. (Ds1/Ds2).
7. INSTALL UTILITIES IN ALL THE SHOULDERS. APPLY TEMPORARY VEGETATION TO AREAS DISTURBED BY UTILITY CONSTRUCTION IN ACCORDANCE WITH PLAN NOTES.
8. CONSTRUCT SIDEWALKS AS SHOWN ON PLANS. AFTER A CURING TIME OF NO LESS THAN SEVEN DAYS, REMOVE FORMS AND APPLY MULCH OR VEGETATION TO DISTURBED AREAS.
9. PAVE ALL STREETS. APPLY FINAL STABILIZATION TO ANY REMAINING AREAS THAT HAVE NOT BEEN PERMANENTLY VEGETATED IN ACCORDANCE WITH NOTES IN THESE PLANS.
10. ALL SEDIMENT PONDS AND PERIMETER SILT FENCING TO REMAIN THROUGHOUT BUILDING CONSTRUCTION TO BE DONE BY OTHERS. AT COMPLETION OF BUILDING CONSTRUCTION, ALL AREAS ARE TO BE PERMANENTLY VEGETATED.
11. REMOVE TEMPORARY SEDIMENT PONDS AND OTHER TEMPORARY STRUCTURAL BMP'S FOLLOWING FINAL STABILIZATION AND WHEN PERMANENT VEGETATIVE COVER IS ESTABLISHED ON 80% OF THE SURFACE. USE PERMANENT VEGETATIVE BMP'S TO STABILIZE BACKFILL FROM REMOVAL OF STRUCTURAL BMP'S.
12. AS SOON AS CONCRETE BUILDING PADS ARE POURED, ALL AREAS AROUND AND BETWEEN THESE PADS AND THE STREETS/PARKING LOTS SHALL BE TEMPORARILY VEGETATED.
13. AS SOON AS PRACTICALLY POSSIBLE, PERMANENT LANDSCAPING SHALL BE INSTALLED ALONG ALL STREETS AND THROUGHOUT THE SITE TO PROTECT THE LAND AND HELP MINIMIZE THE EFFECTS OF SEDIMENT RUNOFF INTO STATE BUFFERS OR ONTO ADJACENT PROPERTIES.
14. DEVELOPER TO SUBMIT A NOTICE OF TERMINATION

26 → STORMWATER DISCHARGE POLLUTANT REDUCTION

THE EROSION, SEDIMENTATION AND POLLUTION CONTROL PLAN IDENTIFIES ALL POTENTIAL SOURCES OF POLLUTION WHICH MAY REASONABLY BE EXPECTED TO AFFECT THE QUALITY OF STORM WATER DISCHARGES FROM THE SITE. IN ADDITION, THE FOLLOWING PRACTICES SHALL BE IMPLEMENTED TO REDUCE THE POLLUTANTS IN STORM WATER DISCHARGES ASSOCIATED WITH CONSTRUCTION ACTIVITY ON THE SITE.

- PETROLEUM BASED PRODUCTS - CONTAINERS FOR PRODUCTS SUCH AS FUELS, LUBRICANTS AND TARS WILL BE INSPECTED DAILY FOR LEAKS AND SPILLS. THIS INCLUDES ON-SITE VEHICLE AND MACHINERY DAILY INSPECTIONS AND REGULAR PREVENTATIVE MAINTENANCE OF SUCH EQUIPMENT. EQUIPMENT MAINTENANCE AREAS WILL BE LOCATED AWAY FROM STATE WATER, NATURAL DRAINS AND STORMWATER DRAINAGE INLETS. IN ADDITION, TEMPORARY FUELING TANKS SHALL HAVE A SECONDARY CONTAINMENT LINER TO PREVENT/MINIMIZE SITE CONTAMINATION. DISCHARGE OF OILS, FUELS AND LUBRICANTS IS PROHIBITED. PROPER DISPOSAL METHODS WILL INCLUDE COLLECTION IN A SUITABLE CONTAINER AND DISPOSAL AS REQUIRED BY LOCAL AND STATE REGULATIONS.

- PAINTS/FINISHES/SOLVENTS - ALL PRODUCTS WILL BE STORED IN TIGHTLY SEALED ORIGINAL CONTAINERS WHEN NOT IN USE. EXCESS PRODUCT WILL NOT BE DISCHARGED TO THE STORM WATER COLLECTION SYSTEM. EXCESS PRODUCT, MATERIALS USED WITH THESE PRODUCTS AND PRODUCT CONTAINERS WILL BE DISPOSED OF ACCORDING TO MANUFACTURER'S SPECIFICATIONS AND RECOMMENDATIONS.

- CONCRETE TRUCK WASHING - NO CONCRETE TRUCKS WILL BE ALLOWED TO WASH OUT OR DISCHARGE SURPLUS CONCRETE OR DRUM WASH WATER ONSITE,
- FERTILIZER/HERBICIDES - THESE PRODUCTS WILL BE APPLIED AT RATES THAT DO NOT EXCEED THE MANUFACTURER'S SPECIFICATIONS OR ABOVE THE GUIDELINES SET FORTH IN THE CROP ESTABLISHMENT OR IN THE GSWCC MANUAL FOR EROSION AND SEDIMENT CONTROL IN GEORGIA. ANY STORAGE OF THESE MATERIALS WILL BE UNDER ROOF IN SEALED CONTAINERS.

- BUILDING MATERIALS - NO BUILDING OR CONSTRUCTION MATERIALS WILL BE BURIED OR DISPOSED OF ONSITE. ALL SUCH MATERIAL WILL BE DISPOSED OF IN PROPER WASTE DISPOSAL PROCEDURES.

27 → BMP FOR BUILDING MATERIALS / BUILDING PRODUCTS

COVER FOR BUILDING MATERIALS AND/OR BUILDING PRODUCTS SHALL BE PROVIDED BY MEANS OF TEMPORARY TENTS AND/OR TARPS AS REQUIRED.

14 → INITIAL INSPECTION

THE DESIGN PROFESSIONAL WHO PREPARED THE ES&PC PLAN IS TO INSPECT AND CERTIFY THE INSTALLATION OF THE INITIAL SEDIMENT STORAGE REQUIREMENTS AND PERIMETER CONTROL BMPS WITHIN 7 DAYS AFTER INSTALLATION (PER PART IV.A.5 OF GAR 100001 PERMIT - SEE VERBIAGE BELOW)

FOR STAND ALONE PROJECTS THAT BEGIN CONSTRUCTION ACTIVITY AFTER THE EFFECTIVE DATE OF THIS PERMIT, THE PRIMARY PERMITTEE MUST RETAIN THE DESIGN PROFESSIONAL WHO PREPARED THE EROSION, SEDIMENTATION AND POLLUTION CONTROL PLAN, OR AN ALTERNATIVE DESIGN PROFESSIONAL APPROVED BY EPD IN WRITING, TO INSPECT AND CERTIFY THE INSTALLATION OF THE INITIAL SEDIMENT STORAGE REQUIREMENTS AND PERIMETER CONTROL BMPS WHICH THE DESIGN PROFESSIONAL DESIGNED WITHIN SEVEN (7) DAYS AFTER INSTALLATION. THE DESIGN PROFESSIONAL SHALL DETERMINE IF THESE BMPS HAVE BEEN INSTALLED AND ARE BEING MAINTAINED AS DESIGNED. THE DESIGN PROFESSIONAL SHALL REPORT THE RESULTS OF THE INSPECTION TO THE PRIMARY PERMITTEE WITHIN SEVEN (7) DAYS AND THE PERMITTEE MUST CORRECT ALL DEFICIENCIES WITHIN TWO (2) BUSINESS DAYS OF RECEIPT OF THE INSPECTION REPORT FROM THE DESIGN PROFESSIONAL PRIOR TO COMMENCING WITH CONSTRUCTION ACTIVITIES AS REQUIRED BY PART III.D.2 OF THIS PERMIT UNLESS WEATHER RELATED SITE CONDITIONS ARE SUCH THAT ADDITIONAL TIME IS REQUIRED.

28 → STORMWATER MANAGEMENT NOTES

THE FOLLOWING IS A DESCRIPTION OF MEASURES THAT MAY BE INSTALLED DURING THE CONSTRUCTION PROCESS TO CONTROL POLLUTANTS IN STORM WATER DISCHARGES THAT WILL OCCUR AFTER CONSTRUCTION OPERATIONS HAVE BEEN COMPLETED.

1. STORM WATER DETENTION STRUCTURES (INCLUDING WET PONDS)
2. STORM WATER RETENTION STRUCTURES
3. FLOW ATTENUATION BY USE OF OPEN VEGETATED SWALES AND NATURAL DEPRESSIONS
4. INFILTRATION OF RUNOFF ON-SITE
5. SEQUENTIAL SYSTEMS (WHICH COMBINE SEVERAL PRACTICES)

- STRUCTURAL MEASURES SHOULD BE PLACED ON UPLAND SOILS TO THE DEGREE ATTAINABLE
- THE INSTALLATION OF THESE DEVICES MAY BE SUBJECT TO SECTION 404 OF THE CWA
- THE ES&PC PLAN ONLY ADDRESSES THE INSTALLATION OF STORM WATER MANAGEMENT MEASURES, AND NOT THE ULTIMATE OPERATION AND MAINTENANCE OF SUCH STRUCTURES AFTER THE CONSTRUCTION ACTIVITIES HAVE BEEN COMPLETED AND THE SITE HAS UNDERGONE FINAL STABILIZATION.
- OPERATORS ARE ONLY RESPONSIBLE FOR THE INSTALLATION AND MAINTENANCE OF STORM WATER MANAGEMENT MEASURES PRIOR TO FINAL STABILIZATION OF THE SITE, AND ARE NOT RESPONSIBLE FOR MAINTENANCE AFTER STORM WATER DISCHARGES ASSOCIATED WITH CONSTRUCTION ACTIVITY HAVE BEEN ELIMINATED FROM THE SITE.

VELOCITY DISSIPATION DEVICES SHALL BE PLACED AT DISCHARGE LOCATIONS AND ALONG THE LENGTH OF ANY OUTFALL CHANNEL FOR THE PURPOSE OF PROVIDING A NON-EROSIVE VELOCITY FLOW FROM THE STRUCTURE TO A WATER COURSE SO THAT THE NATURAL PHYSICAL AND BIOLOGICAL CHARACTERISTICS AND FUNCTIONS ARE MAINTAINED AND PROTECTED [E.G. NO SIGNIFICANT CHANGES IN THE HYDROLOGICAL REGIME OF THE RECEIVING WATER(S).]

- INSTALLATION AND USE OF GREEN INFRASTRUCTURE APPROACHES AND PRACTICES THAT MIMIC NATURAL PROCESSES AND DIRECT STORMWATER WHERE IT CAN BE INFILTRATED, EVAPOTRANSPIRATED OR RE-USED WITH SIGNIFICANT UTILIZATION OF SOILS AND VEGETATION RATHER THAN TRADITIONAL HARDSCAPE COLLECTION, CONVEYANCE AND STORAGE STRUCTURES ARE ENCOURAGED TO THE MAXIMUM EXTENT PRACTICABLE. GREEN INFRASTRUCTURE PRACTICES OR APPROACHES INCLUDE PERMEABLE OR POROUS PAVING, VEGETATED SWALES INSTEAD OF CURBS AND GUTTERS, GREEN ROOFS, TREE BOXES, RAIN GARDENS, CONSTRUCTED WETLANDS, INFILTRATION PLANTERS, VEGETATED MEDIAN STRIPS, PROTECTION AND ENHANCEMENT OF RIPARIAN BUFFERS AND FLOODPLAINS, AND THE OVERALL REDUCTION IN SITE DISTURBANCE AND IMPERVIOUS AREA. DESIGN INFORMATION ON GREEN INFRASTRUCTURE PRACTICES AND OTHER WAYS TO MANAGE STORMWATER CAN BE FOUND IN THE GEORGIA STORMWATER MANAGEMENT MANUAL AND COASTAL STORMWATER SUPPLEMENT. ADDITIONAL INFORMATION ON GREEN INFRASTRUCTURE CAN BE FOUND AT THE USEPA WEBSITE

18 → POLLUTION CONTROL NOTES

1. WASTE MATERIALS SHALL NOT BE DISCHARGED TO WATERS OF THE STATE, EXCEPT AS AUTHORIZED BY A SECTION 404 PERMIT.
   1.A. ALL TRASH AND CONSTRUCTION DEBRIS WILL BE COLLECTED AND STORED IN A METAL DUMPSTER.
   1.B. THE DUMPSTER WILL MEET ALL SOLID WASTE MANAGEMENT REGULATIONS.
   1.C. THE DUMPSTER WILL BE EMPTIED AS NECESSARY AND TRASH WILL BE HAULED AS REQUIRED BY LOCAL REGULATIONS.
   1.D. NO CONSTRUCTION WASTE WILL BE BURIED ONSITE, UNLESS ALLOWED BY LOCAL AUTHORITIES.
2. OFF-SITE VEHICLE TRACKING OF DIRT, SOILS, AND SEDIMENTS AND THE GENERATION OF DUST SHALL BE MINIMIZED OR ELIMINATED TO THE MAXIMUM EXTENT PRACTICAL. THE FOLLOWING BEST MANAGEMENT PRACTICES SHALL BE IMPLEMENTED ON THE SITE AS APPROPRIATE: CONSTRUCTION EXIT(S), MULCHES (DS1), VEGETATIVE COVER (DS2), SPRAY-ON-ADHESIVES (TACKIFIERS OR BINDERS), TILLAGE, IRRIGATION, BARRIERS, CALCIUM CHLORIDE, PERMANENT VEGETATION (DS3), TOPSOILING, AND/OR CONSTRUCTION ROAD STABILIZATION.
3. HAZARDOUS WASTES:
- ALL HAZARDOUS WASTE MATERIALS WILL BE DISPOSED OF IN A MANNER SPECIFIED BY LOCAL, STATE &/OR FEDERAL REGULATIONS AND BY THE MANUFACTURER OF SUCH PRODUCTS. THE JOB SITE SUPERINTENDENT, WHO WILL ALSO BE RESPONSIBLE FOR SEEING THAT THESE PRACTICES ARE FOLLOWED, WILL INSTRUCT SITE PERSONNEL IN THESE PRACTICES. MATERIAL SAFETY DATA SHEETS (MSDS's) FOR EACH SUBSTANCE WITH HAZARDOUS PROPERTIES THAT IS USED ON THE JOB SITE WILL BE OBTAINED AND USED FOR THE PROPER MANAGEMENT OF POTENTIAL WASTES THAT MAY RESULT FROM THESE PRODUCTS. AN MSDS WILL BE POSTED IN THE IMMEDIATE AREA WHERE SUCH PRODUCT IS STORED &/OR USED AND ANOTHER COPY OF EACH MSDS WILL BE MAINTAINED IN THE ESPCP FILE AT THE JOB SITE CONSTRUCTION TRAILER OFFICE. EACH EMPLOYEE WHO MUST HANDLE A SUBSTANCE WITH HAZARDOUS PROPERTIES WILL BE INSTRUCTED ON THE USE OF MSDS SHEETS AND THE SPECIFIC INFORMATION IN THE APPLICABLE MSDS FOR THE PRODUCT HE/SHE IS USING, PARTICULARLY REGARDING SPILL CONTROL TECHNIQUES.
- THE CONTRACTOR WILL IMPLEMENT THE SPILL PREVENTION CONTROL AND COUNTERMEASURES (SPCC) PLAN FOUND WITHIN THIS ESPCP AND WILL TRAIN ALL PERSONNEL IN THE PROPER CLEANUP AND HANDLING OF SPILLED MATERIALS. NO SPILLED HAZARDOUS MATERIALS OR HAZARDOUS WASTES WILL BE ALLOWED TO COME IN CONTACT WITH STORMWATER DISCHARGES. IF SUCH CONTACT OCCURS, THE STORMWATER DISCHARGE WILL BE CONTAINED ON SITE UNTIL APPROPRIATE MEASURES IN COMPLIANCE WITH STATE AND FEDERAL REGULATIONS ARE TAKEN TO DISPOSE OF SUCH CONTAMINATED STORMWATER. IT SHALL BE THE RESPONSIBILITY OF THE JOB SITE SUPERINTENDENT TO PROPERLY TRAIN ALL PERSONNEL IN THE USE OF THE SPCC PLAN.

4. SANITARY WASTES:
- A MINIMUM OF ONE PORTABLE SANITARY UNIT WILL BE PROVIDED FOR EVERY TEN (10) WORKERS ON THE SITE. ALL SANITARY WASTE WILL BE COLLECTED FROM THE PORTABLE UNITS A MINIMUM OF ONE TIME PER WEEK BY A LICENSED PORTABLE FACILITY PROVIDER IN COMPLETE COMPLIANCE WITH THE LOCAL AND STATE REGULATIONS.
- ALL SANITARY WASTE UNITS WILL BE LOCATED IN AN AREA WHERE THE LIKELIHOOD OF THE UNIT CONTRIBUTING TO STORM WATER DISCHARGE IS NEGLIGIBLE. ADDITIONAL CONTAINMENT BMP's MUST BE IMPLEMENTED, SUCH AS GRAVEL BAGS OR SPECIALLY DESIGNED PLASTIC SKID CONTAINERS AROUND THE BASE, TO PREVENT WASTES FROM CONTRIBUTNG TO STORM WATER DISCHARGES. THE LOCATION OF SANITARY WASTE UNITS MUST BE IDENTIFIED ON THE EROSION CONTROL PLAN PHASE TWO SHEET AS LISTED ON THE TABLE OF CONTENTS, BY THE CONTRACTOR ONCE THE LOCATIONS HAVE BEEN DETERMINED.
- SANITARY SEWER WILL BE PROVIDED BY MUNICIPAL AUTHORITY/SEPTIC SYSTEM AT THE COMPLETION OF THE PROJECT.

25 → SPILL CLEANUP AND CONTROL PRACTICES

- LOCAL, STATE AND MANUFACTURE'S RECOMMENDED METHODS FOR SPILL CLEANUP WILL BE CLEARLY POSTED AND PROCEDURES WILL BE MADE AVAILABLE TO SITE PERSONNEL.
- MATERIAL AND EQUIPMENT NECESSARY FOR SPILL CLEANUP WILL BE KEPT IN THE MATERIAL STORAGE AREAS. TYPICAL MATERIALS AND EQUIPMENT INCLUDES, BUT IS NOT LIMITED TO, BROOMS, DUSTPANS, MOPS, RAGS, GLOVES, GOGGLES, CAT LITTER, SAND, SAWDUST AND PROPERLY LABELED PLASTIC AND METAL WASTE CONTAINERS.
- SPILL PREVENTION PRACTICES AND PROCEDURES WILL BE REVIEWED AFTER A SPILL AND ADJUSTED AS NECESSARY TO PREVENT FUTURE SPILLS.
- ALL SPILLS WILL BE CLEANED UP IMMEDIATELY UPON DISCOVERY. ALL SPILLS WILL BE REPORTED AS REQUIRED BY LOCAL, STATE AND FEDERAL REGULATIONS.
- FOR SPILLS THAT IMPACT SURFACE WATER (LEAVE A SHEEN ON SURFACE WATER), THE NATIONAL RESPONSE CENTER (NRC) WILL BE CONTACTED WITHIN 24 HOURS AT 1-800-424-8802 AND 1-202-426-2675.
- FOR FOR SPILLS OF AN UNKNOWN AMOUNT, THE NATIONAL RESPONSE CENTER (NRC) WILL BE CONTACTED WITHIN 24 HOURS AT 1-800-424-8802 AND 1-202-426-2675.
- FOR SPILLS GREATER THAN 25 GALLONS AND NO SURFACE WATER IMPACTS OCCUR, THE GEORGIA EPD WILL BE CONTACTED WITHIN 24 HOURS.
- FOR SPILLS LESS THAN 25 GALLONS AND NO SURFACE WATER IMPACTS OCCUR, THE SPILL WILL BE CLEANED UP AND LOCAL AGENCIES WILL BE CONTACTED AS REQUIRED.

THE CONTRACTOR SHALL NOTIFY THE LICENSED PROFESSIONAL WHO PREPARED THIS PLAN IF MORE THAN 1320 GALLONS OF PETROLEUM IS STORED ONSITE (THIS INCLUDES CAPACITIES OF EQUIPMENT) OR IF ANY ONE PIECE OF EQUIPMENT HAS A CAPACITY GREATER THAN 660 GALLONS. THE CONTRACTOR WILL NEED A SPILL PREVENTION CONTAINMENT AND COUNTERMEASURES PLAN APPROVED BY THAT LICENSED PROFESSIONAL.

31 → INSPECTIONS (PRIMARY PERMITTEE)

(1). EACH DAY WHEN ANY TYPE OF CONSTRUCTION ACTIVITY HAS TAKEN PLACE AT A PRIMARY PERMITTEE'S SITE, CERTIFIED PERSONNEL PROVIDED BY THE PRIMARY PERMITTEE SHALL INSPECT: (A) ALL AREAS AT THE PRIMARY PERMITTEE'S SITE WHERE PETROLEUM PRODUCTS ARE STORED, USED, OR HANDLED FOR SPILLS AND LEAKS FROM VEHICLES AND EQUIPMENT AND (B) ALL LOCATIONS AT THE PRIMARY PERMITTEE'S SITE WHERE VEHICLES ENTER OR EXIT THE SITE FOR EVIDENCE OF OFF-SITE SEDIMENT TRACKING. THESE INSPECTIONS MUST BE CONDUCTED UNTIL A NOTICE OF TERMINATION IS SUBMITTED.

(2). MEASURE AND RECORD RAINFALL WITHIN DISTURBED AREAS OF THE SITE THAT HAVE NOT MET FINAL STABILIZATION ONCE EVERY 24 HOURS EXCEPT ANY NON-WORKING SATURDAY, NON-WORKING SUNDAY AND NON-WORKING FEDERAL HOLIDAY. THE DATA COLLECTED FOR THE PURPOSE OF COMPLIANCE WITH THIS PERMIT SHALL BE REPRESENTATIVE OF THE MONITORED ACTIVITY. MEASUREMENT OF RAINFALL MAY BE SUSPENDED IF ALL AREAS OF THE SITE HAVE UNDERGONE FINAL STABILIZATION OR ESTABLISHED A CROP OF ANNUAL VEGETATION AND A SEEDING OF TARGET PERENNIALS APPROPRIATE FOR THE REGION.

(3). CERTIFIED PERSONNEL (PROVIDED BY THE PRIMARY PERMITTEE) SHALL INSPECT THE FOLLOWING AT LEAST ONCE EVERY SEVEN (7) CALENDAR DAYS: (A) DISTURBED AREAS OF THE PRIMARY PERMITTEE'S CONSTRUCTION SITE; (B) AREAS USED BY THE PRIMARY PERMITTEE FOR STORAGE OF MATERIALS THAT ARE EXPOSED TO PRECIPITATION; AND (C) STRUCTURAL CONTROL MEASURES. EROSION AND SEDIMENT CONTROL MEASURES IDENTIFIED IN THE PLAN APPLICABLE TO THE PRIMARY PERMITTEE'S SITE SHALL BE OBSERVED TO ENSURE THAT THEY ARE OPERATING CORRECTLY. CERTIFIED PERSONNEL SHALL ALSO CONDUCT INSPECTIONS WITHIN 24 HOURS OF THE END OF A STORM THAT IS 0.5 INCHES RAINFALL OR GREATER (UNLESS SUCH STORM ENDS AFTER 5:00 PM ON ANY FRIDAY OR ON ANY NON-WORKING SATURDAY, NON-WORKING SUNDAY OR ANY NON-WORKING FEDERAL HOLIDAY IN WHICH CASE THE INSPECTION SHALL BE COMPLETED BY THE END OF THE NEXT BUSINESS DAY AND/OR WORKING DAY, WHICHEVER OCCURS FIRST). POST-RAIN INSPECTIONS WILL RESET THE 7-DAY INSPECTION FREQUENCY REQUIREMENT. WHERE DISCHARGE LOCATIONS OR POINTS ARE ACCESSIBLE, THEY SHALL BE INSPECTED TO ASCERTAIN WHETHER EROSION CONTROL MEASURES ARE EFFECTIVE IN PREVENTING SIGNIFICANT IMPACTS TO RECEIVING WATER(S). FOR AREAS OF A SITE THAT HAVE UNDERGONE FINAL STABILIZATION OR ESTABLISHED A CROP OF ANNUAL VEGETATION AND A SEEDING OF TARGET PERENNIALS APPROPRIATE FOR THE REGION, THE PERMITTEE MUST COMPLY WITH PART IV.D.4.A.(4). THESE INSPECTIONS MUST BE CONDUCTED UNTIL A NOTICE OF TERMINATION IS SUBMITTED.

(4). CERTIFIED PERSONNEL (PROVIDED BY THE PRIMARY PERMITTEE) SHALL INSPECT AT LEAST ONCE PER MONTH DURING THE TERM OF THIS PERMIT (I.E., UNTIL A NOTICE OF TERMINATION HAS BEEN SUBMITTED TO EPD) THE AREAS OF THE SITE THAT HAVE UNDERGONE FINAL STABILIZATION OR ESTABLISHED A CROP OF ANNUAL VEGETATION AND A SEEDING OF TARGET PERENNIALS APPROPRIATE FOR THE REGION. THESE AREAS SHALL BE INSPECTED FOR EVIDENCE OF, OR THE POTENTIAL FOR, POLLUTANTS ENTERING THE DRAINAGE SYSTEM AND THE RECEIVING WATER(S). EROSION AND SEDIMENT CONTROL MEASURES IDENTIFIED IN THE PLAN SHALL BE OBSERVED TO ENSURE THAT THEY ARE OPERATING CORRECTLY. WHERE DISCHARGE LOCATIONS OR POINTS ARE ACCESSIBLE, THEY SHALL BE INSPECTED TO ASCERTAIN WHETHER EROSION CONTROL MEASURES ARE EFFECTIVE IN PREVENTING SIGNIFICANT IMPACTS TO RECEIVING WATER(S).

(5). BASED ON THE RESULTS OF EACH INSPECTION, THE SITE DESCRIPTION AND THE POLLUTION PREVENTION AND CONTROL MEASURES IDENTIFIED IN THE EROSION, SEDIMENTATION AND POLLUTION CONTROL PLAN, THE PLAN SHALL BE REVISED AS APPROPRIATE NOT LATER THAN SEVEN (7) CALENDAR DAYS FOLLOWING EACH INSPECTION. IMPLEMENTATION OF SUCH CHANGES SHALL BE MADE AS SOON AS PRACTICAL BUT IN NO CASE LATER THAN SEVEN (7) CALENDAR DAYS FOLLOWING EACH INSPECTION.THE PRIMARY PERMITTEE MUST AMEND THE PLAN IN ACCORDANCE WITH PART IV.D.4.B.(5). WHEN A SECONDARY PERMITTEE NOTIFIES THE PRIMARY PERMITTEE OF ANY PLAN DEFICIENCIES.

(6). A REPORT OF EACH INSPECTION THAT INCLUDES THE NAME(S) OF CERTIFIED PERSONNEL MAKING EACH INSPECTION, THE DATE(S) OF EACH INSPECTION, CONSTRUCTION PHASE (I.E., INITIAL, INTERMEDIATE OR FINAL), MAJOR OBSERVATIONS RELATING TO THE IMPLEMENTATION OF THE EROSION, SEDIMENTATION AND POLLUTION CONTROL PLAN, AND ACTIONS TAKEN IN ACCORDANCE WITH PART IV.D.4.A.(5). OF THE PERMIT SHALL BE MADE AND RETAINED AT THE SITE OR BE READILY AVAILABLE AT A DESIGNATED ALTERNATE LOCATION UNTIL THE ENTIRE SITE OR THAT PORTION OF A CONSTRUCTION SITE THAT HAS BEEN PHASED HAS UNDERGONE FINAL STABILIZATION AND A NOTICE OF TERMINATION IS SUBMITTED TO EPD. SUCH REPORTS SHALL BE READILY AVAILABLE BY END OF THE SECOND BUSINESS DAY AND/OR WORKING DAY AND SHALL IDENTIFY ALL INCIDENTS OF BEST MANAGEMENT PRACTICES THAT HAVE NOT BEEN PROPERLY INSTALLED AND/OR MAINTAINED AS DESCRIBED IN THE PLAN. WHERE THE REPORT DOES NOT IDENTIFY AN INCIDENT, THE INSPECTION REPORT SHALL CONTAIN A STATEMENT THAT THE BEST MANAGEMENT PRACTICES ARE IN COMPLIANCE WITH THE EROSION,SEDIMENTATION AND POLLUTION CONTROL PLAN. THE REPORT SHALL BE SIGNED IN ACCORDANCE WITH PART V.G.2. OF THIS PERMIT.

CONSTRUCTION STAGING

CONSTRUCTION STAGING AREAS, SITE ACCESS AND LIMITS OF CONSTRUCTION SHALL BE COORDINATED WITH ANY SECONDARY OR TERTIARY PERMITTEES. INSTALLATION OF WATER QUALITY DEVICES SHALL BE CONCURRENT WITH FINAL STABILIZATION

33 → SAMPLING METHODOLOGY / REQUIREMENTS

THE PERMIT REQUIRES THE MONITORING OF NEPHELOMETRIC TURBIDITY IN RECEIVING WATER(S) OR OUTFALLS IN ACCORDANCE WITH THE PERMIT. THIS SECTION IS APPLICABLE TO PRIMARY PERMITTEES WITH A TOTAL PLANNED DISTURBANCE EQUAL TO OR GREATER THAN ONE (1) ACRE AND TERTIARY PERMITTEES WITH A TOTAL PLANNED DISTURBANCE EQUAL TO OR GREATER THAN FIVE (5) ACRES. THIS SECTION IS NOT APPLICABLE TO SECONDARY PERMITTEES. THE FOLLOWING PROCEDURES CONSTITUTE EPD'S GUIDELINES FOR SAMPLING TUBIDITY.

A. SAMPLING REQUIREMENTS SHALL INCLUDE THE FOLLOWING:
   A.1. A USGS TOPOGRAPHIC MAP, A TOPOGRAPHIC MAP OR A DRAWING (REFERRED TO AS A TOPOGRAPHIC MAP) THAT IS A SCALE EQUAL TO OR MORE DETAILED THAN A 1:24000 MAP SHOWING THE LOCATION OF THE SITE OR THE COMMON DEVELOPMENT; (A) THE LOCATION OF ALL PERENNIAL AND INTERMITTENT STREAMS AND OTHER WATER BODIES AS SHOWN ON A USGS TOPOGRAPHIC MAP, AND ALL OTHER PERENNIAL AND INTERMITTENT STREAMS AND OTHER WATER BODIES LOCATED DURING MANDATORY FIELD VERIFICATION, INTO WHICH THE STORMWATER IS DISCHARGED AND (B) THE RECEIVING WATER AND/OR OUTFALL SAMPLING LOCATIONS. WHEN THE PERMITTEE HAS CHOSEN TO USE A USGS TOPOGRAPHIC MAP AND THE RECEIVING WATER(S) IS NOT SHOWN ON THE USGS TOPOGRAPHIC MAP, THE LOCATION OF THE RECEIVING WATER(S) MUST BE HAND-DRAWN ON THE USGS TOPOGRAPHIC MAP FROM WHERE THE STORMWATER(S) ENTERS THE RECEIVING WATER(S) TO THE POINT WHERE THE RECEIVING WATER(S) COMBINES WITH THE FIRST BLUE LINE STREAM SHOWN ON THE USGS TOPOGRAPHIC MAP;
   A.2. THE ANALYTICAL METHOD USED TO COLLECT AND ANALYZE THE SAMPLES INCLUDING QUALITY CONTROL/QUALITY ASSURANCE PROCEDURES. THIS NARRATIVE MUST INCLUDE PRECISE SAMPLING METHODOLOGY FOR EACH SAMPLING LOCATION;
   A.3. WHEN THE PERMITTEE HAS DETERMINED THAT SOME OR ALL OUTFALLS WILL BE SAMPLED, A RATIONALE MUST BE INCLUDED ON THE PLAN FOR THE NTU LIMIT(S) SELECTED FROM APPENDIX B. THIS RATIONALE MUST INCLUDE THE SIZE OF THE CONSTRUCTION SITE, THE CALCULATION OF THE SIZE OF THE SURFACE WATER DRAINAGE AREA, AND THE TYPE OF RECEIVING WATER(S) (I.E., TROUT STREAM OR SUPPORTING WARM WATER FISHERIES); AND
   A.4. ANY ADDITIONAL INFORMATION EPD DETERMINES NECESSARY TO BE PART OF THE PLAN. EPD WILL PROVIDE WRITTEN NOTICE TO THE PERMITTEE OF THE INFORMATION NECESSARY AND THE TIME LINE FOR SUBMITTAL.
B. SAMPLE TYPE. ALL SAMPLING SHALL BE COLLECTED BY "GRAB SAMPLES" AND THE ANALYSIS OF THESE SAMPLES MUST BE CONDUCTED IN ACCORDANCE WITH METHODOLOGY AND TEST PROCEDURES ESTABLISHED BY 40 CFR PART 136 (UNLESS OTHER TEST PROCEDURES HAVE BEEN APPROVED); THE GUIDANCE DOCUMENT TITLED "NPDES STORM WATER SAMPLING GUIDANCE DOCUMENT, EPA 833-B-92-001" AND GUIDANCE DOCUMENTS THAT MAY BE PREPARED BY THE EPD.
   B.1. SAMPLE CONTAINERS SHOULD BE LABELED PRIOR TO COLLECTING THE SAMPLES.
   B.2. SAMPLES SHOULD BE WELL MIXED BEFORE TRANSFERRING TO A SECONDARY CONTAINER.
   B.3. LARGE MOUTH, CLEAN AND RINSED GLASS OR PLASTIC JARS SHOULD BE USED FOR COLLECTING SAMPLES. THE JARS SHOULD BE CLEANED THOROUGHLY TO AVOID CONTAMINATION.
   B.4. MANUAL, AUTOMATIC OR RISING STAGE SAMPLING MAY BE UTILIZED. SAMPLES REQUIRED BY THIS PERMIT SHOULD BE ANALYZED IMMEDIATELY, BUT IN NO CASE LATER THAN 48 HOURS AFTER COLLECTION. HOWEVER, SAMPLES FROM AUTOMATIC SAMPLERS MUST BE COLLECTED NO LATER THAN THE NEXT BUSINESS DAY AFTER THEIR ACCUMULATION, UNLESS FLOW THROUGH AUTOMATED ANALYSIS IS UTILIZED. IF AUTOMATIC SAMPLING IS UTILIZED AND THE AUTOMATIC SAMPLER IS NOT ACTIVATED DURING THE QUALIFYING EVENT, THE PERMITTEE MUST UTILIZE MANUAL SAMPLING OR RISING STAGE SAMPLING DURING THE NEXT QUALIFYING EVENT. DILUTION OF SAMPLES IS NOT REQUIRED. SAMPLES MAY BE ANALYZED USING A DIRECT READING, PROPERLY CALIBRATED TURBIDIMETER. SAMPLES ARE NOT REQUIRED TO BE COOLED.
   B.5. SAMPLING AND ANALYSIS OF THE RECEIVING WATER(S) OR OUTFALLS BEYOND THE MINIMUM FREQUENCY STATED IN THIS PERMIT MUST BE REPORTED TO EPD AS SPECIFIED IN PART IV.E.
C. SAMPLING POINTS.
   C.1. FOR CONSTRUCTION ACTIVITIES THE PRIMARY PERMITTEE WITH A TOTAL PLANNED DISTURBANCE EQUAL TO OR GREATER THAN ONE (1) ACRE AND TERTIARY PERMITTEE WITH A TOTAL PLANNED DISTURBANCE EQUAL TO OR GREATER THAN FIVE (5) ACRES MUST SAMPLE ALL RECEIVING WATER(S), OR ALL OUTFALL(S), OR A COMBINATION OF RECEIVING WATER(S) AND OUTFALL(S). SAMPLES TAKEN FOR THE PURPOSE OF COMPLIANCE WITH THIS PERMIT SHALL BE REPRESENTATIVE OF THE MONITORED ACTIVITY AND REPRESENTATIVE OF THE WATER QUALITY OF THE RECEIVING WATER(S) AND/OR THE STORMWATER OUTFALLS USING THE FOLLOWING MINIMUM GUIDELINES:
   C1.A THE UPSTREAM SAMPLE FOR EACH RECEIVING WATER(S) MUST BE TAKEN IMMEDIATELY UPSTREAM OF THE CONFLUENCE OF THE FIRST STORMWATER DISCHARGE FROM THE PERMITTED ACTIVITY (I.E., THE DISCHARGE FARTHEST UPSTREAM AT THE SITE) BUT DOWNSTREAM OF ANY OTHER STORMWATER DISCHARGES NOT ASSOCIATED WITH THE PERMITTED ACTIVITY. WHERE APPROPRIATE, SEVERAL UPSTREAM SAMPLES FROM ACROSS THE RECEIVING WATER(S) MAY NEED TO BE TAKEN AND THE ARITHMETIC AVERAGE OF THE TURBIDITY OF THESE SAMPLES USED FOR THE UPSTREAM TURBIDITY VALUE.
   C1.B THE DOWNSTREAM SAMPLE FOR EACH RECEIVING WATER(S) MUST BE TAKEN DOWNSTREAM OF THE CONFLUENCE OF THE LAST STORMWATER DISCHARGE FROM THE PERMITTED ACTIVITY (I.E., THE DISCHARGE FARTHEST DOWNSTREAM AT THE SITE) BUT UPSTREAM OF ANY OTHER STORMWATER DISCHARGE NOT ASSOCIATED WITH THE PERMITTED ACTIVITY. WHERE APPROPRIATE, SEVERAL DOWNSTREAM SAMPLES FROM ACROSS THE RECEIVING WATER(S) MAY NEED TO BE TAKEN AND THE ARITHMETIC AVERAGE OF THE TURBIDITY OF THESE SAMPLES USED FOR THE DOWNSTREAM TURBIDITY VALUE.
   C1.C IDEALLY THE SAMPLES SHOULD BE TAKEN FROM THE HORIZONTAL AND VERTICAL CENTER OF THE RECEIVING WATER(S) OR THE STORMWATER OUTFALL CHANNEL(S).
   C1.D CARE SHOULD BE TAKEN TO AVOID STIRRING THE BOTTOM SEDIMENTS IN THE RECEIVING WATER(S) OR IN THE OUTFALL STORMWATER CHANNEL.
   C1.E THE SAMPLING CONTAINER SHOULD BE HELD SO THAT THE OPENING FACES UPSTREAM.
   C1.F THE SAMPLES SHOULD BE KEPT FREE FROM FLOATING DEBRIS.
   C1.G PERMITTEES DO NOT HAVE TO SAMPLE SHEET FLOW THAT FLOWS ONTO UNDISTURBED NATURAL AREAS OR AREAS STABILIZED BY THE PROJECT. FOR PURPOSES OF THIS SECTION, STABILIZED SHALL MEAN, FOR UNPAVED AREAS AND AREAS NOT COVERED BY PERMANENT STRUCTURES AND AREAS LOCATED OUTSIDE THE WASTE DISPOSAL LIMITS OF A LANDFILL CELL THAT HAS BEEN CERTIFIED BY EPD FOR WASTE DISPOSAL, 100% OF THE SOIL SURFACE IS UNIFORMLY COVERED IN PERMANENT VEGETATION WITH A DENSITY OF 70% OR GREATER, OR LANDSCAPED ACCORDING TO THE PLAN (UNIFORMLY COVERED WITH LANDSCAPING MATERIALS IN PLANNED LANDSCAPED AREAS), OR EQUIVALENT PERMANENT STABILIZATION MEASURES AS DEFINED IN THE MANUAL (EXCLUDING A CROP OF ANNUAL VEGETATION AND SEEDING OF TARGET CROP PERENNIALS APPROPRIATE FOR THE REGION).
   C1.H ALL SAMPLING PURSUANT TO THE PERMIT MUST BE DONE IN SUCH A WAY (INCLUDING GENERALLY ACCEPTED SAMPLING METHODS, LOCATIONS, TIMING, AND FREQUENCY) AS TO ACCURATELY REFLECT WHETHER STORMWATER RUNOFF FROM THE CONSTRUCTION SITE IS IN COMPLIANCE WITH THE STANDARD SET FORTH IN PARTS III.D.3. OR III.D.4., WHICHEVER IS APPLICABLE.

32 → SAMPLING FREQUENCY

1. SAMPLING FREQUENCY SHALL OCCUR IN ACCORDANCE WITH PART IV.D.6.d. OF THE PERMIT.
2. THE PRIMARY PERMITTEE WITH A TOTAL PLANNED DISTURBANCE EQUAL TO OR GREATER THAN ONE (1) ACRE AND TERTIARY PERMITTEE WITH A TOTAL PLANNED DISTURBANCE EQUAL TO OR GREATER THAN FIVE (5) ACRES MUST SAMPLE IN ACCORDANCE WITH THE PLAN AT LEAST ONCE FOR EACH RAINFALL EVENT DESCRIBED BELOW. FOR A QUALIFYING EVENT, THE PERMITTEE SHALL SAMPLE AT THE BEGINNING OF ANY STORMWATER DISCHARGE TO A MONITORED RECEIVING WATER AND/OR FROM A MONITORED OUTFALL WITHIN FORTY-FIVE (45) MINUTES OR AS SOON AS POSSIBLE.
3. HOWEVER, WHERE MANUAL AND AUTOMATIC SAMPLING ARE IMPOSSIBLE (AS DEFINED IN PERMIT #GAR100003), OR ARE BEYOND THE PERMITTEE'S CONTROL, THE PERMITTEE SHALL TAKE SAMPLES AS SOON AS POSSIBLE, BUT IN NO CASE MORE THAN TWELVE (12) HOURS AFTER THE BEGINNING OF THE STORMWATER DISCHARGE.
4. SAMPLING BY THE PERMITTEE SHALL OCCUR FOR THE QUALIFYING EVENTS
   4.A. FOR EACH AREA OF THE SITE THAT DISCHARGES TO A RECEIVING WATER OR FROM AN OUTFALL, THE FIRST RAIN EVENT THAT REACHES OR EXCEEDS 0.5 INCH WITH A STORMWATER DISCHARGE THAT ALLOWS FOR SAMPLING DURING NORMAL BUSINESS HOURS AS DEFINED IN THE PERMIT AFTER ALL CLEARING AND GRUBBING OPERATIONS HAVE BEEN COMPLETED, BUT PRIOR TO COMPLETION OF MASS GRADING OPERATIONS, IN THE DRAINAGE AREA OF THE LOCATION SELECTED AS THE SAMPLING LOCATION;
   4.B. IN ADDITION TO (4.A.) ABOVE, FOR EACH AREA OF THE SITE THAT DISCHARGES TO A RECEIVING WATER OR FROM AN OUTFALL, THE FIRST RAIN EVENT THAT REACHES OR EXCEEDS 0.5 INCH WITH A STORMWATER DISCHARGE THAT OCCURS DURING NORMAL BUSINESS HOURS AS DEFINED IN THE PERMIT EITHER 90 DAYS AFTER THE FIRST SAMPLING EVENT OR AFTER ALL MASS GRADING OPERATIONS HAVE BEEN COMPLETED, BUT PRIOR TO SUBMITTAL OF NOT, IN THE DRAINAGE AREA OF THE LOCATION SELECTED AS SAMPLING LOCATION, WHICHEVER COMES FIRST;
   4.C. AT THE TIME OF SAMPLING PERFORMED PURSUANT TO (4.A.) AND (4.B.) ABOVE, IF BMP'S IN ANY AREA OF THE SITE THAT DISCHARGES TO A RECEIVING WATER OR FROM AN OUTFALL ARE NOT PROPERLY DESIGNED, INSTALLED AND MAINTAINED, CORRECTIVE ACTION SHALL BE DEFINED AND IMPLEMENTED WITHIN TWO (2) BUSINESS DAYS, AND TURBIDITY SAMPLES SHALL BE TAKEN FROM DISCHARGES FROM THAT AREA OF THE SITE FOR EACH SUBSEQUENT RAIN EVENT THAT REACHES OR EXCEEDS 0.5 INCH DURING NORMAL BUSINESS HOURS UNTIL THE SELECTED TURBIDITY STANDARD IS ATTAINED, OR UNTIL POST-STORM EVENT INSPECTIONS DETERMINE THAT BMP'S ARE PROPERLY DESIGNED, INSTALLED AND MAINTAINED;
   4.D. WHERE SAMPLING PURSUANT TO (4.A.), (4.B.) OR (4.C.) ABOVE IS REQUIRED BUT NOT POSSIBLE (OR NOT REQUIRED BECAUSE THERE WAS NO DISCHARGE), THE PRIMARY PERMITTEE, IN ACCORDANCE WITH PART IV.D.4.A.(6)., OR THE TERTIARY PERMITTEE, IN ACCORDANCE WITH PART IV.D.4.C.(6)., MUST INCLUDE A WRITTEN JUSTIFICATION IN THE INSPECTION REPORT OF WHY SAMPLING WAS NOT PERFORMED. PROVIDING THIS JUSTIFICATION DOES NOT RELIEVE THE PERMITTEE OF ANY SUBSEQUENT SAMPLING OBLIGATIONS UNDER (4.A.), (4.B.) OR (4.C.) ABOVE; AND
   4.E. EXISTING CONSTRUCTION ACTIVITIES, I.E., THOSE THAT ARE OCCURRING ON OR BEFORE THE EFFECTIVE DATE OF THE PERMIT, THAT HAVE MET THE SAMPLING REQUIRED BY (4.A.) ABOVE SHALL SAMPLE IN ACCORDANCE WITH (4.B.). THOSE EXISTING CONSTRUCTION ACTIVITIES THAT HAVE MET THE SAMPLING REQUIRED BY (4.B.) ABOVE SHALL NOT BE REQUIRED TO CONDUCT ADDITIONAL SAMPLING OTHER THAN AS REQUIRED BY (4.C.) ABOVE.
5. NOTE THAT THE PERMITTEE MAY CHOOSE TO MEET THE REQUIREMENTS OF (4.A.) AND (4.B.) ABOVE BY COLLECTING TURBIDITY SAMPLES FROM ANY RAIN EVENT THAT REACHES OR EXCEEDS 0.5 INCH AND ALLOWS FOR SAMPLING AT ANY TIME OF THE DAY OR WEEK.
6. NORMAL BUSINESS HOURS, AS DEFINED BY THE PERMIT, ARE MONDAY THRU FRIDAY, 8:00 AM TO 5:00 PM AND SATURDAY 8:00 AM TO 5:00 PM WHEN CONSTRUCTION ACTIVITY IS BEING CONDUCTED BY THE PRIMARY PERMITTEE.

31 → SAMPLING REPORTS

1. THE APPLICABLE PERMITTEES ARE REQUIRED TO SUBMIT THE SAMPLING RESULTS TO THE EPD AT THE ADDRESS SHOWN IN PART II.C. BY THE FIFTEENTH DAY OF THE MONTH FOLLOWING THE REPORTING PERIOD. REPORTING PERIODS ARE MONTHS DURING WHICH SAMPLES ARE TAKEN IN ACCORDANCE WITH THIS PERMIT. SAMPLING RESULTS SHALL BE IN A CLEARLY LEGIBLE FORMAT. UPON WRITTEN NOTIFICATION, EPD MAY REQUIRE THE APPLICABLE PERMITTEE TO SUBMIT THE SAMPLING RESULTS ON A MORE FREQUENT BASIS. SAMPLING AND ANALYSIS OF ANY STORM WATER DISCHARGE(S) OR THE RECEIVING WATER(S) BEYOND THE MINIMUM FREQUENCY STATED IN THE PERMIT MUST BE REPORTED IN A SIMILAR MANNER TO THE EPD. THE SAMPLING REPORTS MUST BE SIGNED IN ACCORDANCE WITH PART V.G.2. SAMPLING REPORTS MUST BE SUBMITTED TO EPD USING THE ELECTRONIC SUBMITTAL SERVICE PROVIDED BY EPD. SAMPLING REPORTS MUST BE SUBMITTED TO EPD UNTIL SUCH TIME AS A N.O.T. IS SUBMITTED IN ACCORDANCE WITH PART VI.
2. ALL SAMPLING REPORTS SHALL INCLUDE THE FOLLOWING INFORMATION:
   2.A. THE RAINFALL AMOUNT, DATE, EXACT PLACE AND TIME OF SAMPLING OR MEASUREMENTS;
   2.B. THE NAME(S) OF THE CERTIFIED PERSONNEL WHO PERFORMED THE SAMPLING AND MEASUREMENTS;
   2.C. THE DATE(S) ANALYSES WERE PERFORMED;
   2.D. THE TIME(S) ANALYSES WERE INITIATED;
   2.E. THE NAME(S) OF THE CERTIFIED PERSONNEL WHO PERFORMED THE ANALYSES;
   2.F. REFERENCES AND WRITTEN PROCEDURES, WHEN AVAILABLE, FOR THE ANALYTICAL TECHNIQUES OR METHODS USED;
   2.G. THE RESULTS OF SUCH ANALYSES, INCLUDING THE BENCH SHEETS, INSTRUMENT READOUTS, COMPUTER DISKS OR TAPES, ETC., USED TO DETERMINE THESE RESULTS;
   2.H. RESULTS WHICH EXCEED 1000 NTU SHALL BE REPORTED AS "EXCEEDS 1000 NTU;" AND
   2.I. CERTIFICATION STATEMENT THAT SAMPLING WAS CONDUCTED AS PER THE PLAN.
3. ALL WRITTEN CORRESPONDENCE REQUIRED BY THE PERMIT SHALL BE SUBMITTED BY RETURN RECEIPT CERTIFIED MAIL (OR SIMILAR SERVICE) TO THE APPROPRIATE DISTRICT OFFICE OF THE EPD ACCORDING TO THE SCHEDULE IN APPENDIX A OF THE PERMIT. THE APPLICABLE PERMITTEES SHALL RETAIN A COPY OF THE PROOF OF SUBMITTAL AT THE CONSTRUCTION SITE OR THE PROOF OF SUBMITTAL SHALL BE READILY AVAILABLE AT A DESIGNATED LOCATION FROM COMMENCEMENT OF CONSTRUCTION UNTIL SUCH TIME AS A NOT IS SUBMITTED IN ACCORDANCE WITH PART VI.

35 → SAMPLING POINTS

THERE WILL BE TWO SAMPLING POINTS FOR THIS SITE. THEY WILL TAKE PLACE AT THE EXISTING HEADWALL AT THE SOUTH PROPERTY LINE, AND THE EXISTING JUNCTION BOX AT THE SOUTHWEST PROPERTY CORNER, ENROUTE TO THE OUTFALL AT A UT OF BAY GALL CREEK. ALL CHANNELIZED STORM WATER FROM THE MAIN CONSTRUCTION SITE WILL FLOW TO THESE OUTFALLS. THESE OUTFALLS ARE CLEARLY MARKED ON THE EROSION CONTROL PLANS. THE TOTAL CONTRIBUTING DRAINAGE AREA IS 0.02 SQUARE MILES.

BASED ON THE GUIDELINES PROVIDED IN THE PERMIT FOR THE DEVELOPMENT, THE TURBIDITY STANDARD APPROPRIATE TO THE OUTFALL IS 75 NTU. THE REQUIRED EFFLUENT NTU VALUE WAS CALCULATED BASED ON APPENDIX B OF THE PERMIT. THE TOTAL PROPERTY OWNED BY FIFTH THIRD BANK IS APPROXIMATELY 0.96± ACRES. 0.9 ACRES ARE ANTICIPATED TO BE DISTURBED BY CONSTRUCTION ACTIVITIES. THE RECEIVING WATER FOR THIS SITE IS ULTIMATELY AN UNNAMED TRIBUTARY OF BAY GALL CREEK.

29 → SCHEDULE OF ACTIVITIES

ESTIMATED COMPLETION: JANUARY 2027

BEGIN CONSTRUCTION OCTOBER 2026	OCTOBER	NOVEMBER	DECEMBER
DESCRIPTION	1	2	3
INSTALL & MAINTAIN SEDIMENT CONTROL STRUCTURES	▨	▨	▨
INITIAL PHASE EROSION CONTROL BMP INSTALLATION	▨		
INTERMEDIATE PHASE EROSION CONTROL BMP INSTALLATION	▨	▨	▨
FINAL PHASE EROSION CONTROL BMP INSTALLATION			▨
INSTALLATION AND MAINTENANCE OF TEMPORARY SEDIMENT BASIN/RETROFIT	▨	▨	▨
DEMOLITION, CLEARING, AND GRUBBING	▨		
GRADING	▨	▨	
TEMPORARY MULCHING/SEEDING AS REQ'D TO STABLIIZE @ 14 DAY INTERVALS	▨	▨	▨
UTILITIES (STORM)	▨	▨	▨
PAVING		▨	▨
FINAL STABILIZATION/PERMANENT AS REQ'D AT 30 DAY INTERVALS			▨
REMOVE SEDIMENT CONTROL STRUCTURES			▨
FINAL CLEAN-UP			▨

GENERAL SITE INFORMATION

9 → **DESCRIPTION OF EXISTING LAND USE**
EXISTING DEVELOPED GRADED SITE WITH TWO EXISTING BUILDINGS AND PARKING AREAS

SITE PURPOSE AND CONSTRUCTION ACTIVITY
THIS SITE IS PROPOSED TO BE A 1,900 SF FIFTH THIRD BANK. THE SITE'S PROPOSED STORMWATER FACILITIES ARE LOCATED TO THE SOUTH OF THE BUILDING. DISCHARGE WILL ULTIMATELY BE CONVEYED TO AN UNNAMED TRIBUTARY OF BAY GALL CREEK.

SITE DESCRIPTION AND LOCATION
6 → TOTAL SITE AREA - 0.96 AC
TOTAL AREA OF DISTURBANCE - 0.9 ACRES
47 → SOIL TYPES: OGA
THIS SITE IS LOCATED IN WARNER ROBINS, HOUSTON COUNTY, GEORGIA.
THE SITE IS LOCATED ON THE SOUTHEAST QUADRANT OF THE INTERSECTION OF WATSON BOULEVARD & WESTGATE STREET
ADDRESS: 2711 WATSON BLVD

45 → **RUNOFF CURVE NUMBER**
BEFORE CONSTRUCTION - 86
AFTER CONSTRUCTION - 80

NPDES FEE CALCULATION
$40 X 0.9 AC = $36 CITY FEE
$40 X 0.9 AC = $36 EPD FEE

7 → **GPS LOCATION OF Co**
LAT: 32°37'04"°
LONG: -83°40'19"°

WETLANDS/STREAMS:
THERE ARE NO KNOWN WETLANDS OR STREAMS LOCATED ON THIS SITE. THERE ARE NO KNOWN BLUELINE STREAMS ON SITE.

11 → **RECEIVING WATERS:**
RECEIVING WATERS FROM THE SITE - UNNAMED TRIBUTARY OF BAY GALL CREEK. THERE SHALL BE NO ADVERSE IMPACTS TO THE RECEIVING WATERS BY POST DEVELOPMENT RUNOFF FROM THE SITE.

DRAINAGE DESCRIPTION:
THE SITE IS SLOPING PAVED WITH 1-3% SLOPES. THE EXISTING DRAINAGE FLOWS TO AN UNNAMED TRIBUTARY OF BAY GALL CREEK.

SLOPES AFTER GRADING:
AFTER CONSTRUCTION THE AVERAGE SLOPE OF THE SITE IS APPROXIMATELY 3%. EMBANKMENTS ARE 2:1 OR LESS.

CONTACT INFORMATION

PRIMARY PERMITTEE:
5 → FIFTH THIRD BANK
3344 PEACHTREE ROAD 10TH FLOOR
ATLANTA, GEORGIA 30326
DEXTER PATTERSON
DEXTER.PATTERSON@53.COM

OPERATOR:
CONTRACTOR - TBD
QUALIFIED PERSONNEL

CIVIL ENGINEER:
GASKINS + LECRAW
3475 CORPORATE WAY, STE A
DULUTH, GA 30096
MR. TIMOTHY KYLE SHARPE, PE
678.546.8100

24 HOUR CONTACT:
DEXTER PATTERSON
4 → 678.953.1694

EPD DISTRICT OFFICE
WEST CENTRAL DISTRICT
2640 SHURLING DRIVE
MACON, GA 31211
478.751.6612

7 DAY INSPECTION REQUIREMENTS

FOR STAND ALONE PROJECTS THAT BEGIN CONSTRUCTION ACTIVITY AFTER THE EFFECTIVE DATE OF THIS PERMIT, THE PRIMARY PERMITTEE MUST RETAIN THE DESIGN PROFESSIONAL WHO PREPARED THE EROSION, SEDIMENTATION AND POLLUTION CONTROL PLAN, EXCEPT WHEN THE PRIMARY PERMITTEE HAS REQUESTED IN WRITING AND EPD HAS AGREED TO AN ALTERNATE DESIGN PROFESSIONAL, IS TO INSPECT THE INSTALLATION OF THE INITIAL SEDIMENT STORAGE REQUIREMENTS AND PERIMETER CONTROL BMPS WHICH THE DESIGN PROFESSIONAL DESIGNED WITHIN SEVEN (7) DAYS AFTER INSTALLATION. THE DESIGN PROFESSIONAL SHALL DETERMINE IF THESE BMPS HAVE BEEN INSTALLED AND ARE BEING MAINTAINED AS DESIGNED. THE DESIGN PROFESSIONAL SHALL REPORT THE RESULTS OF THE INSPECTION TO THE PRIMARY PERMITTEE WITHIN SEVEN (7) DAYS AND THE PERMITTEE MUST CORRECT ALL DEFICIENCIES WITHIN TWO (2) BUSINESS DAYS OF RECEIPT OF THE INSPECTION REPORT FROM THE DESIGN PROFESSIONAL UNLESS WEATHER RELATED SITE CONDITIONS ARE SUCH THAT ADDITIONAL TIME IS REQUIRED. PERMIT IV.A.5 PG 25.

12 13 14 → CERTIFICATION STATEMENT (ENGINEER)

I CERTIFY THAT THE PERMITTEE'S EROSION, SEDIMENTATION AND POLLUTION CONTROL PLAN PROVIDES FOR AN APPROPRIATE AND COMPREHENSIVE SYSTEM OF BEST MANAGEMENT PRACTICES REQUIRED BY THE GEORGIA WATER QUALITY CONTROL ACT AND THE DOCUMENT "MANUAL FOR EROSION AND SEDIMENT CONTROL IN GEORGIA" PUBLISHED BY THE GEORGIA SOIL AND WATER CONSERVATION COMMISSION AS OF JANUARY 1 OF THE YEAR IN WHICH LAND-DISTURBING ACTIVITY WAS PERMITTED, PROVIDES FOR THE SAMPLING OF THE RECEIVING WATER(S) OR THE SAMPLING OF STORM WATER OUTFALLS AND THAT THE DESIGNED SYSTEM OF BEST MANAGEMENT PRACTICES AND SAMPLING METHODS IS EXPECTED TO MEET THE REQUIREMENTS CONTAINED IN THE GENERAL NPDES PERMIT NO. GAR 100001."

I CERTIFY UNDER PENALTY OF THE LAW THAT THIS PLAN WAS PREPARED AFTER A SITE VISIT TO THE LOCATIONS DESCRIBED HEREIN BY MYSELF OR MY AUTHORIZED AGENT, UNDER MY SUPERVISION."

UPON THE INSTALLATION OF THE PHASE 1 EROSION CONTROL MEASURES, I WILL VISIT THE SITE TO PERFORM THE INSPECTION CERTIFICATION WITHIN 7 DAYS, ONCE NOTIFIED BY THE CONTRACTOR AND CERTIFY THE INSTALLATION OF PHASE 1 BMPS.

GEORGIA LICENSED PROFESSIONAL (SIGN)	7/9/26 DATE	036681 GEORGIA PE#
TIMOTHY KYLE SHARPE GEORGIA LICENSED PROFESSIONAL (PRINT)		0000065749 GEORGIA EROSION CONTROL LEVEL 2 CERTIFICATION 3

2 → GSWCC DESIGN PROFESSIONAL

GSWCC
Georgia Soil and Water Conservation Commission

TIMOTHY KYLE SHARPE
Level II Certified Design Professional
Certification Number 0000065749
Issued: 02.17.2024 Expires: 02.17.2027

PREPARED IN THE OFFICE OF:
GASKINS + LECRAW
a PAPE-DAWSON company
© 2026 GASKINS + LECRAW
3475 CORPORATE WAY
SUITE A
DULUTH, GA 30096
PHONE - 678.546.8100
www.gaskinslecraw.com
PEF008127

REVISIONS:

REV. #	DATE	DRAWN BY:	CHECKED BY:
-	-	-	-

CLIENT
PRAXIS3
100 PEACHTREE STREET NW, SUITE 1450, ATLANTA, GEORGIA 30303

PROJECT
FIFTH THIRD BANK - WARNER ROBINS, GA
2711 WATSON BLVD
PARCEL ID: 0W0780-005000
WARNER ROBINS, HOUSTON COUNTY, GEORGIA

SEAL:
No. PE036681
TIMOTHY KYLE SHARPE
7/9/2026

CALL BEFORE YOU DIG
811
Know what's below. Call before you dig.

SCALE & NORTH ARROW:

DESIGN INFO:

DRAWN BY:	JOA
DESIGNED BY:	MAT
REVIEWED BY:	TKS
JOB #:	75670007
8 → DATE:	JULY 9, 2026

ESPC NOTES - 1

C-2.3

This document, together with the concepts and designs presented herein, as an instrument of service, is intended only for the specific purpose and client for which it was prepared. Reuse of and improper reliance on this document without written authorization and adaptation by Gaskins + LeCraw, a Pape-Dawson Company shall be without liability to Gaskins + LeCraw, a Pape-Dawson Company, Copyright Gaskins + LeCraw, a Pape-Dawson Company, 2026

1 GSWCC CHECKLIST

EROSION, SEDIMENTATION & POLLUTION CONTROL PLAN CHECKLIST
STAND ALONE CONSTRUCTION PROJECTS GAR100001

SWCD: Ocmulgee River SWCD
Project Name: Fifth Third Bank - Warner Robins, GA **Address:** 2711 Watson Blvd, Warner Robins, GA
Local Issuing Authority: Warner Robins **Date on Plans:**
Name & Email of person filling out checklist: Chris Klentz (cklentz@gaskinslecraw.com)

TO BE SHOWN ON ES&PC PLAN

Plan Page #	Included Y/N		
C-2.4	Y	1	The applicable Erosion, Sedimentation and Pollution Control Plan Checklist established by the Commission as of January 1 of the year in which the land-disturbing activity was permitted. The completed Checklist must be submitted with the ES&PC Plan or the Plan will not be reviewed. **Permit IV.D.1. pg 27**
C-2.0-2.7	Y	2	Level II certification number issued by the Commission, signature and seal of the certified design professional. Signature, seal and Level II number must be on each sheet pertaining to ES&PC Plan or the Plan will not be reviewed. The Level II certification must be issued to the Design Professional, **after completion of a GSWCC approved course**, and whose signature and seal are on the Plan.
C-2.3	Y	3	Limits of disturbance shall be **less than** 50 acres at any one time without prior written authorization from the GAEPD District Office. If GAEPD approves the request to disturb 50 acres or more at any one time, the Plan must include the GAEPD approval letter and completed Appendix 1 of this checklist with at least 4 of the chosen BMPs. * A copy of the written approval by GAEPD must be attached to the Plan for the Plan to be reviewed. **Permit IV.D.3. pg 28**
C-2.0-2.4	Y	4	The name and phone number of the 24-hour contact responsible for erosion, sedimentation and pollution controls.
C-2.0-2.4	Y	5	Provide the name, address, email address, and phone number of Primary Permittee.
C-2.0-2.3	Y	6	Note total and disturbed acreages of the project or phase under construction.
C-2.0-2.3	Y	7	Provide the GPS location of the construction exit for the site. Give the Latitude and Longitude in decimal degrees.
ALL	Y	8	Initial date of the Plan and the dates of any revisions made to the Plan including the entity who requested the revisions.
C-2.3	Y	9	Descriptions of the nature of construction activity and existing site conditions.
COVER	Y	10	Provide vicinity map showing site's relation to surrounding areas. Include designation of specific phase, if necessary.
C-2.3	Y	11	Identify the project receiving waters and describe all sensitive adjacent areas including streams, lakes, residential areas, wetlands, marshlands, etc. which may be affected.
C-2.0-2.4	Y	12	Design professional's certification statement and signature that the site was visited prior to development of the ES&PC Plan as stated on **Part IV page 20** of the permit.
C-2.0-2.4	Y	13	Design professional's certification statement and signature that the Permittee's ES&PC Plan provides for an appropriate and comprehensive system of BMPs and sampling to meet permit requirements as stated on **Part IV page 20** of the permit. *
C-2.3	Y	14	Clearly note the statement that "The design professional who prepared the ES&PC Plan is to inspect **and certify** the installation of the initial sediment storage requirements and perimeter control BMPs within 7 days after installation." *
C-2.3	Y	15	Clearly note the statement that "Non-exempt activities shall not be conducted within the 25 or 50-foot undisturbed stream buffers as measured from the point of wrested vegetation or within 25-feet of the coastal marshland buffer as measured from the Jurisdictional Determination Line without first acquiring the necessary variances and permits."
N/A	N/A	16	Provide a description of any buffer encroachments and indicate whether a buffer variance is required.
C-2.3	Y	17	Clearly note the statement that "Amendments/revisions to the ES&PC Plan which have a significant effect on BMPs with a hydraulic component must be certified by the design professional." *
C-2.3	Y	18	Clearly note the statement that "Waste materials shall not be discharged to waters of the State, except as authorized by a Section 404 permit." *
C-2.3	Y	19	Clearly note statement that "The escape of sediment from the site shall be prevented by the installation of erosion and sediment control measures and practices prior to land disturbing activities."
C-2.3	Y	20	Clearly note statement that "Erosion control measures will be maintained at all times. If full implementation of the approved Plan does not provide for effective erosion control, additional erosion and sediment control measures shall be implemented to control or treat the sediment source."
C-2.3	Y	21	Clearly note the statement "Any disturbed area left exposed for a period greater than 14 days shall be stabilized with mulch or temporary seeding."
N/A	N/A	22	Any construction activity which discharges storm water into a Biota Impaired Stream Segment, or within 1 linear mile upstream of and within the same watershed as any portion of a Biota Impaired Stream Segment, must comply with **Part III.C.** of the permit. Include the completed Appendix 1 of this checklist with at least 4 of the chosen BMPs that will be used for those areas of the site which discharge to the Impaired Stream Segment. *
N/A	N/A	23	If a TMDL Implementation Plan for sediment has been finalized for the Biota Impaired Stream Segment (identified in Item 22 above) at least six months prior to submittal of NOI, the ES&PC Plan must address any site-specific conditions or requirements included in the TMDL Implementation Plan. *
C-2.4	Y	24	BMPs for concrete washdown of tools, concrete mixer chutes, hoppers and the rear of the vehicles. Include statement that washout of the drum at the construction site is prohibited. *
C-2.4	Y	25	Provide BMPs for the remediation of all petroleum spills and leaks.
C-2.3	Y	26	Description of the measures that will be installed during the construction process to control pollutants in storm water that will occur after construction operations have been completed. *
C-2.3	Y	27	Description of practices to provide cover for building materials and building products on site. *
C-2.3	Y	28	Description of the practices that will be used to reduce the pollutants in storm water discharges. *
C-2.3	Y	29	Description and chart or timeline of the intended sequence of major activities which disturb soils for the major portions of the site (i.e., initial perimeter and sediment storage BMPs, clearing and grubbing activities, excavation activities, utility activities, grading, infrastructure, temporary and final stabilization).
C-2.4	Y	30	Provide complete requirements of Inspections and record keeping by the Primary Permittee. *
C-2.3	Y	31	Provide complete requirements of Sampling Frequency and Reporting of sampling results. *
C-2.4	Y	32	Provide complete details for Retention of Records as per **Part IV.F.** of the permit. *
C-2.3	Y	33	Description of analytical methods to be used to collect and analyze the samples from each location. *
C-2.4	Y	34	Appendix B rationale for NTU values at all outfall sampling points where applicable. *
C-2.0-2.2	Y	35	Delineate all sampling locations on **all phases of** the Plan, and perennial and intermittent streams and other water bodies into which storm water is discharged. *
C-2.3	Y	36	A description of appropriate controls and measures that will be implemented at the construction site including: (1) initial sediment storage requirements and perimeter control BMPs, (2) intermediate grading and drainage BMPs, and (3) final BMPs. For construction sites where there will be no mass grading and the initial sediment storage requirements and initial perimeter control BMPs, intermediate grading and drainage BMPs, and final BMPs are the same, the Plan may combine all BMPs into a single phase plan. *
ALL	Y	37	Graphic scale and North arrow.
C-2.0-2.2	Y	38	Existing and proposed contour lines with contour lines drawn at an interval in accordance with the following:

Map Scale	Ground Slope	Contour Intervals, ft.
1 inch = 100ft or larger scale	Flat 0 - 2% Rolling 2 - 8% Steep 8% +	0.5 or 1 1 or 2 2, 5 or 10

Plan Page #	Included Y/N		
C-2.3	Y	39	Use of Alternative BMPs whose performance has been documented to be equivalent to or superior to conventional BMPs as certified by a Design Professional (unless disapproved by GAEPD or the Georgia Soil and Water Conservation Commission). Refer to the Alternative BMP Guidance Document found at www.gaswcc.georgia.gov.
C-2.3	Y	40	Use of Alternative BMP for application to the Equivalent BMP List. Refer to Appendix A-2 of the Manual for Erosion & Sediment Control in Georgia 2016 Edition. *
N/A	N/A	41	Delineation of the applicable 25-foot or 50-foot undisturbed buffers adjacent to State Waters and any additional buffers as required by the Local Issuing Authority. Clearly note and delineate all areas of impact.
N/A	N/A	42	Delineation of all State Waters and wetlands located on or within 200 feet of the project site.
C-2.0-2.2	Y	43	Delineation and acreage of contributing drainage basins on the project site.
HYDRO	Y	44	Provide hydrology study and maps of drainage basins for both the pre- and post-developed conditions. *
C-2.3	Y	45	Estimate of the runoff coefficient or peak discharge flow of the site prior to and after construction activities are completed. **For solar farm projects, post-construction impervious area shall be calculated as 70% of total solar panel square footage.**
C-2.5-2.7	Y	46	Storm-drain pipe and weir velocities with appropriate outlet protection to accommodate discharges without erosion. Identify/Delineate at all storm water discharge points.
C-2.0-2.2	Y	47	Soil series for the project site and their delineation.
C-2.0-2.2	Y	48	The limits of disturbance for each phase of construction.
C-2.0-2.2	Y	49	Provide a minimum of 67 cubic yards of sediment storage per acre drained using a temporary sediment basin, retrofitted detention pond, and/or excavated inlet sediment traps for each common drainage location. Sediment storage volume must be in place prior to and during all land disturbance activities until final stabilization of the site has been achieved. A written justification explaining the decision to use equivalent controls when a sediment basin is not attainable must be included in the Plan for each common drainage location in which a sediment basin is not provided. A written justification as to why 67 cubic yards of storage is not attainable must also be given. Worksheets from the Manual must be included for structural BMPs and all calculations used by the design professional to obtain the required sediment storage when using equivalent controls. When discharging from sediment basins and impoundments, Permittees are required to utilize outlet structures that withdraw water from the surface, unless infeasible. If outlet structures that withdraw water from the surface are not feasible, a written justification explaining this decision must be included in the Plan.
C-2.4	Y	50	Location of Best Management Practices that are consistent with, and no less stringent than, the Manual for Erosion and Sediment Control in Georgia. Use uniform coding symbols from the Manual Chapter 6, with legend.
C-2.5-2.7	Y	51	Provide detailed drawings for all structural practices. Specifications must, at a minimum, meet the guidelines set forth in the Manual for Erosion and Sediment Control in Georgia.
C-2.0-2.2	Y	52	Provide vegetative plan, noting all temporary and permanent vegetative practices. Include species, planting dates and seeding, fertilizer, lime and mulching rates. Vegetative plan shall be site specific for appropriate time of year that seeding will take place and for the appropriate geographic region of Georgia.

* **If using this checklist for a project that is less than 1 acre and not part of a common development but within 200 ft of a perennial stream, the * checklist items would be N/A.**

Effective January 1, 2026

54 SEEDING REQUIREMENTS

MULCH AS REQUESTED PER GEORGIA MANUAL FOR EROSION AND SEDIMENT CONTROL

	AREA	SOWING SEASON	SPECIES	SEED LBS/ACRE
TEMPORARY Ds1 TEMPORARY Ds2	FLAT TO ROLLING TERRAIN WITH SLOPES LESS THAN 3:1	AUG - FEB MARCH - APRIL APRIL - JUNE APRIL - JULY	ANNUAL RYEGRASS ANNUAL LESPEDEZA SUDANGRASS BR.TOP MILLET	40 LBS. 40 LBS. 60 LBS. 40 LBS.
	SEEDING WITH MULCH AGRICULTURAL LIMESTONE FERTILIZER, 5-10-15 MULCH, STRAW OR HAY WOOD WASTE, CHIPS, BARK	 6-10" DEPTH 2-3" DEPTH		 4,000 LBS/ACRE 1,500 LBS/ACRE 5,000 LBS/ACRE 14,000 LBS/ACRE
	EMBANKMENTS WITH SLOPES > 3:1	MAR-JUNE 8/15-11/1	WEEPING LOVEGRASS TALL FESCUE	4 LBS. 50 LBS.
PERMANENT Ds3	FLAT TO ROLLING TERRAIN WITH SLOPES 3:1 OR LESS	NOV - MAR. APRIL - JUNE SEPT - MAY MARCH - MAY	UNHULLED BERMUDA HULLED BERMUDA LESPEDEZA 2 LESPEDEZA 1 TALL FESCUE	10 LBS. 10 LBS. 75 LBS. 60 LBS.
	EMBANKMENTS WITH SLOPES GREATER THAN 3:1	MAR-JUNE SEPT-MAY 8/15-11/1	WEEPING LOVEGRASS SERICEA LESPEDEZA 2 TALL FESCUE	6 LBS. 75 LBS. 75 LBS.

FERTILIZER
LBS/ACRE
400 LBS. (10-10-10)
1,000 LBS. (6-12-12)

LIME
LBS/ACRE
2,000 LBS. (10-10-10)

DISTURBED AREAS IDLE FOR GREATER THAN 7 DAYS WILL BE MULCHED OIR SEEDED WITH TEMPORARY VEGETATION. AREAS SHOULD NOT BE EXPOSED GREATER THAN 14 DAYS AFTER LAST CONSTRUCTION ACTIVITY WITHOUT PERMANENT SEEDING. THE SURFACE WILL BE ROUGHENED PRIOR TO PLANTING TO PROMOTE GOOD SEED INFILTRATION. HAND-PLANTED SEED WILL BE STABILIZED WITH APPROPRIATE MULCH (E.G., HAY, STRAW) WITHIN 24-HOURS OF PLANTING. SLOPES GREATER THAN 3 TO 1 WILL BE UNDERLAIN WITH A DOT APPROVED MATTING AND HYDROSEEDED.

35 NEPHELOMETRIC TURBIDITY UNIT (NTU) TABLES

Trout Streams

Surface Water Drainage Area, square miles

Site Size, acres	0-4.99	5-9.99	10-24.99	25-49.99	50-99.99	100-249.99	250-499.99	500+
1.00-10	25	50	75	150	300	500	500	500
10.01-25	25	25	50	75	150	200	500	500
25.01-50	25	25	25	50	75	100	300	500
50.01-100	20	25	25	35	59	75	150	300
100.01+	20	20	25	25	25	50	60	100

Waters Supporting Warm Water Fisheries

Surface Water Drainage Area, square miles

Site Size, acres	0-4.99	5-9.99	10-24.99	25-49.99	50-99.99	100-249.99	250-499.99	500+
1.00-10	(75)	150	200	400	750	750	750	750
10.01-25	50	100	100	200	300	500	750	750
25.01-50	50	50	100	100	200	300	750	750
50.01-100	50	50	50	100	100	150	300	600
100.01+	50	50	50	50	50	100	200	100

BEST MANAGEMENT PRACTICES

1. STRIPPING OF VEGETATION, REGRADING, AND OTHER DEVELOPMENT ACTIVITIES SHALL BE CONDUCTED IN SUCH A MANNER SO AS TO MINIMIZE EROSION.

2. CUT AND FILL OPERATIONS SHALL BE KEPT TO A MINIMUM, AND WILL NOT ENDANGER ADJACENT PROPERTIES.

3. DEVELOPMENT PLANS WILL CONFORM TO TOPOGRAPHY AND SOIL TYPE, SO AS TO CREATE THE LOWEST PRACTICABLE EROSION POTENTIAL;

4. WHENEVER FEASIBLE, NATURAL VEGETATION SHALL BE RETAINED, PROTECTED, AND SUPPLEMENTED;

5. THE DISTURBED AREA AND THE DURATION OF EXPOSURE TO EROSIVE ELEMENTS SHALL BE KEPT TO A PRACTICABLE MINIMUM;

6. DISTURBED SOIL SHALL BE STABILIZED AS QUICKLY AS PRACTICABLE;

7. TEMPORARY VEGETATION OR MULCHING SHALL BE EMPLOYED TO PROTECT EXPOSED CRITICAL AREAS DURING DEVELOPMENT;

8. PERMANENT VEGETATION AND STRUCTURAL EROSION CONTROL MEASURES SHALL BE INSTALLED AS SOON AS PRACTICABLE;

9. TO THE EXTENT NECESSARY, SEDIMENT IN RUNOFF WATER SHALL BE TRAPPED BY THE USE OF DEBRIS BASINS, SILT TRAPS, OR SIMILAR MEASURES UNTIL THE DISTURBED AREA IS STABILIZED; SILT FENCING WILL BE DOT TYPE "C"

10. ADEQUATE PROVISIONS SHALL BE PROVIDED TO MINIMIZE DAMAGE FROM SURFACE WATER TO THE CUT FACE OF EXCAVATIONS OR THE SLOPING SURFACES OF FILLS; ALL FILL SLOPES SHALL HAVE SILT FENCING AT THE TOE;

11. GRADING EQUIPMENT SHALL CROSS FLOWING STREAMS BY THE MEANS OF BRIDGES OR CULVERTS, EXCEPT WHEN SUCH METHODS ARE NOT FEASIBLE, PROVIDED IN ANY CASE THAT SUCH CROSSINGS SHALL BE KEPT TO A MINIMUM;

12. FILLS SHALL NOT ENCROACH UPON NATURAL WATER COURSES OR CONSTRUCTED CHANNELS IN A MANNER SO AS TO ADVERSELY AFFECT OTHER PROPERTY OWNERS;

13. PROVISIONS SHALL BE PROVIDED FOR TREATMENT OR CONTROL OF ANY SOURCE OF SEDIMENTS AND ADEQUATE SEDIMENTATION CONTROL FACILITIES TO RETAIN SEDIMENTS ON SITE OR PRECLUDE SEDIMENTATION OF ADJACENT WATERS BEYOND THE LEVELS SPECIFIED IN THIS PERMIT;

14. NO CONSTRUCTION ACTIVITIES SHALL BE CONDUCTED WITHIN A 25-FOOT BUFFER ALONG THE BANKS OF ALL STATE WATERS. EXCEPTIONS INCLUDE AN APPROVED VARIANCE OR WHERE A DRAINAGE STRUCTURE OR A ROADWAY DRAINAGE STRUCTURE MUST BE CONSTRUCTED, PROVIDED THAT ADEQUATE EROSION CONTROL MEASURES ARE INCORPORATED IN THE PROJECT PLANS AND SPECIFICATIONS AND ARE IMPLEMENTED;

15. NO CONSTRUCTION ACTIVITIES SHALL BE CONDUCTED WITHIN A BUFFER AND A BUFFER SHALL REMAIN IN ITS NATURAL, UNDISTURBED, STATE OF VEGETATION UNTIL ALL LAND-DISTURBING ACTIVITIES ON THE CONSTRUCTION SITE ARE COMPLETED;

16. NO CONSTRUCTION ACTIVITIES SHALL BE CONDUCTED WITHIN A 25-FOOT BUFFER, AS MEASURED HORIZONTALLY FROM THE POINT WHERE VEGETATION HAS BEEN WRESTED BY NORMAL STREAM FLOW OR WAVE ACTION, ALONG THE BANKS OF ANY STATE WATERS CLASSIFIED AS 'TROUT STREAMS' EXCEPT WHEN APPROVAL IS GRANTED BY THE DIRECTOR FOR ALTERNATE BUFFER REQUIREMENTS IN ACCORDANCE WITH THE PROVISIONS OF O.C.G.A. 12-7-6, OR WHERE A ROADWAY DRAINAGE STRUCTURE MUST BE CONSTRUCTED; PROVIDED, HOWEVER, THAT SMALL SPRINGS AND STREAMS CLASSIFIED AS 'TROUT STREAMS' WHICH DISCHARGE AN AVERAGE ANNUAL FLOW OF 25 GALLONS PER MINUTE OR LESS SHALL HAVE A 25-FOOT BUFFER OR THEY MAY BE PIPED, AT THE DISCRETION OF THE PERMITTEE, PURSUANT TO THE TERMS OF A RULE PROVIDING FOR A GENERAL VARIANCE PROMULGATED BY THE BOARD OF NATURAL RESOURCES INCLUDING NOTIFICATION OF SUCH TO EPD AND THE LOCAL ISSUING AUTHORITY OF THE LOCATION AND EXTENT OF THE PIPING AND PRESCRIBED METHODOLOGY FOR MINIMIZING THE IMPACT OF SUCH PIPING AND FOR MEASURING THE VOLUME OF WATER DISCHARGED BY THE STREAM. ANY SUCH PIPE MUST STOP SHORT OF THE DOWN STREAM PERMITTEE'S PROPERTY, AND THE PERMITTEE MUST COMPLY WITH THE BUFFER REQUIREMENT FOR ANY ADJACENT TROUT STREAMS;

17. EXCEPT AS PROVIDED ABOVE, FOR BUFFERS REQUIRED PURSUANT TO PART IV.(XV), AND (XVI)., NO CONSTRUCTION ACTIVITIES SHALL BE CONDUCTED WITHIN A BUFFER AND A BUFFER SHALL REMAIN IN ITS NATURAL, UNDISTURBED, STATE OF VEGETATION UNTIL ALL LAND-DISTURBING ACTIVITIES ON THE CONSTRUCTION SITE ARE COMPLETED. BETWEEN THE TIME FINAL STABILIZATION OF THE SITE IS ACHIEVED AND UPON THE SUBMITTAL OF A NOTICE OF TERMINATION, A BUFFER MAY BE THINNED OR TRIMMED OF VEGETATION AS LONG AS A PROTECTIVE VEGETATIVE COVER REMAINS TO PROTECT WATER QUALITY AND AQUATIC HABITAT AND A NATURAL CANOPY IS LEFT IN SUFFICIENT QUANTITY TO KEEP SHADE ON THE STREAM BED.

18. VELOCITY DISSIPATION DEVICES SHALL BE PLACED AT DISCHARGE LOCATIONS AND ALONG THE LENGTH OF ANY OUTFALL CHANNEL FOR THE PURPOSE OF PROVIDING A NON-EROSIVE VELOCITY FLOW FROM THE STRUCTURE TO A WATER COURSE SO THAT THE NATURAL PHYSICAL AND BIOLOGICAL CHARACTERISTICS AND FUNCTIONS ARE MAINTAINED AND PROTECTED (E.G., NO SIGNIFICANT CHANGES IN THE HYDROLOGICAL REGIME OF THE RECEIVING WATER(S).

19. INSTALLATION AND USE OF GREEN INFRASTRUCTURE APPROACHES AND PRACTICES THAT MIMIC NATURAL PROCESSES AND DIRECT STORM WATER WHERE IT CAN BE INFILTRATED, EVAPOTRANSPIRATED OR RE-USED WITH SIGNIFICANT UTILIZATION OF SOILS AND VEGETATION RATHER THAN TRADITIONAL HARDSCAPE COLLECTION, CONVEYANCE AND STORAGE STRUCTURES ARE ENCOURAGED TO THE MAXIMUM EXTENT PRACTICABLE.

20. WASTE DISPOSAL. NO SOLID MATERIALS, INCLUDING BUILDING MATERIALS, SHALL BE DISCHARGED TO WATERS OF THE STATE, EXCEPT AS AUTHORIZED BY A SECTION 404 PERMIT.

21. OFF-SITE VEHICLE TRACKING OF DIRT, SOILS, AND SEDIMENTS AND THE GENERATION OF DUST SHALL BE MINIMIZED OR ELIMINATED TO THE MAXIMUM EXTENT PRACTICAL. THE PLAN SHALL INCLUDE THE BEST MANAGEMENT PRACTICE TO BE IMPLEMENTED AT THE SITE OR COMMON DEVELOPMENT.

22. ALL PERMITTEES SHALL ENSURE AND DEMONSTRATE THAT THEIR PLAN IS IN COMPLIANCE WITH APPLICABLE STATE AND/OR LOCAL WASTE DISPOSAL, SANITARY SEWER OR SEPTIC SYSTEM REGULATIONS.

PRODUCT SPECIFIC PRACTICES

PETROLEUM PRODUCTS:
ALL ON SITE VEHICLES WILL BE MONITORED FOR LEAKS AND RECEIVE REGULAR PREVENTIVE MAINTENANCE TO REDUCE THE CHANCE OF LEAKAGE. PETROLEUM PRODUCTS WILL BE STORED IN TIGHTLY SEALED CONTAINERS WHICH ARE CLEARLY LABELED. ANY PETROLEUM TO BE STORED IN TANKS WILL HAVE BE SURROUNDED BY AN EARTHEN BERM AS A SECONDARY PROTECTIVE MEASURE ALL CONTAINERS/TANKS WILL BE REGULARLY INSPECTED FOR CRACKS OR LEAKAGE. IF POSSIBLE, PETROLEUM PRODUCTS WILL BE STORED IN A COVERED AREA. ANY ASPHALT SUBSTANCES USED ON SITE WILL BE APPLIED ACCORDING TO THE MANUFACTURE'S RECOMMENDATIONS.

PAINTS:
ALL CONTAINERS WILL BE TIGHTLY SEALED AND STORED WHEN NOT REQUIRED FOR USE. EXCESS PAINT WILL NOT BE DISCHARGED TO THE STORM SEWER SYSTEM OR SURFACE WATERS BUT WILL BE PROPERLY DISPOSED OF ACCORDING TO MANUFACTURE'S INSTRUCTIONS AND FEDERAL, STATE AND LOCAL REGULATIONS.

25 **CONCRETE TRUCKS:**
CONCRETE TRUCKS WILL NOT BE ALLOWED TO WASHOUT OR DISCHARGE SURPLUS CONCRETE DRUM WASH ON SITE. WASHOUT OF THE DRUM AT THE SITE IS PROHIBITED.

FERTILIZERS:
FERTILIZER USED WILL BE APPLIED ONLY IN THE MINIMUM AMOUNTS RECOMMENDED BY THE MANUFACTURER. ONCE APPLIED, FERTILIZER WILL BE WORKED INTO THE SOIL TO LIMIT EXPOSURE TO STORM WATER. STORAGE WILL BE IN A COVERED SHED (WHENEVER POSSIBLE). THE CONTENTS OF ANY PARTIALLY USED BAGS OF FERTILIZER WILL BE TRANSFERRED TO SEALABLE PLASTIC BINS TO AVOID SPILLS (WHENEVER POSSIBLE)

SANITARY/SEPTIC WASTES:
DURING CONSTRUCTION, 1 PORTABLE TOILET PER EVERY 10 WORKERS SHALL BE PROVIDED ONSITE. ALL SANITARY WASTE FACILITIES WILL BE SERVICED BY A QUALIFIED DOMESTIC WASTE HAULER. FACILITIES WILL BE PLACED OUT OF HIGH FLOW AREAS, AND WILL BE KEPT AWAY FROM, AND NOT RINSED INTO, STORM DRAIN INLETS AND RECEIVING BODIES OF WATER. AT COMPLETION, THE SITE WILL BE SERVED BY WARNER ROBINS SANITARY SEWER.

MULCH:
MULCH STORAGE MUST COMPLY WITH THE FOLLOWING SECTION OF THE STANDARD FIRE PREVENTION CODE: SECTION 502.3.1 - NO PERSON SHALL STORE IN ANY BUILDING OR UPON ANY PREMISES IN EXCESS OF 2,500 CU.FT. GROSS VOLUME OF COMBUSTIBLE EMPTY PACKING CASES, BOXES, BARRELS OR SIMILAR CONTAINERS, OR RUBBER TIRES, OR RUBBER OR OTHER SIMILARLY COMBUSTIBLE MATERIALS WITHOUT A PERMIT.

SANDBLASTING GRITS:
NO SANDBLASTING GRIT WILL BE DISPOSED OF ON SITE. ITS DISPOSAL WILL BE COORDINATED WITH A LICENSED WASTE MANAGEMENT OR TRANSPORT AND DISPOSAL FIRM.

CONSTRUCTION WASTES:
ALL CONSTRUCTION WASTE, FOR EXAMPLE: RUBBLE, PACKAGING MATERIALS, SCRAP BUILDING SUPPLIES, AND TREES AND SHRUBS REMOVED DURING GRUBBING, WILL BE COLLECTED AT A DESIGNATED ON-SITE LOCATION. IF POSSIBLE THE WASTE ACCUMULATION AREA WILL BE LOCATED IN A COVERED AREA. ALL CONSTRUCTION WASTES WILL BE REMOVED REGULARLY ON A CONSISTENT SCHEDULE AND DISPOSED OF AT AUTHORIZED DISPOSAL SITES.

DETERGENTS:
THE USE OF DETERGENTS WILL BE LIMITED ON SITE, AND NO WASH WATER CONTAINING DETERGENTS WILL BE DISCHARGED TO STORM DRAIN INLETS OR RECEIVING BODIES OF WATER.

STATE WATERS NOTES

THERE ARE NO KNOWN STATE WATERS LOCATED ON OR WITHIN 200' OF THE SITE, THEREFORE, THERE ARE NO APPLICABLE 25' UNDISTURBED STATE BUFFERS.

22 24 THIS PROJECT DOES NOT DISCHARGE STORM WATER INTO AN IMPAIRED STREAM SEGMENT, OR WITHIN 1 LINEAR MILE UPSTREAM OF, AND WITHIN THE SAME WATERSHED AS, ANY PORTION OF A BIOTA IMPAIRED STREAM SEGMENT (SEE ATTACHED APPENDIX 1). IF A TMDL IMPLEMENTATION PLAN FOR SEDIMENT HAS BEEN FINALIZED FOR THE IMPAIRED STREAM SEGMENT (IDENTIFIED IN ITEM 21 OF THE ES&PC PLAN FOR STAND ALONE CONSTRUCTION PROJECTS) AT LEAST 6 MONTHS PRIOR TO SUBMITTAL OF N.O.I., THE ES&PC PLAN MUST ADDRESS ANY SITE-SPECIFIC CONDITIONS OR REQUIREMENTS INCLUDED IN THE TMDL IMPLEMENTATION PLAN.

16 THIS PROJECT DOES NOT PROPOSE CONSTRUCTION ACTIVITY WITHIN THE 25 OR 50 FOOT UNDISTURBED STREAM BUFFERS AS MEASURED FROM THE POINT OF WRESTED VEGETATION. A STREAM BUFFER VARIANCE IS NOT REQUIRED FROM THE EPD.

33 RETENTION OF RECORDS

1. THE PRIMARY PERMITTEE SHALL RETAIN THE FOLLOWING RECORDS AT THE CONSTRUCTION SITE OR THE RECORDS SHALL BE READILY AVAILABLE AT A DESIGNATED ALTERNATE LOCATION FROM COMMENCEMENT OF CONSTRUCTION UNTIL SUCH TIME AS A NOT IS SUBMITTED IN ACCORDANCE WITH PART VI:
   - A. A COPY OF ALL NOTICES OF INTENT SUBMITTED TO EPD;
   - B. A COPY OF THE EROSION, SEDIMENTATION AND POLLUTION CONTROL PLAN REQUIRED BY THIS PERMIT;
   - C. THE DESIGN PROFESSIONAL'S REPORT OF THE RESULTS OF THE INSPECTION CONDUCTED IN ACCORDANCE WITH PART IV.A.5. OF THIS PERMIT;
   - D. A COPY OF ALL SAMPLING INFORMATION, RESULTS, AND REPORTS REQUIRED BY THIS PERMIT;
   - E. A COPY OF ALL INSPECTION REPORTS GENERATED IN ACCORDANCE WITH PART IV .D.4.A. OF THIS PERMIT;
   - F. A COPY OF ALL VIOLATION SUMMARIES AND VIOLATION SUMMARY REPORTS GENERATED IN ACCORDANCE WITH PART III.D.2. OF THIS PERMIT; AND
   - G. DAILY RAINFALL INFORMATION COLLECTED IN ACCORDANCE WITH PART IV.D.4.A.(2). OF THIS PERMIT.

2. COPIES OF ALL NOTICES OF INTENT, NOTICES OF TERMINATION , INSPECTION REPORTS, SAMPLING REPORTS (INCLUDING ALL CALIBRATION AND MAINTENANCE RECORDS AND ALL ORIGINAL STRIP CHART RECORDINGS FOR CONTINUOUS MONITORING INSTRUMENTATION) OR OTHER REPORTS REQUESTED BY THE EPD, EROSION, SEDIMENTATION AND POLLUTION CONTROL PLANS, RECORDS OF ALL DATA USED TO COMPLETE THE NOTICE OF INTENT TO BE COVERED BY THIS PERMIT AND ALL OTHER RECORDS REQUIRED BY THIS PERMIT SHALL BE RETAINED BY THE PERMITTEE WHO EITHER PRODUCED OR USED IT FOR A PERIOD OF AT LEAST THREE YEARS FROM THE DATE THAT THE NOT IS SUBMITTED IN ACCORDANCE WITH PART VI. OF THIS PERMIT. THESE RECORDS MUST BE MAINTAINED AT THE PERMITTEE'S PRIMARY PLACE OF BUSINESS OR AT A DESIGNATED ALTERNATIVE LOCATION ONCE THE CONSTRUCTION ACTIVITY HAS CEASED AT THE PERMITTED SITE. THIS PERIOD MAY BE EXTENDED BY REQUEST OF THE EPD AT ANY TIME UPON WRITTEN NOTIFICATION TO THE PERMITTEE.

KEEPING PLANS CURRENT

THE PRIMARY PERMITTEE(S) SHALL AMEND THEIR PLAN WHENEVER THERE IS A CHANGE IN DESIGN, CONSTRUCTION, OPERATION, OR MAINTENANCE, WHICH HAS A SIGNIFICANT EFFECT ON BMPS WITH A HYDRAULIC COMPONENT (I.E., THOSE BMPS WHERE THE DESIGN IS BASED UPON RAINFALL INTENSITY, DURATION AND RETURN FREQUENCY OF STORMS) OR IF THE PLAN PROVES TO BE INEFFECTIVE IN ELIMINATING OR SIGNIFICANTLY MINIMIZING POLLUTANTS FROM SOURCES IDENTIFIED UNDER PART IV.D.3. AMENDMENTS TO THE PLAN MUST BE CERTIFIED BY A DESIGN PROFESSIONAL AS PROVIDED IN THIS PERMIT.

INSPECTION AND MAINTENANCE PROCEDURES

DAILY	WEEKLY AND/OR WITHIN 24 HRS. OF >0.5 STORM EVENT	MONTHLY AND/OR UNTIL NOT
CONSTRUCTION EXIT STORAGE AREAS FOR POTENTIAL POLLUTANTS PETROLEUM FERTILIZER PAINT CONCRETE DETERGENTS TAR CLEANING SOLVENTS WOOD/MASONRY ROOFING MATERIAL METAL STUDS OTHER HAZARDOUS MATERIALS	ALL EROSION CONTROL MEASURES SILT FENCE - SEDIMENT SHALL BE REMOVED FROM THE SILT FENCE WHEN IT REACHES 1/2 THE HEIGHT OF THE FENCE. INSPECT SILT FENCE FOR TEARS, SEE THAT FABRIC IS FIRMLY IN PLACE AND ALL POSTS SECURE. SEDIMENT BASIN - INSPECT FOR DEPTH OF SEDIMENT, REMOVE SEDIMENT REACHES 10% OF DESIGN CAPACITY. DIVERSION DIKES - INSPECT AND REPAIR ANY BREACHES ACCESSIBLE DISCHARGE POINTS - ENSURE THAT EROSION CONTROL MEASURES ARE EFFECTIVE IN PREVENTING SIGNIFICANT IMPACTS TO RECEIVING WATERS TEMP AND PERM SEEDING, INSPECT FOR BARE SPOTS, WASHOUT AND HEALTHY GROWTH.	ALL AREAS WHICH HAVE UNDERGONE FINAL STABILIZATION ALL EROSION CONTROL MEASURES INSPECT FOR EVIDENCE OF, OR POTENTIAL FOR POLLUTANTS ENTERING THE DRAINAGE SYSTEM AND THE RECEIVING WATERS ACCESSIBLE DISCHARGE POINTS - ENSURE THAT EROSION CONTROL MEASURES ARE EFFECTIVE IN PREVENTING SIGNIFICANT IMPACTS TO RECEIVING WATERS

A MAINTENANCE REPORT WILL BE MADE AFTER EACH INSPECTION

INSPECTIONS SHALL BE CONDUCTED UNDER THE SUPERVISION OF THE PRIMARY PERMITTEE BY "CERTIFIED PERSONNEL." CERTIFIED PERSONNEL MEANS A PERSON WHO HAS SUCCESSFULLY COMPLETED THE APPROPRIATE EROSION AND SEDIMENT CONTROL CERTIFICATION COURSE APPROVED BY EPD AND THE GEORGIA SOIL AND WATER CONSERVATION COMMISSION.

RECORD KEEPING A REPORT SHALL BE MADE AFTER EACH INSPECTION SUMMARIZING THE RESULTS. THE INSPECTOR MUST RECORD ANY DAMAGE OR DEFICIENCIES IN THE CONTROL MEASURES ON THE PROVIDED REPORT FORM. THE OPERATOR SHALL REPAIR ANY DAMAGE AS SOON AS PRACTICAL AND NO LATER THAN (7) SEVEN DAYS AFTER THE INSPECTION. THE PLANS MUST BE KEPT CURRENT. IT IS THE RESPONSIBILITY OF THE PRIMARY PERMITTEE TO REVISE THE ES&PC PLANS.

POLLUTION PREVENTION MEASURES

COVER FOR BUILDING MATERIALS / PRODUCTS ON SITE:
PLASTIC SHEETING OR TEMPORARY ROOFS SHOULD BE USED TO PROVIDE COVER TO BUILDING MATERIALS, BUILDING PRODUCTS, CONSTRUCTION WASTE, TRASH, LANDSCAPE MATERIALS, FERTILIZERS, PESTICIDES, HERBICIDES, DETERGENTS, ETC. IN ORDER TO MINIMIZE EXPOSURE TO PRECIPITATION AND TO STORMWATER.

GOOD HOUSEKEEPING PRACTICES:
AN EFFORT WILL BE MADE TO STORE ONLY ENOUGH PRODUCT TO DO THE JOB. ALL MATERIALS ONSITE WILL BE STORED IN A NEAT, ORDERLY MANNER IN THEIR APPROPRIATE CONTAINERS AND, IF POSSIBLE, UNDER ONE ROOF OR ENCLOSURE. PRODUCTS WILL BE KEPT IN THEIR ORIGINAL CONTAINER WITH ORIGINAL MANUFACTURE'S LABEL. SUBSTANCES WILL NOT BE MIXED WITH ONE ANOTHER UNLESS RECOMMENDED BY THE MANUFACTURE. WHENEVER POSSIBLE, ALL OF A PRODUCT WILL BE USED UP BEFORE DISPOSING OF THE CONTAINER.

HAZARDOUS PRODUCTS:
THESE PRACTICES ARE USED TO REDUCE THE RISKS ASSOCIATED WITH HAZARDOUS MATERIALS.
PRODUCTS WILL BE KEPT IN ORIGINAL CONTAINERS UNLESS THEY ARE NOT RESEALABLE
ORIGINAL LABELS AND MATERIAL SAFETY DATA WILL BE RETAINED; THEY CONTAIN IMPORTANT INFORMATION
IF SURPLUS PRODUCT MUST BE DISPOSED OF, MANUFACTURERS' OR LOCAL AND STATE RECOMMENDED METHODS FOR PROPER DISPOSAL WILL BE FOLLOWED

25 SPILL PREVENTION PRACTICES

(1.) MANUFACTURES RECOMMENDED METHODS FOR SPILL CLEANUP WILL BE CLEARLY POSTED AND SITE PERSONNEL WILL BE MADE AWARE OF THE PROCEDURES AND THE LOCATION OF THE INFORMATION AND THE CLEANUP SUPPLIES.
(2.) MATERIALS AND EQUIPMENT NECESSARY FOR SPILL CLEANUP WILL BE KEPT IN A MATERIAL STORAGE AREA ONSITE. EQUIPMENT AND MATERIALS WILL INCLUDE BUT NOT BE LIMITED TO BROOMS, DUST PANS, MOPS, RAGS, GLOVES, GOGGLES, KITTY LITTER, SAND, SAWDUST, AND PLASTIC AND METAL TRASH CONTAINERS SPECIFICALLY FOR THIS PURPOSE.
(3.) ALL SPILLS WILL BE CLEANED UP IMMEDIATELY AFTER DISCOVERY.
(4.) THE SPILL AREA WILL BE KEPT WELL VENTILATED AND PERSONNEL WILL WEAR APPROPRIATE PROTECTIVE CLOTHING TO PREVENT INJURY FROM CONTACT WITH A HAZARDOUS SUBSTANCE.
(5.) SPILLS OF TOXIC OR HAZARDOUS MATERIAL WILL BE REPORTED TO THE APPROPRIATE STATE OR LOCAL GOVERNMENT AGENCY, REGARDLESS OF SIZE.
(6.) THE SPILL PREVENTION PLAN WILL BE ADJUSTED TO INCLUDED MEASURES TO PREVENT THIS TYPE OF SPILL FROM REOCCURRING AND HOW TO CLEAN UP THE SPILL IF THERE IS ANOTHER ONE. A DESCRIPTION OF THE SPILL, WHAT CAUSED IT, AND THE CLEANUP MEASURES WILL ALSO BE INCLUDED.
(7.) THE OPERATOR WILL DESIGNATE A SPILL PREVENTION AND CLEANUP COORDINATOR. HE WILL DESIGNATE AT LEAST THREE OTHER SITE PERSONNEL WHO WILL RECEIVE SPILL PREVENTION AND CLEANUP TRAINING. THESE INDIVIDUALS WILL EACH BECOME RESPONSIBLE FOR A PARTICULAR PHASE OF PREVENTION AND CLEANUP. THE NAMES OF RESPONSIBLE SPILL PERSONNEL WILL BE POSTED IN THE MATERIAL STORAGE AREA AND IN THE OFFICE TRAILER ONSITE.

12 13 CERTIFICATION STATEMENT (ENGINEER)

I CERTIFY THAT THE PERMITTEE'S EROSION, SEDIMENTATION AND POLLUTION CONTROL PLAN PROVIDES FOR AN APPROPRIATE AND COMPREHENSIVE SYSTEM OF BEST MANAGEMENT PRACTICES REQUIRED BY THE GEORGIA WATER QUALITY CONTROL ACT AND THE DOCUMENT "MANUAL FOR EROSION AND SEDIMENT CONTROL IN GEORGIA" PUBLISHED BY THE GEORGIA SOIL AND WATER CONSERVATION COMMISSION AS OF JANUARY 1 OF THE YEAR IN WHICH LAND-DISTURBING ACTIVITY WAS PERMITTED, PROVIDES FOR THE SAMPLING OF THE RECEIVING WATER(S) OR THE SAMPLING OF STORM WATER OUTFALLS AND THAT THE DESIGNED SYSTEM OF BEST MANAGEMENT PRACTICES AND SAMPLING METHODS IS EXPECTED TO MEET THE REQUIREMENTS CONTAINED IN THE GENERAL NPDES PERMIT NO. GAR 100001."

I CERTIFY UNDER PENALTY OF THE LAW THAT THIS PLAN WAS PREPARED AFTER A SITE VISIT TO THE LOCATIONS DESCRIBED HEREIN BY MYSELF OR MY AUTHORIZED AGENT, UNDER MY SUPERVISION."

UPON THE INSTALLATION OF THE PHASE 1 EROSION CONTROL MEASURES, I WILL VISIT THE SITE TO PERFORM THE INSPECTION CERTIFICATION WITHIN 7 DAYS, ONCE NOTIFIED BY THE CONTRACTOR.

GEORGIA LICENSED PROFESSIONAL (SIGN) — DATE: 7/9/26 — GEORGIA PE#: ####

GEORGIA LICENSED PROFESSIONAL (PRINT): TIMOTHY KYLE SHARPE
GEORGIA EROSION CONTROL LEVEL 2 CERTIFICATION 3: 0000065749

2 GSWCC DESIGN PROFESSIONAL

GSWCC
GEORGIA SOIL AND WATER CONSERVATION COMMISSION

TIMOTHY KYLE SHARPE
Level II Certified Design Professional
CERTIFICATION NUMBER 0000065749
ISSUED: 02.17.2024 EXPIRES: 02.17.2027

PREPARED IN THE OFFICE OF:
GASKINS +LECRAW
a PAPE-DAWSON company

3475 CORPORATE WAY
SUITE A
DULUTH, GA 30096
PHONE - 678.546.8100
www.gaskinslecraw.com
PEF008127

8 REVISIONS:

REV. #	DATE	DRAWN BY:	CHECKED BY:
-	-	-	-

CLIENT
PRAXIS3
100 PEACHTREE STREET NW, SUITE 1450, ATLANTA, GEORGIA 30303

PROJECT
FIFTH THIRD BANK - WARNER ROBINS, GA
2711 WATSON BLVD
PARCEL ID: 0W0780-005000
WARNER ROBINS, HOUSTON COUNTY, GEORGIA

SEAL:
No. PE036681
TIMOTHY KYLE SHARPE
7/9/2026

CALL BEFORE YOU DIG
811
Know what's below. Call before you dig.

SCALE & NORTH ARROW:

DESIGN INFO:

DRAWN BY:	JOA
DESIGNED BY:	MAT
REVIEWED BY:	TKS
JOB #:	75670007
DATE:	JULY 9, 2026

ESPC NOTES - 2

C-2.4

This document, together with the concepts and designs presented herein, as an instrument of service, is intended only for the specific purpose and client for which it was prepared. Reuse of and improper reliance on this document without written authorization and adaptation by Gaskins + LeCraw, a Pape-Dawson Company shall be without liability to Gaskins + LeCraw, a Pape-Dawson Company, Copyright Gaskins + LeCraw, a Pape-Dawson Company, 2026

CURB INLET FILTER "PIGS IN BLANKET"

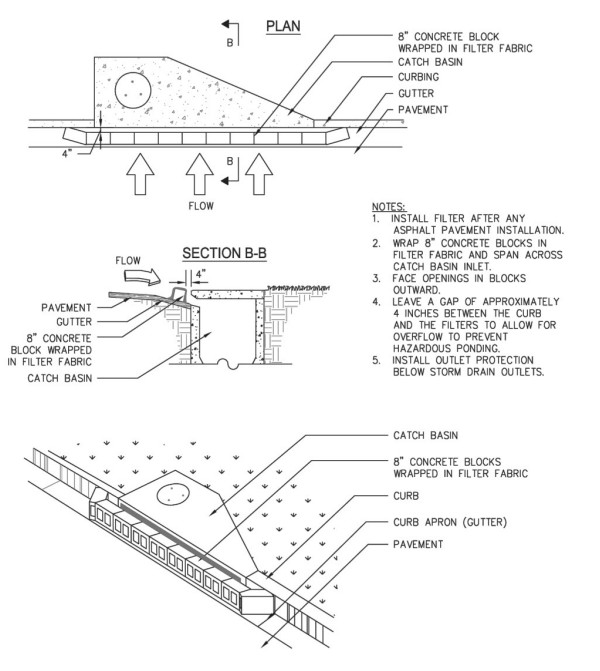
PLAN
B
8" CONCRETE BLOCK WRAPPED IN FILTER FABRIC
CATCH BASIN
CURBING
GUTTER
PAVEMENT
4"
FLOW
SECTION B-B
FLOW
4"
PAVEMENT
GUTTER
8" CONCRETE BLOCK WRAPPED IN FILTER FABRIC
CATCH BASIN
CATCH BASIN
8" CONCRETE BLOCKS WRAPPED IN FILTER FABRIC
CURB
CURB APRON (GUTTER)
PAVEMENT

NOTES:
1. INSTALL FILTER AFTER ANY ASPHALT PAVEMENT INSTALLATION.
2. WRAP 8" CONCRETE BLOCKS IN FILTER FABRIC AND SPAN ACROSS CATCH BASIN INLET.
3. FACE OPENINGS IN BLOCKS OUTWARD.
4. LEAVE A GAP OF APPROXIMATELY 4 INCHES BETWEEN THE CURB AND THE FILTERS TO ALLOW FOR OVERFLOW TO PREVENT HAZARDOUS PONDING.
5. INSTALL OUTLET PROTECTION BELOW STORM DRAIN OUTLETS.

Figure 6-28.6 Curb Inlet Filter "Pigs in Blanket"

6-154 GSWCC 2016 Edition

INLET SEDIMENT TRAP (Sd2-P)

Dust Control on Disturbed Areas

Du

DEFINITION
Controlling surface and air movement of dust on construction sites, roads, and demolition sites.

PURPOSE
- To prevent surface and air movement of dust from exposed soil surfaces.
- To reduce the presence of airborne substances that may be harmful or injurious to human health, welfare, or safety, or to animals or plant life.

CONDITIONS
This practice is applicable to areas subject to surface and air movement of dust where on and off-site damage may occur without treatment.

METHOD AND MATERIALS

A. Temporary Methods

Mulches. See standard **Ds1 - Disturbed Area Stabilization (With Mulching Only)**. Synthetic resins may be used instead of asphalt to bind mulch material. Refer to specification **Tac - Tackifiers**. Resins should be used according to manufacturer's recommendations.

Vegetative Cover. See specification **Ds2 - Disturbed Area Stabilization (With Temporary Seeding)**.

Spray-on Adhesives. These are used on mineral soils (not effective on muck soils). Keep traffic off these areas. Refer to specification **Tac - Tackifiers**.

Tillage. This practice is designed to roughen and bring clods to the surface. It is an emergency measure that should be used before wind erosion starts. Begin plowing on windward side of site. Chisel-type plows spaced about 12 inches apart, spring-toothed harrows, and similar plows are examples of equipment that may produce the desired effect.

Irrigation. This is generally done as an emergency treatment. Site is sprinkled with water until the surface is wet. Repeat as needed.

Barriers. Solid board fences, snowfences, burlap fences, crate walls, bales of hay and similar material can be used to control air currents and soil blowing. Barriers placed at right angles to prevailing currents at intervals of about 15 times their height are effective in controlling wind erosion.

Calcium Chloride. Apply at rate that will keep surface moist. May need retreatment.

B. Permanent Methods

Permanent Vegetation. See specification **Ds3 -Disturbed Area Stabilization (With Permanent Vegetation)**. Existing trees and large shrubs may afford valuable protection if left in place.

Topsoiling. This entails covering the surface with less erosive soil material. See specification **Tp - Topsoiling**.

Stone. Cover surface with crushed stone or coarse gravel. See specification **Cr-Construction Road Stabilization**.

DUST CONTROL (Du)

SILT FENCE - TYPE A and B

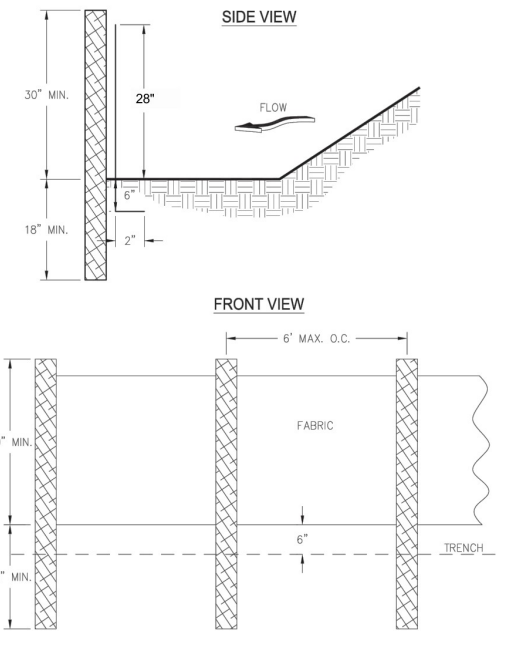
SIDE VIEW
30" MIN.
28"
FLOW
6"
18" MIN.
2"
FRONT VIEW
6' MAX. O.C.
30" MIN.
FABRIC
6"
TRENCH
18" MIN.

NOTES:
1. USE STEEL OR WOOD POSTS OR AS SPECIFIED BY THE EROSION, SEDIMENTATION, AND POLLUTION CONTROL PLAN.
2. HEIGHT (*) IS TO BE SHOWN ON THE EROSION, SEDIMENTATION, AND POLLUTION CONTROL PLAN.

Figure 6-27.1

GSWCC 2016 Edition 6-141

SILT FENCE (Sd1-NS)

CERTIFICATION STATEMENT (ENGINEER)

12 13 14

I CERTIFY THAT THE PERMITTEE'S EROSION, SEDIMENTATION AND POLLUTION CONTROL PLAN PROVIDES FOR AN APPROPRIATE AND COMPREHENSIVE SYSTEM OF BEST MANAGEMENT PRACTICES REQUIRED BY THE GEORGIA WATER QUALITY CONTROL ACT AND THE DOCUMENT "MANUAL FOR EROSION AND SEDIMENT CONTROL IN GEORGIA" PUBLISHED BY THE GEORGIA SOIL AND WATER CONSERVATION COMMISSION AS OF JANUARY 1 OF THE YEAR IN WHICH LAND-DISTURBING ACTIVITY WAS PERMITTED, PROVIDES FOR THE SAMPLING OF THE RECEIVING WATER(S) OR THE SAMPLING OF STORM WATER OUTFALLS AND THAT THE DESIGNED SYSTEM OF BEST MANAGEMENT PRACTICES AND SAMPLING METHODS IS EXPECTED TO MEET THE REQUIREMENTS CONTAINED IN THE GENERAL NPDES PERMIT NO. GAR 100001."

I CERTIFY UNDER PENALTY OF THE LAW THAT THIS PLAN WAS PREPARED AFTER A SITE VISIT TO THE LOCATIONS DESCRIBED HEREIN BY MYSELF OR MY AUTHORIZED AGENT, UNDER MY SUPERVISION."

UPON THE INSTALLATION OF THE PHASE 1 EROSION CONTROL MEASURES, I WILL VISIT THE SITE TO PERFORM THE INSPECTION CERTIFICATION WITHIN 7 DAYS, ONCE NOTIFIED BY THE CONTRACTOR AND CERTIFY THE INSTALLATION OF PHASE 1 BMPS.

GEORGIA LICENSED PROFESSIONAL (SIGN)	DATE	GEORGIA PE#
	7/9/26	036681

GEORGIA LICENSED PROFESSIONAL (PRINT)	GEORGIA EROSION CONTROL LEVEL 2 CERTIFICATION 3
TIMOTHY KYLE SHARPE	0000065749

GSWCC DESIGN PROFESSIONAL

2

GSWCC
GEORGIA SOIL AND WATER CONSERVATION COMMISSION

TIMOTHY KYLE SHARPE
Level II Certified Design Professional
CERTIFICATION NUMBER 0000065749
ISSUED: 02.17.2024 EXPIRES: 02.17.2027

CROSS-SECTION

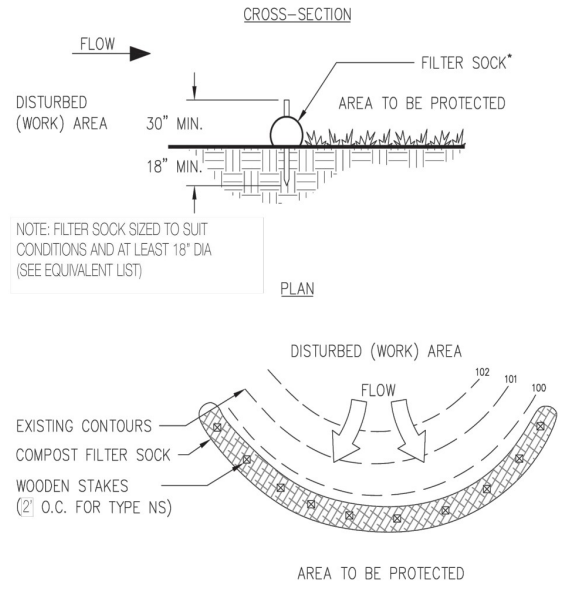
CROSS–SECTION
FLOW
FILTER SOCK*
DISTURBED (WORK) AREA
30" MIN.
AREA TO BE PROTECTED
18" MIN.
NOTE: FILTER SOCK SIZED TO SUIT CONDITIONS AND AT LEAST 18" DIA (SEE EQUIVALENT LIST)
PLAN
DISTURBED (WORK) AREA
FLOW
102
101
100
EXISTING CONTOURS
COMPOST FILTER SOCK
WOODEN STAKES (2' O.C. FOR TYPE NS)
AREA TO BE PROTECTED

*HEIGHT IS TO BE SHOWN ON THE EROSION, SEDIMENTATION AND POLLUTION CONTROL PLAN

COMPOST FILTER SOCK (Sd1-NS)

Disturbed Area Stabilization (With Mulching Only)

Ds1

DEFINITION
Applying plant residues or other suitable materials, produced on the site if possible, to the soil surface.

PURPOSE
- To reduce runoff and erosion
- To conserve moisture
- To prevent surface compaction or crusting
- To control undesirable vegetation
- To modify soil temperature
- To increase biological activity in the soil

REQUIREMENT FOR REGULATORY COMPLIANCE
Mulch or temporary grassing shall be applied to all exposed areas within 14 days of disturbance. Mulch can be used as a singular erosion control device for up to six months, but it shall be applied at the appropriate depth, depending on the material used, anchored and have a continuous 90% cover or greater of the soil surface.

Maintenance shall be required to maintain appropriate depth and 90% cover. Temporary vegetation may be employed instead of mulch if the area will remain undisturbed for less than six months.

If any area will remain undisturbed for greater than six months, permanent vegetative techniques shall be employed. Refer to **Ds2 -Disturbed Area Stabilization (With Temporary Seeding), Ds3 - Disturbed Area Stabilization (With Permanent Seeding), and Ds4 - Disturbed Area Stabilization (With Sodding)**.

SPECIFICATIONS
Mulching Without Seeding
This standard applies to graded or cleared areas where seedings may not have a suitable growing season to produce an erosion retardant cover, but can be stabilized with a mulch cover.

Site Preparation
1. Grade to permit the use of equipment for applying and anchoring mulch.
2. Install needed erosion control measures as required such as dikes, diversions, berms, terraces and sediment barriers.
3. Loosen compact soil to a minimum depth of 3 inches.

Mulching Materials
Select one of the following materials and apply at the depth indicated:
1. Dry straw or hay shall be applied at a depth of 2 to 4 inches providing complete soil coverage. One advantage of this material is easy application.
2. Wood waste (chips, sawdust or bark) shall be applied at a depth of 2 to 3 inches. Organic material from the clearing stage of development should remain on site, be chipped, and applied as mulch. This method of mulching can greatly reduce erosion control costs.
3. Polyethylene film shall be secured over banks or stockpiled soil material for temporary protection. This material can be salvaged and re-used.

Applying Mulch
When mulch is used without seeding, mulch shall be applied to provide full coverage of the exposed area.
1. Dry straw or hay mulch and wood chips shall be applied uniformly by hand or by mechanical equipment.
2. If the area will eventually be covered with perennial vegetation, 20-30 pounds of nitrogen per acre in addition to the normal amount shall be applied to offset the uptake of nitrogen caused by the decomposition of the organic mulches.
3. Apply polyethylene film on exposed areas.

Anchoring Mulch
1. Straw or hay mulch can be pressed into the soil with a disk harrow with the disk set straight or with a special "packer disk." Disks may be smooth or serrated and should be 20 inches or more in diameter and 8 to 12 inches apart. The edges of the disk should be dull enough not to cut the mulch but to press it into the soil leaving much of it in an erect position. Straw or hay mulch shall be anchored immediately after application.

DISTURBED AREA STABILIZATION (Ds1)

RIPRAP OUTLET PROTECTION

PIPE OUTLET TO FLAT AREA -- NO WELL DEFINED CHANNEL

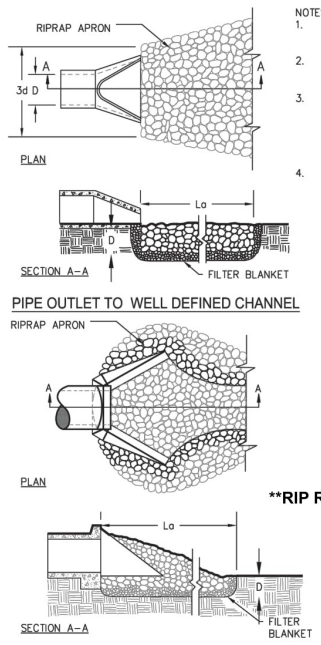
RIPRAP APRON
A
3d D
A
PLAN
La
D
SECTION A–A
FILTER BLANKET
PIPE OUTLET TO WELL DEFINED CHANNEL
RIPRAP APRON
A
A
PLAN
La
D
SECTION A–A
FILTER BLANKET

NOTES:
1. La IS THE LENGTH OF THE RIPRAP APRON.
2. D = 1.5 TIMES THE MAXIMUM STONE DIAMETER BUT NOT LESS THAN 6".
3. IN A WELL–DEFINED CHANNEL, EXTEND THE APRON UP THE CHANNEL BANKS TO AN ELEVATION OF 6" ABOVE THE MAXIMUM TAILWATER DEPTH OR TO THE TOP OF THE BANK (WHICHEVER IS LESS).
4. A FILTER BLANKET OR FILTER FABRIC SHOULD BE INSTALLED BETWEEN THE RIPRAP AND THE SOIL FOUNDATION.

St -1
Ø = 1.5'
Q = 8.0 cfs
v = 4.55 fps
W1 = 4.5'
L_a = 9.0'
W2 = 10.5'
d_{50} = 0.3'
d_{max} = 0.9'

BASED ON MIN TAILWATER CONDITION

*ALL SIZING IS BASED ON FULL PIPE/CHANNEL FLOW AND ALL HAVE MINIMUM TAILWATER CONDITION

Materials—Ensure that riprap consists of a well-graded mixture of stone. Larger stone should predominate, with sufficient smaller sizes to fill the voids between the stones. The diameter of the largest stone size should be no greater than 1.5 times the d_{50} size.

Thickness—Make the minimum thickness of riprap 1.5 times the maximum stone diameter.

Stone quality—Select stone for riprap from field stone or quarry stone. The stone should be hard, angular, and highly weather-resistant. The specific gravity of the individual stones should be at least 2.5.

Filter—Install a filter to prevent soil movement through the openings in the riprap. The filter should consist of a graded gravel layer or a synthetic filter cloth. Design filter blankets by the method described in Practice 6.15, *Riprap*.

**RIP RAP APRON TO BE PERMANENT

Notes
1. L_a is the length of the riprap apron.
2. d = 1.5 times the maximum stone diameter but not less than 6".
3. In a well-defined channel extend the apron up the channel banks to an elevation of 6" above the maximum tailwater depth or to the top of the bank, whichever is less.
4. A filter blanket or filter fabric should be installed between the riprap and soil foundation.

Figure 6-34.3 - Riprap Outlet Protection (Modified From Va SWCC)

GSWCC 2016 Edition 6-212

OUTLET PROTECTION (St)

GEORGIA UNIFORM CODING SYSTEM

FOR SOIL EROSION AND SEDIMENTATION CONTROL PRACTICES

GEORGIA SOIL AND WATER CONSERVATION COMMISSION


STRUCTURAL PRACTICES
STRUCTURAL PRACTICES
VEGETATIVE PRACTICES
SpB
SEEP BERM
Tac

GSWCC 2016 Edition 2-12

UNIFORM CODING SYSTEM

MULCHING

MULCH IS REQUIRED FOR ALL PERMANENT VEGETATION APPLICATIONS. MULCH APPLIED TO SEEDED AREAS SHALL ACHIEVE 75% TO 100% SOIL COVER. WHEN SELECTING A MULCH, DESIGN PROFESSIONALS SHOULD CONSIDER THE MULCH'S FUNCTIONAL LONGEVITY, VEGETATION ESTABLISHMENT ENHANCEMENT, AND EROSION CONTROL EFFECTIVENESS. SELECT THE MULCHING MATERIAL FROM THE FOLLOWING AND APPLY AS INDICATED:

DRY STRAW OR DRY HAY OF GOOD QUALITY AND FREE OF WEED SEEDS CAN BE USED. DRY STRAW SHALL BE APPLIED AT THE RATE OF 2 TONS PER ACRE. DRY HAY SHALL BE APPLIED AT A RATE OF 2 1/2 TONS PER ACRE.

1. WOOD CELLULOSE MULCH OR WOOD PULP FIBER SHALL BE USED WITH HYDRAULIC SEEDING. IT SHALL BE APPLIED AT THE RATE OF 500 POUNDS PER ACRE. DRY STRAW OR DRY HAY SHALL BE APPLIED (AT THE RATE INDICATED ABOVE) AFTER HYDRAULIC SEEDING.
2. ONE THOUSAND POUNDS OF WOOD CELLULOSE OR WOOD PULP FIBER, WHICH INCLUDES A TACKIFIER, SHALL BE USED WITH HYDRAULIC SEEDING ON SLOPES 3/4:1 OR STEEPER.
3. SERICEA LESPEDEZA HAY CONTAINING MATURE SEED SHALL BE APPLIED AT A RATE OF THREE TONS PER ACRE.
4. PINE STRAW OR PINE BARK SHALL BE APPLIED AT A THICKNESS OF 3 INCHES FOR BEDDING PURPOSES. OTHER SUITABLE MATERIALS IN SUFFICIENT QUANTITY MAY BE USED WHERE ORNAMENTALS OR OTHER GROUND COVERS ARE PLANTED. THIS IS NOT APPROPRIATE FOR SEEDED AREAS.
5. WHEN USING TEMPORARY EROSION CONTROL BLANKETS OR BLOCK SOD, MULCH IS NOT REQUIRED.
6. BITUMINOUS TREATED ROVING MAY BE APPLIED ON PLANTED AREAS, SLOPES, IN DITCHES OR DRY WATERWAYS TO PREVENT EROSION. BITUMINOUS TREATED ROVING SHALL BE APPLIED WITHIN 24 HOURS AFTER AN AREA HAS BEEN PLANTED. APPLICATION RATES AND MATERIALS MUST MEET GEORGIA DEPARTMENT OF TRANSPORTATION SPECIFICATIONS.

WOOD CELLULOSE AND WOOD PULP FIBERS SHALL NOT CONTAIN GERMINATION OR GROWTH INHIBITING FACTORS. THEY SHALL BE EVENLY DISPERSED WHEN AGITATED IN WATER. THE FIBERS SHALL CONTAIN A DYE TO ALLOW VISUAL METERING AND AID IN UNIFORM APPLICATION DURING SEEDING.

LIME & FERTILIZER RATES

NOTE: LIME & FERTILIZER RATES APPLY TO BOTH Ds2 & Ds3

AGRICULTURAL LIME IS REQUIRED AT THE RATE OF ONE TO TWO TONS PER ACRE UNLESS SOIL TESTS INDICATE OTHERWISE. GRADED AREAS REQUIRE LIME APPLICATION. IF LIME IS APPLIED WITHIN SIX MONTHS OF PLANTING PERMANENT PERENNIAL VEGETATION, ADDITIONAL LIME IS NOT REQUIRED. AGRICULTURAL LIME SHALL BE WITHIN THE SPECIFICATIONS OF THE GEORGIA DEPARTMENT OF AGRICULTURE.

LIME SPREAD BY CONVENTIONAL EQUIPMENT SHALL BE "GROUND LIMESTONE." GROUND LIMESTONE IS CALCITIC OR DOLOMITIC LIMESTONE GROUND SO THAT 90 PERCENT OF THE MATERIAL WILL PASS THROUGH A 10-MESH SIEVE, NOT LESS THAN 50 PERCENT WILL PASS THROUGH A 50-MESH SIEVE AND NOT LESS THAN 25 PERCENT WILL PASS THROUGH A 100-MESH SIEVE.

FAST-ACTING LIME SPREAD BY HYDRAULIC SEEDING EQUIPMENT SHOULD BE "FINELY GROUND LIMESTONE" SPANNING FROM THE 180 MICRON SIZE TO THE 5 MICRON SIZE. FINELY GROUND LIMESTONE IS CALCITIC OR DOLOMITIC LIMESTONE GROUND SO THAT 95 PERCENT OF THE MATERIAL WILL PASS THROUGH A 100-MESH SIEVE.

IT IS DESIRABLE TO USE DOLOMITIC LIMESTONE IN THE SAND HILLS, SOUTHERN COASTAL PLAIN AND ATLANTIC COAST FLATWOODS MLRAS. (SEE FIGURE 6-4.1)

AGRICULTURAL LIME IS GENERALLY NOT REQUIRED WHERE ONLY TREES ARE PLANTED.

INITIAL FERTILIZATION, NITROGEN, TOPDRESSING, AND MAINTENANCE FERTILIZER REQUIREMENTS FOR EACH SPECIES OR COMBINATION OF SPECIES ARE LISTED IN TABLE 6-5.1.

MULCHING / FERTILIZER RATES

TYPICAL INSTALLATION GUIDELINES FOR ROLLED EROSION CONTROL PRODUCTS (RECP)

BLANKET AND MATTING CROSS-SECTIONS

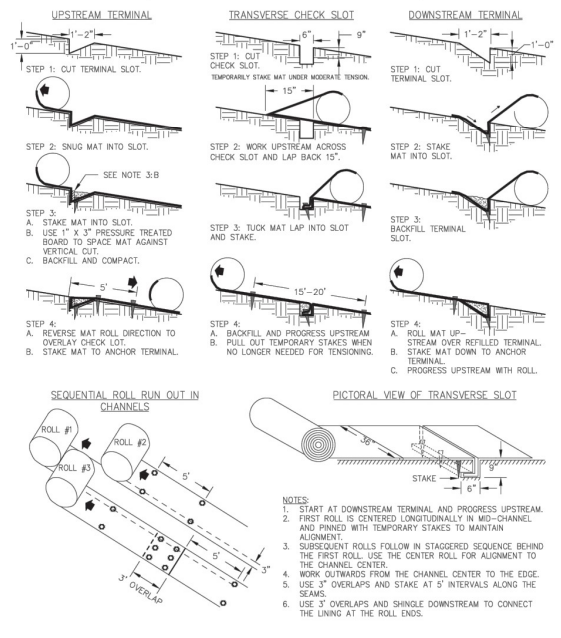
UPSTREAM TERMINAL
1'–0"
1'–2"
STEP 1: CUT TERMINAL SLOT.
STEP 2: SNUG MAT INTO SLOT.
SEE NOTE 3:B
STEP 3:
A. STAKE MAT INTO SLOT.
B. USE 1" X 3" PRESSURE TREATED BOARD TO SPACE MAT AGAINST VERTICAL CUT.
C. BACKFILL AND COMPACT.
5'
STEP 4:
A. REVERSE MAT ROLL DIRECTION TO OVERLAY CHECK LOT.
B. STAKE MAT TO ANCHOR TERMINAL.
TRANSVERSE CHECK SLOT
6"
9"
STEP 1: CUT CHECK SLOT.
TEMPORARILY STAKE MAT UNDER MODERATE TENSION.
15"
STEP 2: WORK UPSTREAM ACROSS CHECK SLOT AND LAP BACK 15".
STEP 3: TUCK MAT LAP INTO SLOT AND STAKE.
15'–20'
STEP 4:
A. BACKFILL AND PROGRESS UPSTREAM
B. PULL OUT TEMPORARY STAKES WHEN NO LONGER NEEDED FOR TENSIONING.
DOWNSTREAM TERMINAL
1'–2"
1'–0"
STEP 1: CUT TERMINAL SLOT.
STEP 2: STAKE MAT INTO SLOT.
STEP 3: BACKFILL TERMINAL SLOT.
STEP 4:
A. ROLL MAT UP-STREAM OVER REFILLED TERMINAL.
B. STAKE MAT DOWN TO ANCHOR TERMINAL.
C. PROGRESS UPSTREAM WITH ROLL.
SEQUENTIAL ROLL RUN OUT IN CHANNELS
ROLL #1
ROLL #2
ROLL #3
5'
5'
3"
3' OVERLAP
PICTORAL VIEW OF TRANSVERSE SLOT
36"
9"
STAKE
6"

NOTES:
1. START AT DOWNSTREAM TERMINAL AND PROGRESS UPSTREAM.
2. FIRST ROLL IS CENTERED LONGITUDINALLY IN MID–CHANNEL AND PINNED WITH TEMPORARY STAKES TO MAINTAIN ALIGNMENT.
3. SUBSEQUENT ROLLS FOLLOW IN STAGGERED SEQUENCE BEHIND THE FIRST ROLL. USE THE CENTER ROLL FOR ALIGNMENT TO THE CHANNEL CENTER.
4. WORK OUTWARDS FROM THE CHANNEL CENTER TO THE EDGE.
5. USE 3" OVERLAPS AND STAKE AT 5' INTERVALS ALONG THE SEAMS.
6. USE 3' OVERLAPS AND SHINGLE DOWNSTREAM TO CONNECT THE LINING AT THE ROLL ENDS.

Figure 6-10.1 - Typical Installation Guidelines for Matting and Blankets

6-71 GSWCC 2016 Edition

SLOPE STABILIZATION (Ss)

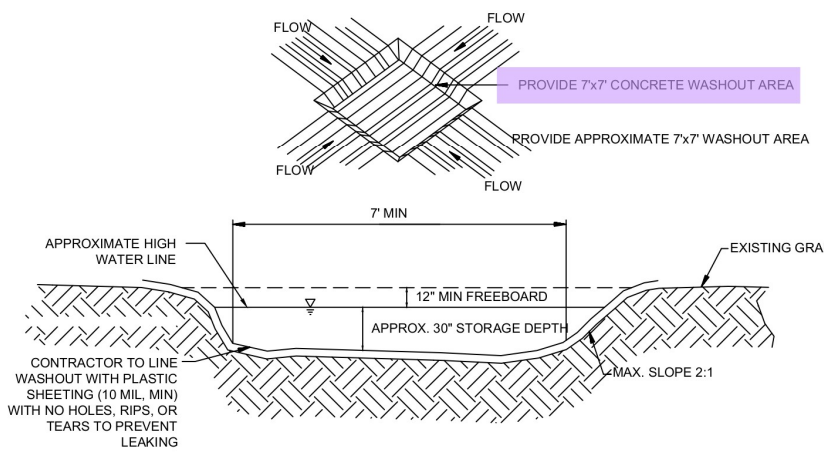
FLOW
FLOW
PROVIDE 7'x7' CONCRETE WASHOUT AREA
PROVIDE APPROXIMATE 7'x7' WASHOUT AREA
FLOW
FLOW
7' MIN
APPROXIMATE HIGH WATER LINE
EXISTING GRADE
12" MIN FREEBOARD
APPROX. 30" STORAGE DEPTH
CONTRACTOR TO LINE WASHOUT WITH PLASTIC SHEETING (10 MIL, MIN) WITH NO HOLES, RIPS, OR TEARS TO PREVENT LEAKING
MAX. SLOPE 2:1

NOTES:
1.) CONCRETE WASHOUT FACILITIES TO BE CHECKED DAILY TO DETERMINE IF THEY HAVE BEEN FILLED TO 75 PERCENT CAPACITY, WHICH IS WHEN MATERIALS NEED TO BE REMOVED.
2.) SELF-INSTALLED WASHOUTS SHOULD BE INSPECTED DAILY TO ENSURE THAT PLASTIC LININGS ARE INTACT AND SIDEWALLS HAVE NOT BEEN DAMAGED BY CONSTRUCTION ACTIVITIES.
3.) IF STORED LIQUIDS HAVE NOT EVAPORATED AND THE WASHOUT IS NEARING CAPACITY, VACUUM OR PUMP AND DISPOSE OF THEM IN AN LOCAL, STATE AND FEDERALLY LEGAL MANNER
4.) REMOVE LIQUIDS OR COVER THE WASHOUT AREA BEFORE PREDICTED RAINSTORMS TO PREVENT OVERFLOWS.
5.) HARDENED SOLIDS CAN BE REMOVED WHOLE OR BE BROKEN FIRST. CONTRACTOR TO REUSE THE SOLIDS ONSITE OR HAUL THEM AWAY FOR RECYCLING/DISPOSAL IN A LEGAL MANNER.
*CONTRACTOR MAY SUBSTITUTE AN APPROVED PREFABRICATED CONTAINER

CONCRETE WASHDOWN

MAINTENANCE
The exit shall be maintained in a condition that will prevent tracking or flow of mud onto public rights-of-way. This may require periodic top dressing with 1.5-3.5 inch stone, as conditions demand, and repair and/or cleanout of any structures to trap sediment. All materials spilled, dropped, washed, or tracked from vehicles or site onto roadways or into storm drains must be removed immediately.

CRUSHED STONE CONSTRUCTION EXIT

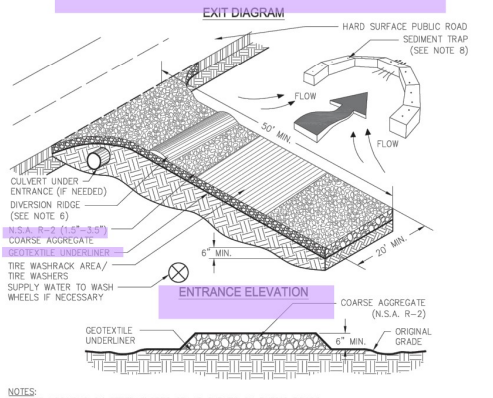
EXIT DIAGRAM
HARD SURFACE PUBLIC ROAD
SEDIMENT TRAP (SEE NOTE 8)
FLOW
FLOW
50' MIN.
CULVERT UNDER ENTRANCE (IF NEEDED)
DIVERSION RIDGE (SEE NOTE 6)
N.S.A. R–2 (1.5"–3.5") COARSE AGGREGATE
GEOTEXTILE UNDERLINER
TIRE WASHRACK AREA/ TIRE WASHERS
SUPPLY WATER TO WASH WHEELS IF NECESSARY
6" MIN.
20' MIN.
ENTRANCE ELEVATION
COARSE AGGREGATE (N.S.A. R–2)
GEOTEXTILE UNDERLINER
6" MIN.
ORIGINAL GRADE

NOTES:
1. AVOID LOCATING ON STEEP SLOPES OR AT CURVES ON PUBLIC ROADS.
2. REMOVE ALL VEGETATION AND OTHER UNSUITABLE MATERIAL FROM THE FOUNDATION AREA, GRADE, AND CROWN FOR POSITIVE DRAINAGE.
3. AGGREGATE SIZE SHALL BE IN ACCORDANCE WITH NATIONAL STONE ASSOCIATION R–2 (1.5"–3.5" STONE).
4. GRAVEL PAD SHALL HAVE A MINIMUM THICKNESS OF 6".
5. PAD WIDTH SHALL BE EQUAL FULL WIDTH AT ALL POINTS OF VEHICULAR EGRESS, BUT NO LESS THAN 20'.
6. A DIVERSION RIDGE SHOULD BE CONSTRUCTED WHEN GRADE TOWARD PAVED AREA IS GREATER THAN 2%.
7. INSTALL PIPE UNDER THE ENTRANCE IF NEEDED TO MAINTAIN DRAINAGE DITCHES.
8. WHEN WASHING IS REQUIRED, IT SHOULD BE DONE ON AN AREA STABILIZED WITH CRUSHED STONE THAT DRAINS INTO AN APPROVED SEDIMENT TRAP OR SEDIMENT BASIN (DIVERT ALL SURFACE RUNOFF AND DRAINAGE FROM THE ENTRANCE TO A SEDIMENT CONTROL DEVICE).
9. WASHRACKS AND/OR TIRE WASHERS MAY BE REQUIRED DEPENDING ON SCALE AND CIRCUMSTANCE. IF NECESSARY, WASHRACK DESIGN MAY CONSIST OF ANY MATERIAL SUITABLE FOR TRUCK TRAFFIC THAT REMOVE MUD AND DIRT.
10. MAINTAIN AREA IN A WAY THAT PREVENTS TRACKING AND/OR FLOW OF MUD ONTO PUBLIC RIGHTS–OF–WAYS. THIS MAY REQUIRE TOP DRESSING, REPAIR AND/OR CLEANOUT OF ANY MEASURES USED TO TRAP SEDIMENT.

Figure 6-14.1

GSWCC 2016 Edition 6-90

CONSTRUCTION EXIT (Co)

PREPARED IN THE OFFICE OF:

GASKINS
+LECRAW
a PAPE-DAWSON company
© 2026 GASKINS + LECRAW
3475 CORPORATE WAY
SUITE A
DULUTH, GA 30096
PHONE - 678.546.8100
www.gaskinslecraw.com
PEF008127

REVISIONS:

REV. #	DATE	DRAWN BY:	CHECKED BY:
-	-	-	-

CLIENT
PRAXIS3
100 PEACHTREE STREET NW, SUITE 1450, ATLANTA, GEORGIA 30303

PROJECT
FIFTH THIRD BANK - WARNER ROBINS, GA
2711 WATSON BLVD
PARCEL ID: 0W0780-005000
WARNER ROBINS, HOUSTON COUNTY, GEORGIA

SEAL:
No. PE036681
TIMOTHY KYLE SHARPE
7/9/2026

CALL BEFORE YOU DIG
811
Know what's below. Call before you dig.

SCALE & NORTH ARROW:
DETAILS ARE **NOT** DRAWN TO SCALE

DESIGN INFO:

DRAWN BY:	JOA
DESIGNED BY:	MAT
REVIEWED BY:	TKS
JOB #:	75670007
DATE:	JULY 9, 2026

ESPC DETAILS - 1

C-2.5

This document, together with the concepts and designs presented herein, as an instrument of service, is intended only for the specific purpose and client for which it was prepared. Reuse of and improper reliance on this document without written authorization and adaptation by Gaskins + LeCraw, a Pape-Dawson Company shall be without liability to Gaskins + LeCraw, a Pape-Dawson Company, Copyright Gaskins + LeCraw, a Pape-Dawson Company, 2026